Printed from JeppView for Windows 5.3.0.0 on 26 Aug 2026; Terminal chart data cycle 04-2026 (Expired); Notice: After 26 Feb 2026, 0000Z, this chart may no longer be valid

PHOENIX CLASS B AIRSPACE

CLASS B AIRSPACE COMMUNICATIONS

319° - 057° below 7500′	Phoenix App	120.7	119° - 138° above 14,500′	Phoenix App	126.8
319° - 057° 7500′ & above	Phoenix App	119.2	139° - 191° below 8500′	Phoenix App	123.7
058° - 118° below 10,500′	Phoenix App	124.9	139° - 191° 8500′ & above	Phoenix App	126.8
058° - 118° 10,500′ & above	Phoenix App	126.8	192° - 263° 7500′-12,500′	Phoenix App	124.1
119° - 138° below 7500′	Phoenix App	123.7	192° - 263° above 12,500′	Phoenix App	126.8
119° - 138° 7500′-14,500′	Phoenix App	124.1			

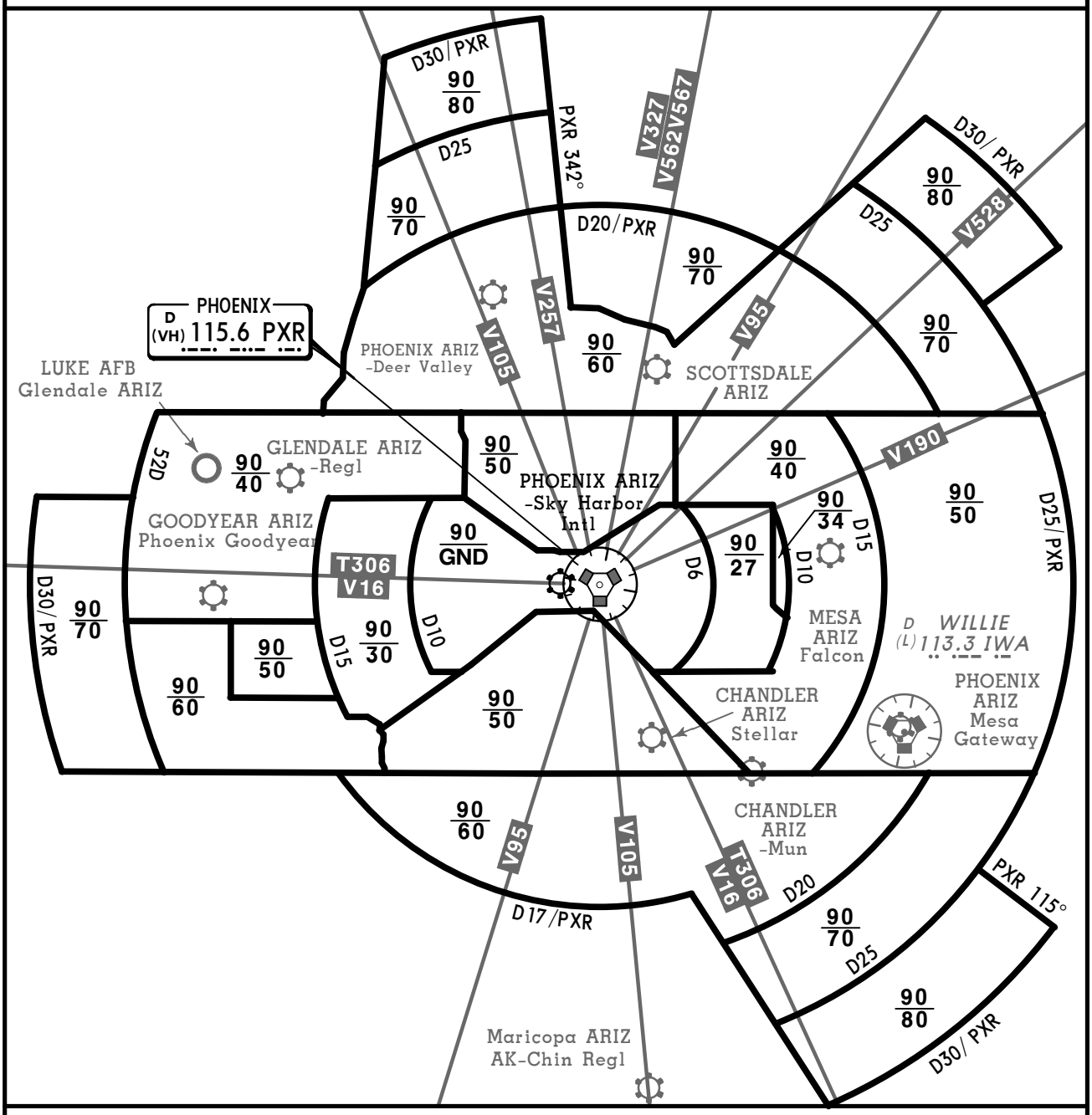

FOR OPERATING RULES AND PILOT AND EQUIPMENT REQUIREMENTS
SEE FAR 91.131,91.117 AND 91.215

FLIGHT PROCEDURES

IFR Flights-Aircraft operating within the Phoenix Class B Airspace must be operated in accordance with ATC clearances and instructions.

VFR Flights-

a. Arriving aircraft should contact Phoenix Approach Control on specified frequencies. Although arriving aircraft may be operating beneath the floor of the Class B Airspace on initial contact, communications should be established with approach control for sequencing and spacing purposes.

b. Aircraft departing the primary airports are requested to advise clearance delivery prior to taxiing of their intended altitude and direction of flight to depart the Class B Airspace. Aircraft departing from other than THE PRIMARY airports whose route of flight would penetrate the Class B Airspace should give this information to ATC on appropriate frequencies.

c. Aircraft desiring to transit the Class B Airspace must obtain an ATC clearance to enter the Class B Airspace and will be handled on an ATC workload permitting basis.

CHANGES: New format.

© JEPPESEN, 2025. ALL RIGHTS RESERVED.

D-ATIS 127.575	Apt Elev See Graphic	Alt Set: INCHES Trans level: FL180	1. **RADAR required.** 2. **DME required.** 3. BLYTHE Transition for turbojet aircraft FL240 and above.	4. Turboprop aircraft plan BLYTHE Arrival at or below FL230. 5. MOHAK Transition for turboprop and turbojet aircraft.

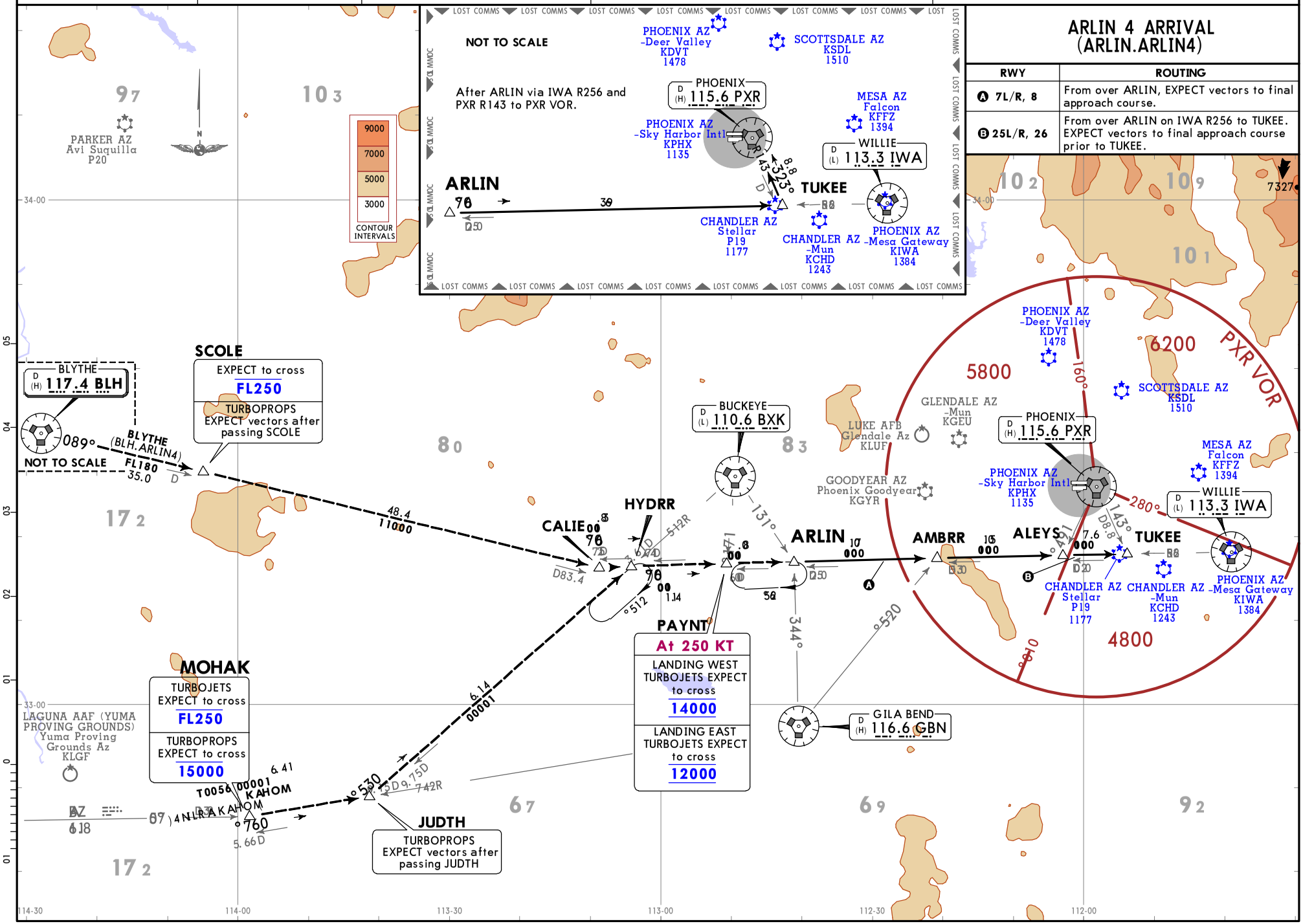

ARLIN 4 ARRIVAL (ARLIN.ARLIN4)

RWY	ROUTING
A 7L/R, 8	From over ARLIN, EXPECT vectors to final approach course.
B 25L/R, 26	From over ARLIN on IWA R256 to TUKEE. EXPECT vectors to final approach course prior to TUKEE.

CHANGES: New format.

© JEPPESEN, 2018. ALL RIGHTS RESERVED.

Printed from JeppView for Windows 5.3.0.0 on 26 Aug 2026; Terminal chart data cycle 04-2026 (Expired); Notice: After 26 Feb 2026, 0000Z, this chart may no longer be valid

D-ATIS 127.575	Apt Elev See Graphic	Alt Set: INCHES Trans level: FL180	1. RADAR required. 2. For aircraft FL230 or below.

BLYTHE 5 ARRIVAL (BLH.BLH5)

RWY	ROUTING
A 7L/R, 8	From over ARLIN, EXPECT vectors to final approach course.
B 25L/R, 26	From over ARLIN on IWA R256 to TUKEE. EXPECT vectors to final approach course prior to TUKEE.

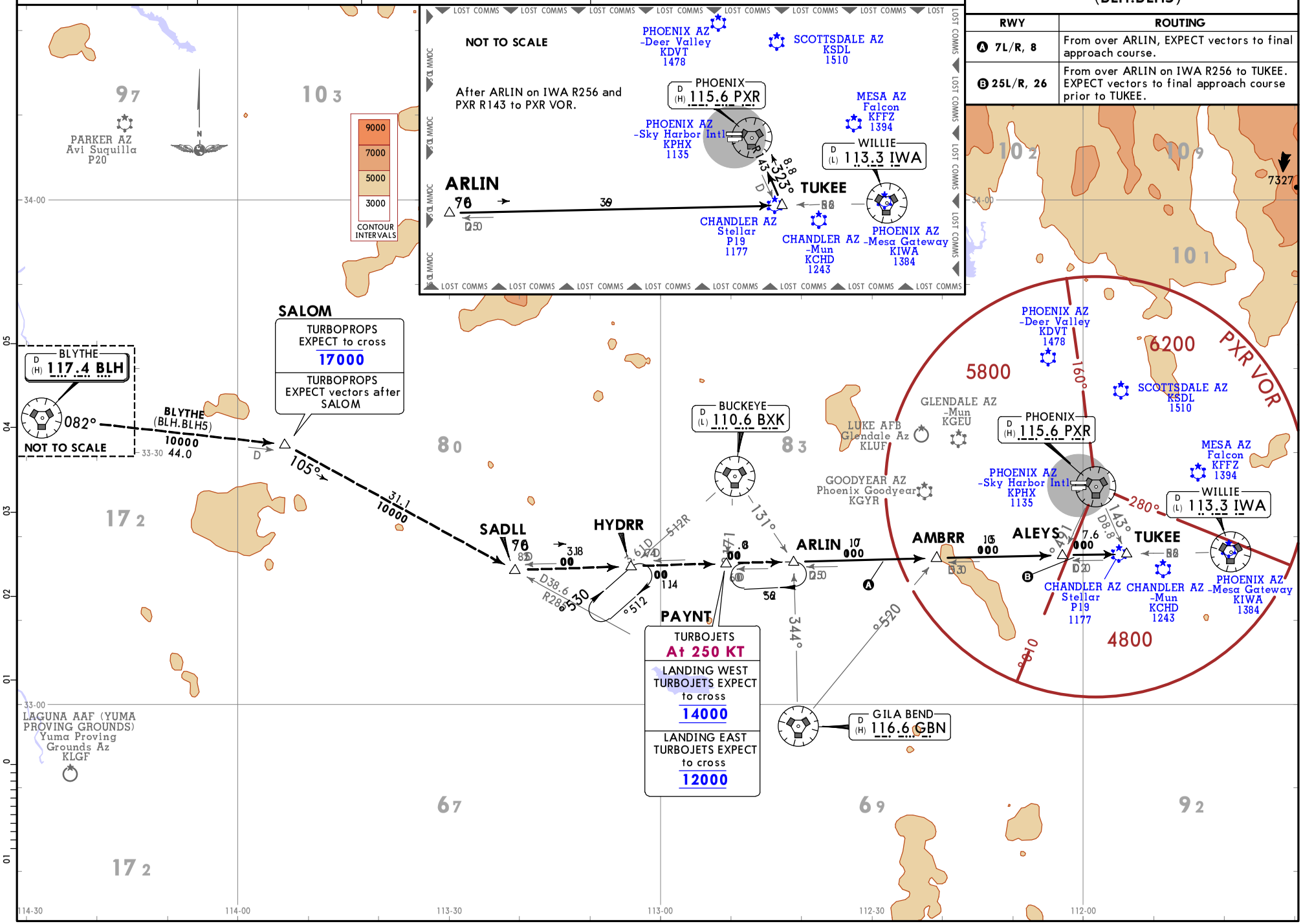

CHANGES: New format.

© JEPPESEN, 2018. ALL RIGHTS RESERVED.

Printed from JeppView for Windows 5.3.0.0 on 26 Aug 2026; Terminal chart data cycle 04-2026 (Expired); Notice: After 26 Feb 2026, 0000Z, this chart may no longer be valid

Printed from JeppView for Windows 5.3.0.0 on 26 Aug 2026; Terminal chart data cycle 04-2026 (Expired); Notice: After 26 Feb 2026, 0000Z, this chart may no longer be valid

CHANGES: None.

D-ATIS	Apt Elev	Alt Set: INCHES Trans level: FL180
127.575	1135	**1. RADAR required. 2. RNAV 1. 3. DME/DME/IRU or GPS required.**

4. Turbojet aircraft only. 5. All Transitions: For non-GPS equipped aircraft landing EAST; TFD, BXK and IWA DMEs must be operational. 6. TENTS Transition: For non-GPS equipped aircraft landing WEST; PXR and IWA DMEs must be operational.

BRUSR 1 RNAV ARRIVAL (MAIER.BRUSR1)

ROUTING

From MAIER on track 156° to BRUSR.

RWY	LANDING
7L	From BRUSR on track 173° to BDWIL, then on track 178° to ENSEA, FBALL, PGSKN and TLMAN. Then on track 115° to FOWLE. EXPECT ILS Rwy 7L or RADAR vectors to final approach course.
7R	From BRUSR on track 173° to BDWIL, then on track 178° to ENSEA, FBALL, PGSKN and TLMAN. Then on track 119° to BALTE. Then on track 119°. EXPECT RADAR vectors to final approach course.
8	From BRUSR on track 173° to BDWIL, then on track 178° to ENSEA, FBALL, PGSKN and TLMAN. Then on track 108° to JAMIL. Then on track 108°. EXPECT RADAR vectors to final approach course.
25L/R, 26	From BRUSR on track 149° to ANNTI, ZILUB, BRIEZ and KUCOO. Then on track 079° to JURAZ. Then on track 079°. EXPECT RADAR vectors to final approach course.

COMMS ▼ LOST COMMS ▼ LOST COMMS ▼ LOST COMMS ▼ LOST COMMS ▼ LOST COMMS

- LANDING RWY 7L: At FOWLE, intercept and execute Rwy 7L ILS approach. If unable, proceed direct PXR VOR and hold, MAINTAIN 9000.
- LANDING RWY 7R: At BALTE, intercept and execute Rwy 7R ILS approach. If unable, proceed direct PXR VOR and hold, MAINTAIN 9000.
- LANDING RWY 8: At JAMIL, intercept and execute Rwy 8 ILS approach. If unable, proceed direct PXR VOR and hold, MAINTAIN 9000.
- LANDING RWYS 25L/R, 26: At JURAZ, turn RIGHT, intercept and execute Rwy 25L ILS approach. If unable, proceed direct PXR VOR and hold, MAINTAIN 9000.

LOST COMMS ▲ LOST COMMS ▲ LOST COMMS ▲ LOST COMMS ▲ LOST COMMS ▲ LOST COMMS

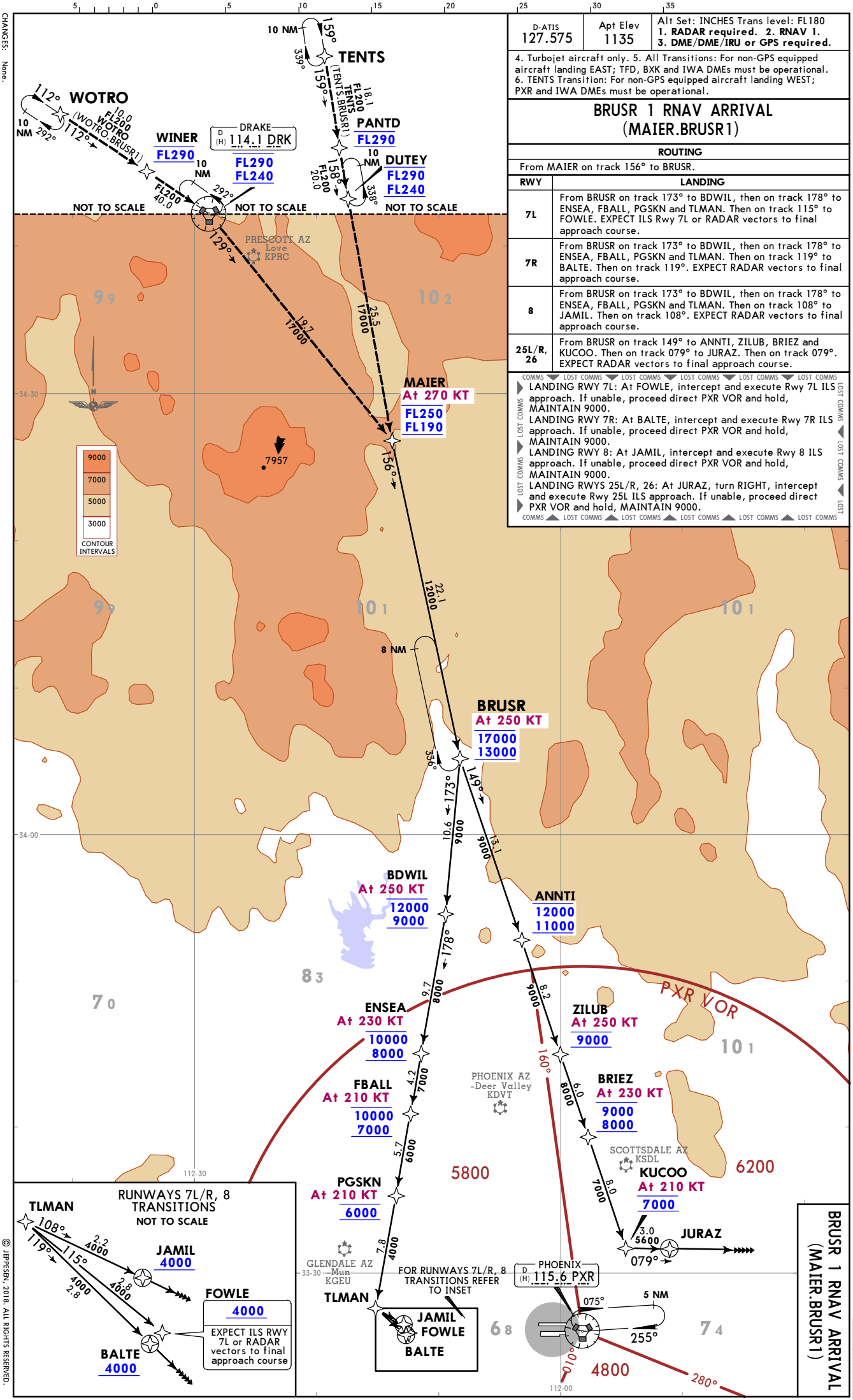

KPHX/PHX
PHOENIX SKY HARBOR INTL
10-2B
17 FEB 23
JEPPESEN
PHOENIX, ARIZ
RNAV STAR
BRUSR 1 RNAV ARRIVAL (MAIER.BRUSR1)

© JEPPESEN, 2018. ALL RIGHTS RESERVED.

D-ATIS	Apt Elev	Alt Set: INCHES Trans level: FL180	1. RADAR required. 2. DME required. 3. Turbojet aircraft only. 4. File GALLUP or ZUNI Transitions only. WINSLOW Transition assigned by ATC for hazardous weather avoidance only.
127.575	1135		

BUNTR 3 ARRIVAL (BUNTR.BUNTR3)

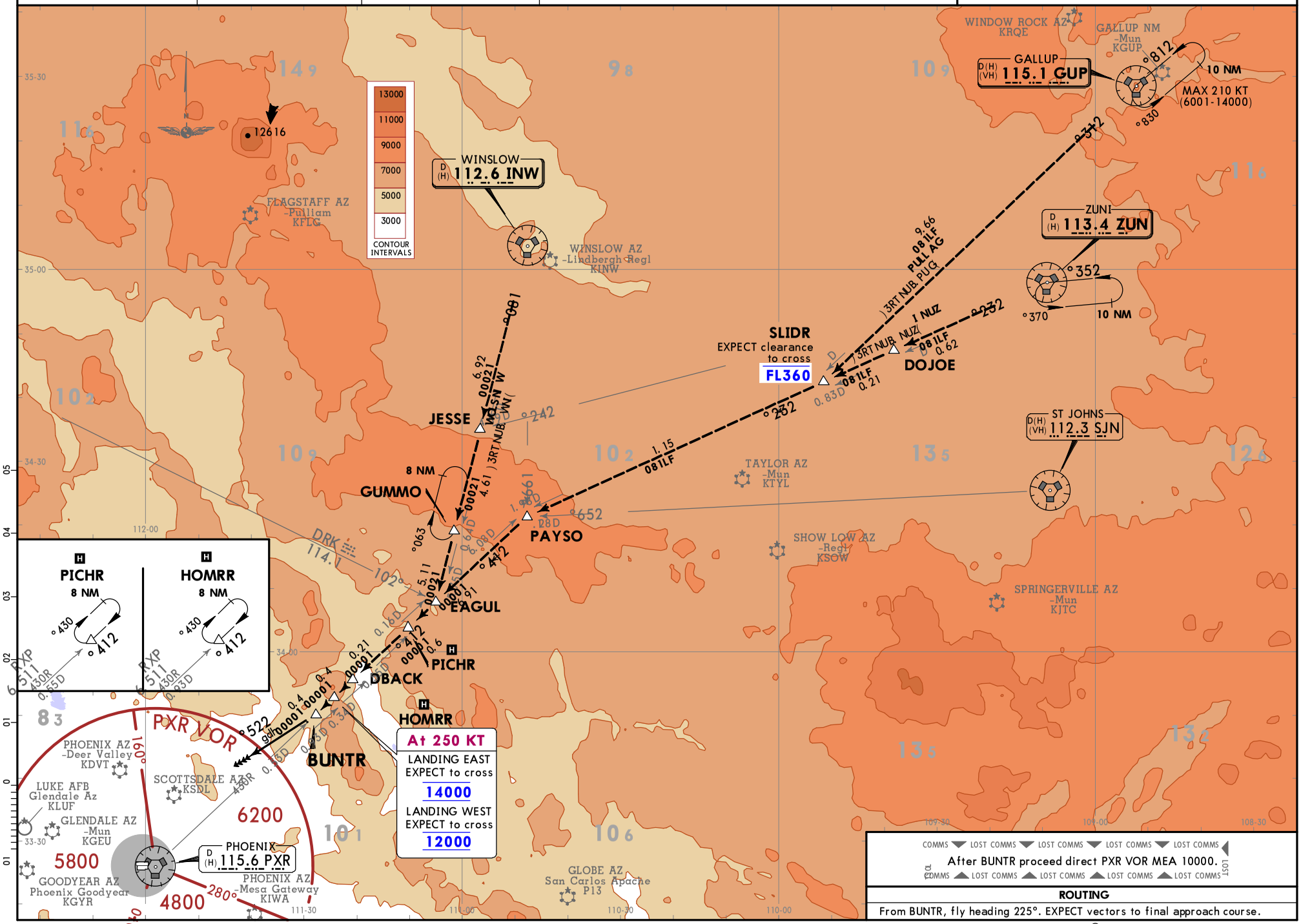

ROUTING

From BUNTR, fly heading 225°. EXPECT vectors to final approach course.

CHANGES: ZUN VOR holding speed removed.

© JEPPESEN, 2018, 2023. ALL RIGHTS RESERVED.

Printed from JeppView for Windows 5.3.0.0 on 26 Aug 2026; Terminal chart data cycle 04-2026 (Expired); Notice: After 26 Feb 2026, 0000Z, this chart may no longer be valid

D-ATIS	Apt Elev	Alt Set: INCHES Trans level: FL180 1. RADAR required. 2. DME required.
127.575	1135	

COYOT 5 ARRIVAL (COYOT.COYOT5)

ROUTING

From COYOT on PXR R336 to BRUSR, then on PXR R336 to MAHEM, then on PXR R336 to PXR VOR. After BRUSR, EXPECT RADAR vectors to final approach course.

LOST COMMS ▼ LOST COMMS ▼ LOST COMMS
After DRK VOR proceed direct MAIER, then direct PXR VOR.
LOST COMMS ▲ LOST COMMS ▲ LOST COMMS ▲

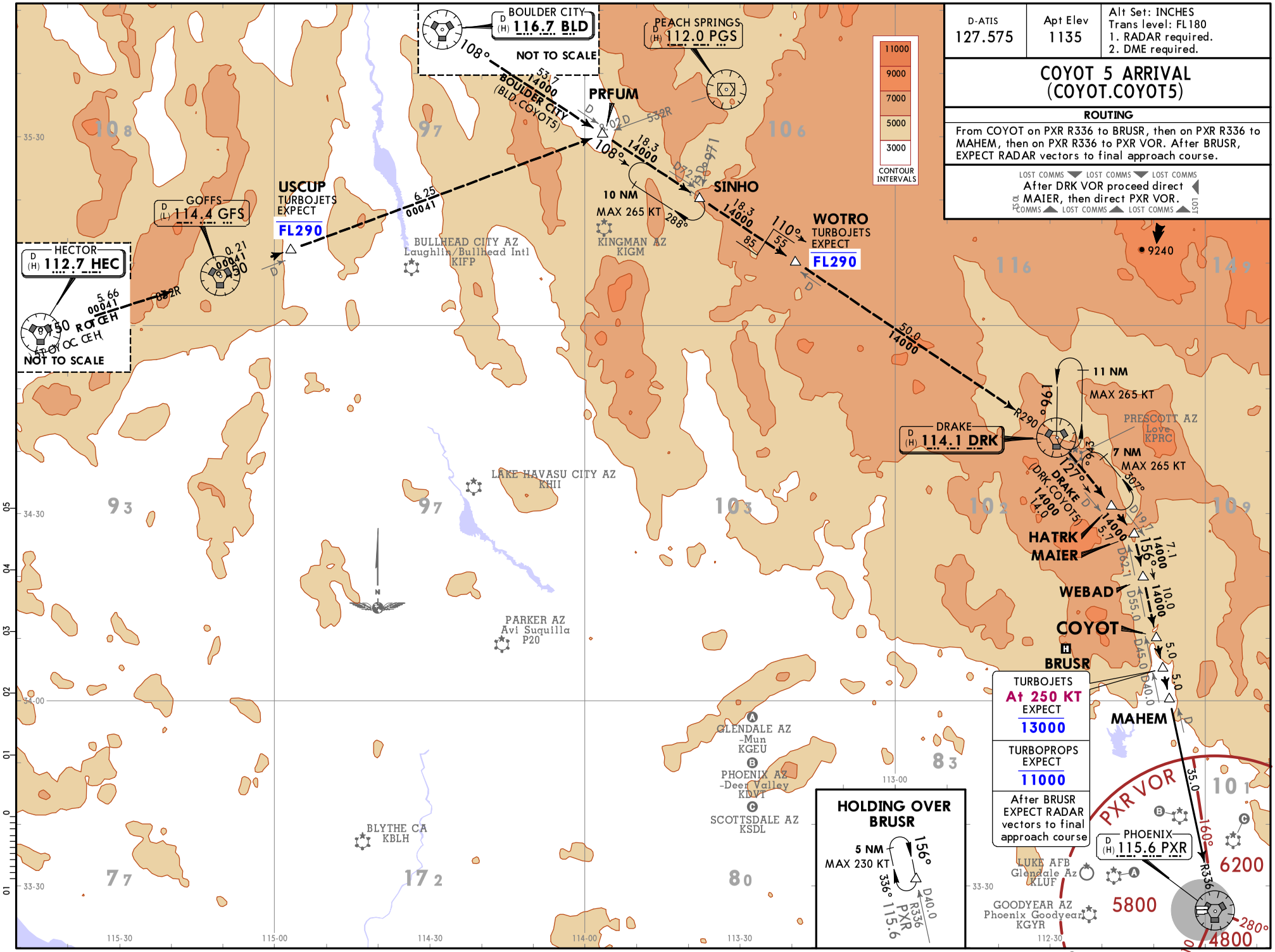

CHANGES: Procedure renumbered, MEA, BRUSR holding.

© JEPPESEN, 2018, 2020. ALL RIGHTS RESERVED.

Printed from JeppView for Windows 5.3.0.0 on 26 Aug 2026; Terminal chart data cycle 04-2026 (Expired); Notice: After 26 Feb 2026, 0000Z, this chart may no longer be valid

Printed from JeppView for Windows 5.3.0.0 on 26 Aug 2026; Terminal chart data cycle 04-2026 (Expired); Notice: After 26 Feb 2026, 0000Z, this chart may no longer be valid

CHANGES: None.

D-ATIS	Apt Elev	
127.575	See Graphic	Alt Set: INCHES Trans level: FL180 1. RADAR required. 2. DME/DME/IRU or GPS required. 3. RNAV 1. 4. FLAGSTAFF Transition: For non-GPS equipped aircraft FLG DME must be operational. 5. DSERT to CACTY route: For non-GPS equipped aircraft DRK and IWA DMEs must be operational. 6. DSERT to TYLIK route: For non-GPS equipped aircraft DRK, IWA and PXR DMEs must be operational. 7. Turboprops only. 8. Turbojets ATC assigned only.

DSERT 2 RNAV ARRIVAL (DSERT.DSERT2)

ROUTING

From DSERT on track 182° to SHOCK, then on track 182° to BUSTD. From BUSTD on track 182° to YOLOW, then on track 188° to CACTY. Then on track 179°. EXPECT RADAR vectors.

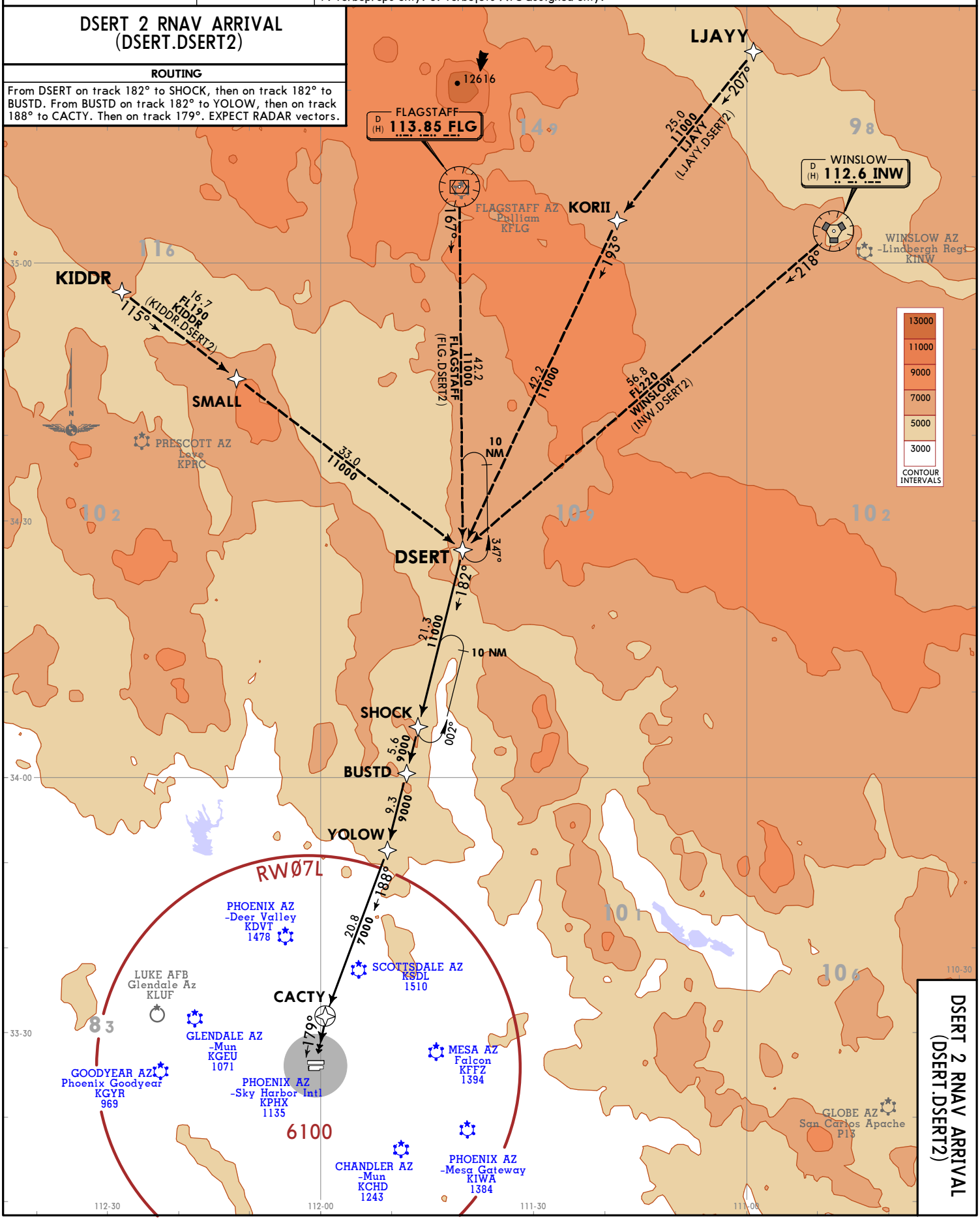

KPHX/PHX
PHOENIX SKY HARBOR INTL

JEPPESEN
10 JUL 20 (10-2E)
Eff 16 Jul

PHOENIX, ARIZ
RNAV STAR

DSERT 2 RNAV ARRIVAL
(DSERT.DSERT2)

© JEPPESEN, 2018, 2019. ALL RIGHTS RESERVED.

EAGUL 6 RNAV ARRIVAL (EAGUL.EAGUL6)

D-ATIS	Apt Elev	Alt Set: INCHES Trans level: FL180
127.575	1135	

1. RADAR required. 2. RNAV 1. 3. DME/DME/IRU or GPS required. 4. Turbojet aircraft only.

5. File GALLUP or ZUNI Transitions only. WINSLOW Transition assigned by ATC for hazardous weather avoidance only. 6. GALLUP and ZUNI Transitions: For non-GPS equipped aircraft INW DME must be operational. 7. Landing EAST: For non-GPS equipped aircraft IWA and PXR DMEs must be operational.

ROUTING

From EAGUL on track 215° to HOMRR.

RWY	LANDING
7L/R, 8	From HOMRR on track 226° to BOHTX, GEENO, QUENY and HINEY. Then on track 258° to OBASE. Then on track 258°. EXPECT RADAR vectors to final approach course.
25L	From HOMRR on track 204° to VNNOM, then on track 204° to ESDEE, then on track 203° to BASSL, then on track 203° to DERVL. Then on track 219° to GIPSE. EXPECT ILS or LOC Rwy 25L approach or RADAR vectors to final approach course.
25R	From HOMRR on track 204° to VNNOM, then on track 204° to ESDEE, then on track 203° to BASSL, then on track 203° to DERVL. Then on track 220° to ZAMEX. EXPECT RNAV (GPS) Y Rwy 25R approach or RADAR vectors to final approach course.
26	From HOMRR on track 204° to VNNOM, then on track 204° to ESDEE, then on track 203° to BASSL, then on track 203° to DERVL. Then on track 228° to JAGAL. EXPECT ILS or LOC Rwy 26 approach or RADAR vectors to final approach course.

TOTAL MMOC: LOST COMMS ▼ LOST COMMS ▼ LOST COMMS ▼ LOST COMMS ▼ LOST COMMS ▼ LOST COMMS ▼ LOST COMMS ▼

LANDING RWY 7L: After OBASE turn LEFT, intercept and execute Rwy 7L ILS approach. If unable, proceed direct PXR VOR and hold, MAINTAIN 9000.
LANDING RWY 7R: After OBASE turn LEFT, intercept and execute Rwy 7R ILS approach. If unable, proceed direct PXR VOR and hold, MAINTAIN 9000.
LANDING RWY 8: After OBASE turn LEFT, intercept and execute Rwy 8 ILS approach. If unable, proceed direct PXR VOR and hold, MAINTAIN 9000.
LANDING RWY 25L: At GIPSE, intercept and execute Rwy 25L ILS approach. If unable, proceed direct PXR VOR and hold, MAINTAIN 9000.
LANDING RWY 25R: At ZAMEX, intercept and execute Rwy 25R RNAV (GPS) approach. If unable, proceed direct PXR VOR and hold, MAINTAIN 9000.
LANDING RWY 26: At JAGAL, intercept and execute Rwy 26 ILS approach. If unable, proceed direct PXR VOR and hold, MAINTAIN 9000.

TOTAL MMOC: LOST COMMS ▲ LOST COMMS ▲ LOST COMMS ▲ LOST COMMS ▲ LOST COMMS ▲ LOST COMMS ▲ LOST COMMS ▲

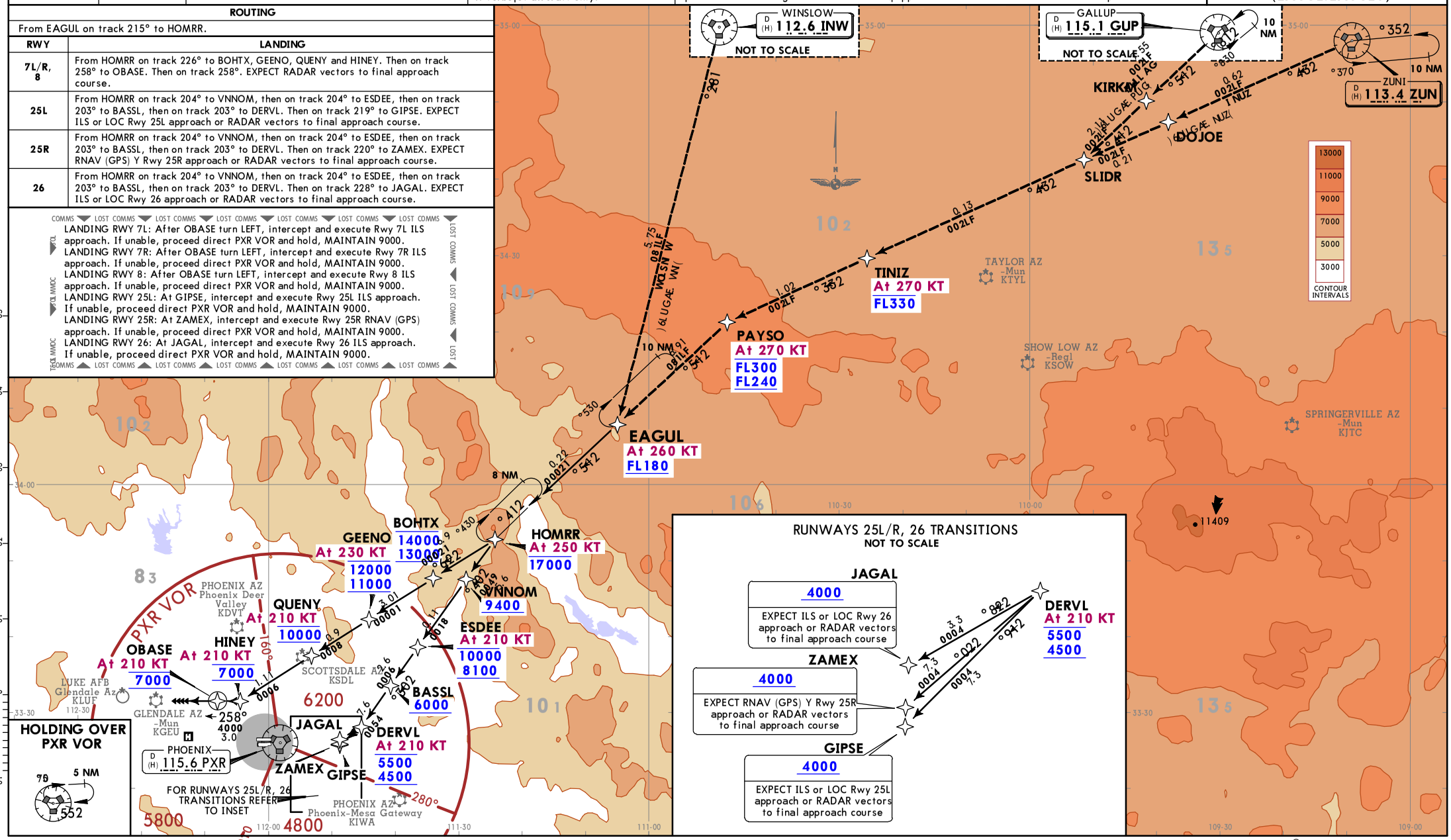

CHANGES: Chart sequence GEELA 6 ARRIVAL cancelled.

© JEPPESEN, 2018. ALL RIGHTS RESERVED.

Printed from JeppView for Windows 5.3.0.0 on 26 Aug 2026; Terminal chart data cycle 04-2026 (Expired); Notice: After 26 Feb 2026, 0000Z, this chart may no longer be valid

D-ATIS	Apt Elev	Alt Set: INCHES Trans level: FL180	1. RADAR required.
127.575	1135	RNAV 1 DME/DME/IRU or GPS required	2. Turbojet aircraft only. 3. SALOM Transition for aircraft FL230 and below.

HYDRR 1 RNAV ARRIVAL (HYDRR.HYDRR1) (ALL RWYS)

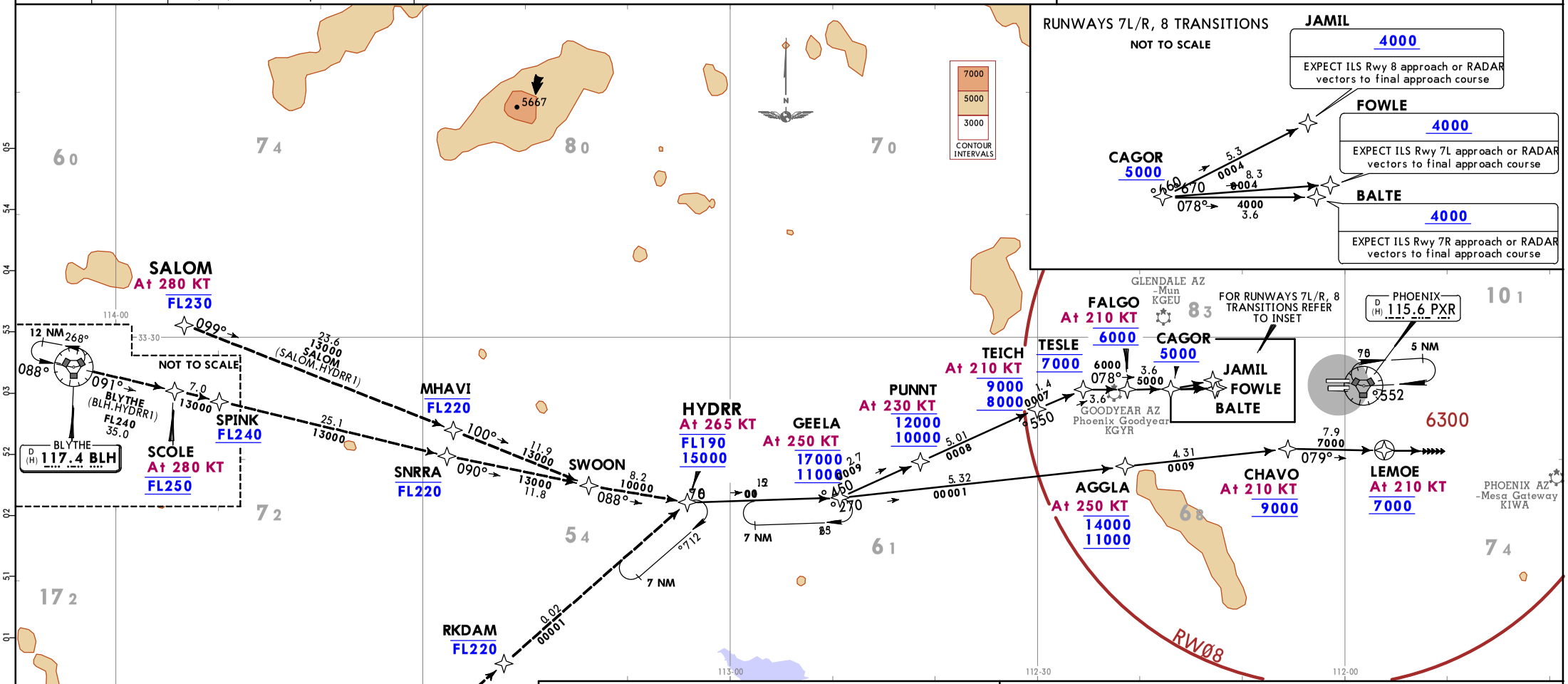

ROUTING	
From HYDRR on track 076° to GEELA.	
RWY	**LANDING**
7L	From GEELA on track 054° to PUNNT, then on track 054° to TEICH, then on track 055° to TESLE, then on track 078° to FALGO, then on track 078° to CAGOR, then on track 076° to FOWLE. EXPECT ILS Rwy 7L approach or RADAR vectors to final approach course.
7R	From GEELA on track 054° to PUNNT, then on track 054° to TEICH, then on track 055° to TESLE, then on track 078° to FALGO, then on track 078° to CAGOR, then on track 078° to BALTE. EXPECT ILS Rwy 7R approach or RADAR vectors to final approach course.
8	From GEELA on track 054° to PUNNT, then on track 054° to TEICH, then on track 055° to TESLE, then on track 078° to FALGO, then on track 078° to CAGOR, then on track 066° to JAMIL. EXPECT ILS Rwy 8 approach or RADAR vectors to final approach course.
25L/R, 26	From GEELA on track 072° to AGGLA, then on track 072° to CHAVO, then on track 079° to LEMOE. Then on track 079° EXPECT RADAR vectors to final approach course.

COMMS ▼ LOST COMMS ▼ LOST COMMS ▼ LOST COMMS ▼ LOST COMMS ▼ LOST COMMS ▼ LOST COMMS

LANDING RWY 7L: At FOWLE, intercept and execute Rwy 7L ILS approach. If unable, proceed direct PXR VOR and hold, MAINTAIN 9000.
LANDING RWY 7R: At BALTE, intercept and execute Rwy 7R ILS approach. If unable, proceed direct PXR VOR and hold, MAINTAIN 9000.
LANDING RWY 8: At JAMIL, intercept and execute Rwy 8 ILS approach. If unable, proceed direct PXR VOR and hold, MAINTAIN 9000.
LANDING RWY 25L: At LEMOE turn LEFT, intercept and execute Rwy 25L ILS approach. If unable, proceed direct PXR VOR and hold, MAINTAIN 9000.
LANDING RWY 25R: At LEMOE turn LEFT, intercept and execute Rwy 25R RNAV (GPS) approach. If unable, proceed direct PXR VOR and hold, MAINTAIN 9000.
LANDING RWY 26: At LEMOE turn LEFT, intercept and execute Rwy 26 ILS approach. If unable, proceed direct PXR VOR and hold, MAINTAIN 9000.

COMMS ▲ LOST COMMS ▲ LOST COMMS ▲ LOST COMMS ▲ LOST COMMS ▲ LOST COMMS ▲ LOST COMMS

CHANGES: Reissue.

© JEPPESEN, 2018, 2023. ALL RIGHTS RESERVED.

Printed from JeppView for Windows 5.3.0.0 on 26 Aug 2026; Terminal chart data cycle 04-2026 (Expired); Notice: After 26 Feb 2026, 0000Z, this chart may no longer be valid

D-ATIS	Apt Elev	Alt Set: INCHES Trans level: FL180	1. RADAR required. 2. DME required. 3. Turboprop and ATC assigned turbojet aircraft only.
127.575	1135		

JESSE 3 ARRIVAL (JESSE.JESSE3)

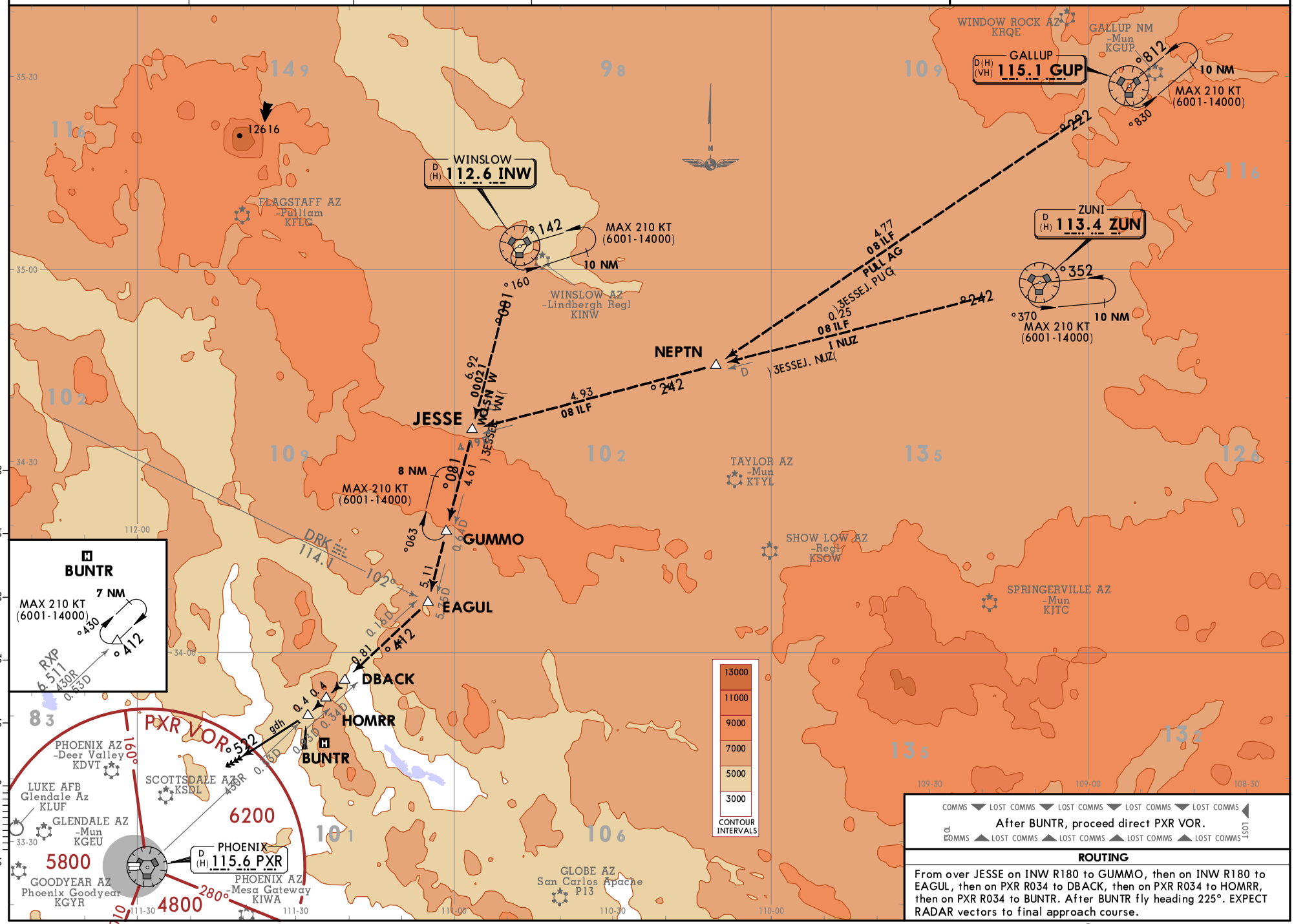

ROUTING

From over JESSE on INW R180 to GUMMO, then on INW R180 to EAGUL, then on PXR R034 to DBACK, then on PXR R034 to HOMRR, then on PXR R034 to BUNTR. After BUNTR fly heading 225°. EXPECT RADAR vectors to final approach course.

CHANGES: None.

© JEPPESEN, 2018, 2021. ALL RIGHTS RESERVED.

Printed from JeppView for Windows 5.3.0.0 on 26 Aug 2026; Terminal chart data cycle 04-2026 (Expired); Notice: After 26 Feb 2026, 0000Z, this chart may no longer be valid

Printed from JeppView for Windows 5.3.0.0 on 26 Aug 2026; Terminal chart data cycle 04-2026 (Expired); Notice: After 26 Feb 2026, 0000Z, this chart may no longer be valid

D-ATIS	Apt Elev	Alt Set: INCHES
127.575	1135	Trans level: FL180

1. RADAR required.
2. RNAV 1.
3. DME/DME/IRU or GPS required.
4. Turbojet aircraft only.

PINNG 1 RNAV ARRIVAL (PINNG.PINNG1)

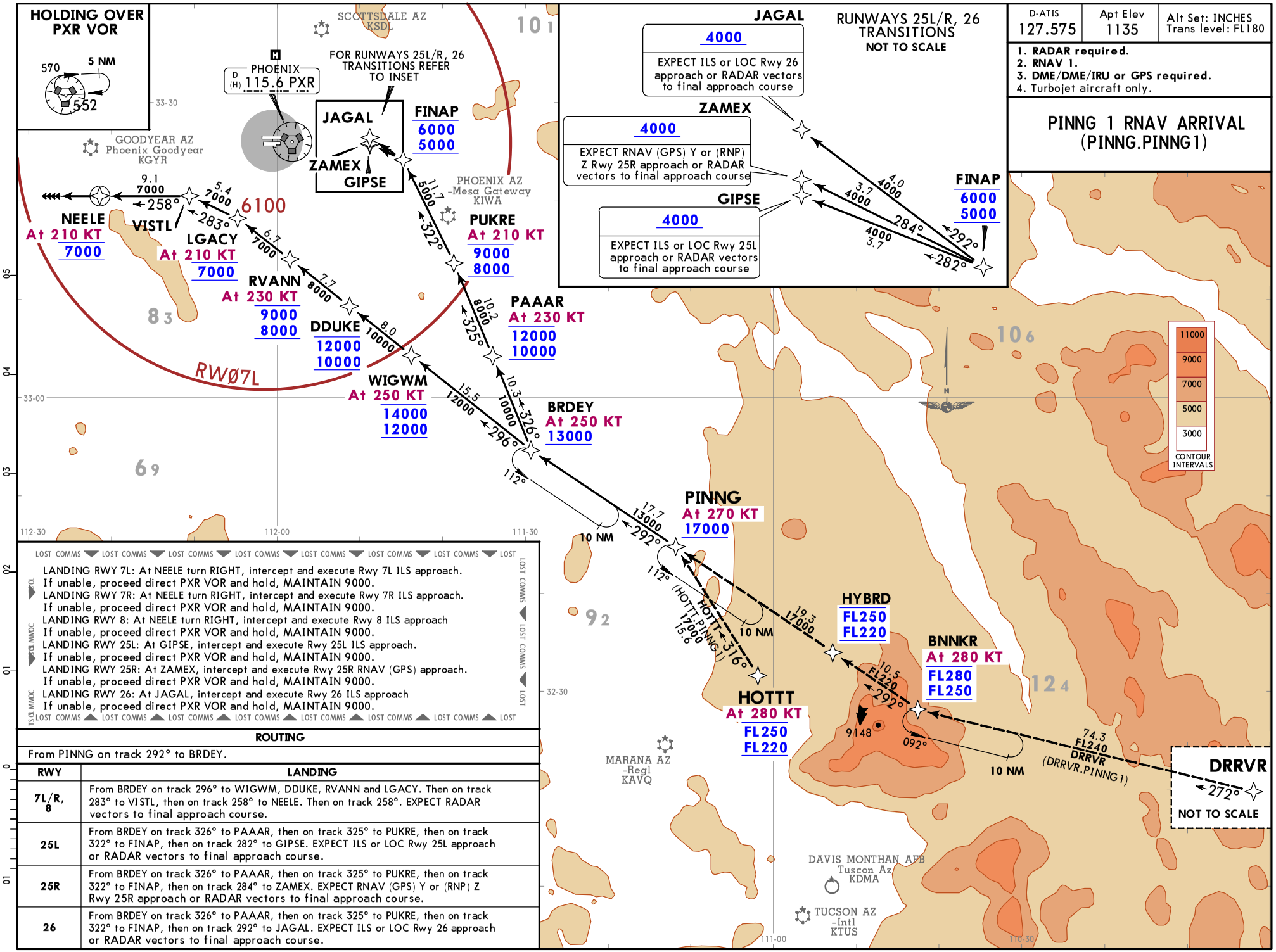

LOST COMMS

LANDING RWY 7L: At NEELE turn RIGHT, intercept and execute Rwy 7L ILS approach.
If unable, proceed direct PXR VOR and hold, MAINTAIN 9000.
LANDING RWY 7R: At NEELE turn RIGHT, intercept and execute Rwy 7R ILS approach.
If unable, proceed direct PXR VOR and hold, MAINTAIN 9000.
LANDING RWY 8: At NEELE turn RIGHT, intercept and execute Rwy 8 ILS approach
If unable, proceed direct PXR VOR and hold, MAINTAIN 9000.
LANDING RWY 25L: At GIPSE, intercept and execute Rwy 25L ILS approach.
If unable, proceed direct PXR VOR and hold, MAINTAIN 9000.
LANDING RWY 25R: At ZAMEX, intercept and execute Rwy 25R RNAV (GPS) approach.
If unable, proceed direct PXR VOR and hold, MAINTAIN 9000.
LANDING RWY 26: At JAGAL, intercept and execute Rwy 26 ILS approach
If unable, proceed direct PXR VOR and hold, MAINTAIN 9000.

LOST COMMS

ROUTING

From PINNG on track 292° to BRDEY.

RWY	LANDING
7L/R, 8	From BRDEY on track 296° to WIGWM, DDUKE, RVANN and LGACY. Then on track 283° to VISTL, then on track 258° to NEELE. Then on track 258°. EXPECT RADAR vectors to final approach course.
25L	From BRDEY on track 326° to PAAAR, then on track 325° to PUKRE, then on track 322° to FINAP, then on track 282° to GIPSE. EXPECT ILS or LOC Rwy 25L approach or RADAR vectors to final approach course.
25R	From BRDEY on track 326° to PAAAR, then on track 325° to PUKRE, then on track 322° to FINAP, then on track 284° to ZAMEX. EXPECT RNAV (GPS) Y or (RNP) Z Rwy 25R approach or RADAR vectors to final approach course.
26	From BRDEY on track 326° to PAAAR, then on track 325° to PUKRE, then on track 322° to FINAP, then on track 292° to JAGAL. EXPECT ILS or LOC Rwy 26 approach or RADAR vectors to final approach course.

CHANGES: Reissue.

© JEPPESEN, 2018, 2019. ALL RIGHTS RESERVED.

D-ATIS	Apt Elev	Alt Set: INCHES Trans level: FL180 **1. DME required.** **2. RADAR required.** 3. Turboprops only.
127.575	See Graphic	

SUNSS 8 ARRIVAL (BAYBI.SUNSS8)

ROUTING

From BAYBI on PXR R120 to SQUEZ and SUNSS. Depart SUNSS on heading 290° for RADAR vectors to final approach course.

COMMS ▼ LOST COMMS ▼ LOST COMMS ▼ LOST COMMS
After SUNSS, proceed direct PXR VOR.
TSA LOST COMMS ▲ LOST COMMS ▲ LOST COMMS ▲ LOST LOST

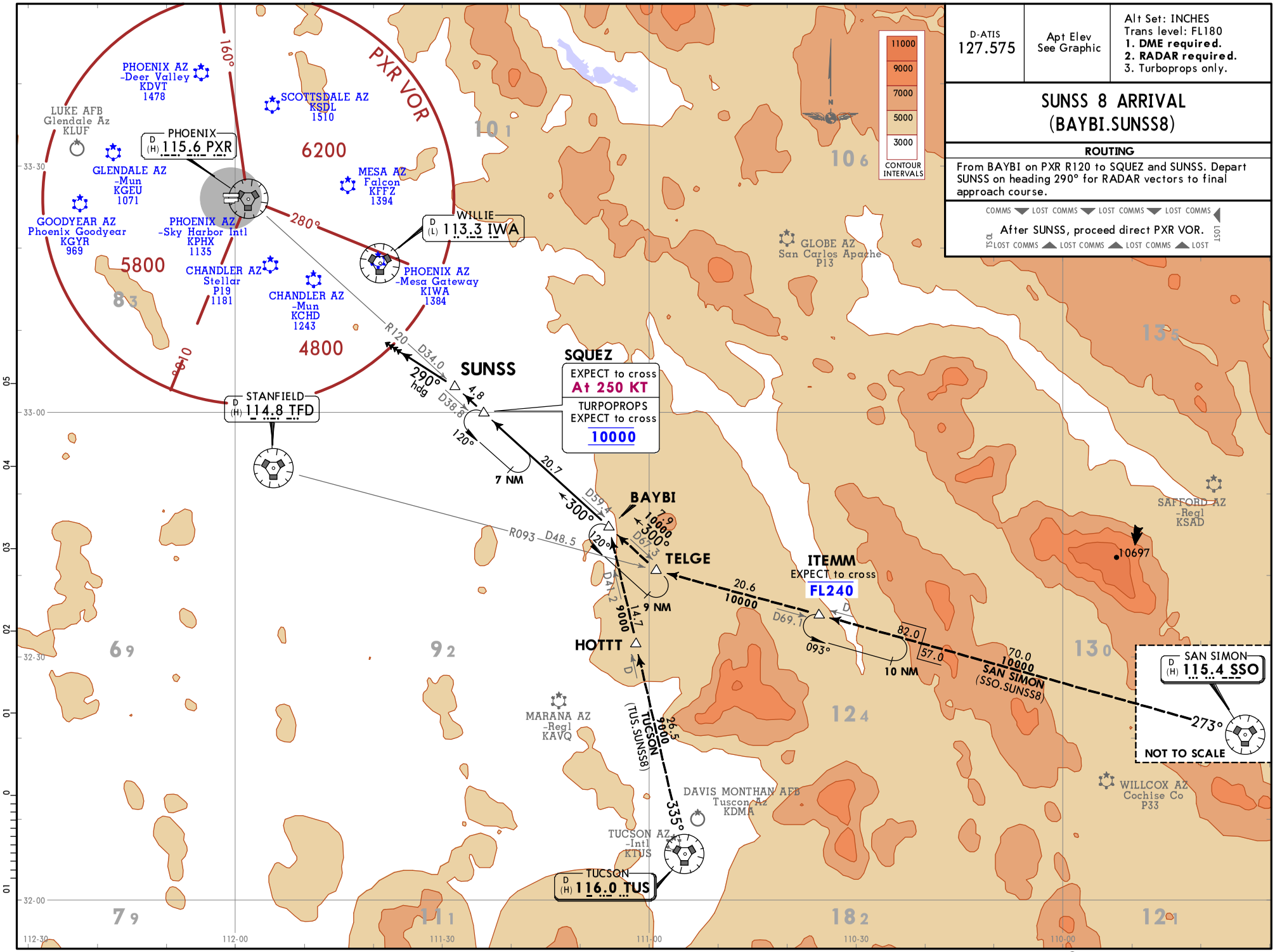

CHANGES: P19 airport elevation.

© JEPPESEN, 2018, 2019. ALL RIGHTS RESERVED.

Printed from JeppView for Windows 5.3.0.0 on 26 Aug 2026; Terminal chart data cycle 04-2026 (Expired); Notice: After 26 Feb 2026, 0000Z, this chart may no longer be valid

PHOENIX Departure (R)	Apt Elev	Trans alt: 18000
126.8	1135	

1. **RADAR and DME required.** 2. Restricted to turbojet and turboprop aircraft only. 3. Aircraft filing over ACH, CNX, IRW, LBL, ONM, PNH, TCC, and TXO use BALDY departure. 4. Aircraft filing over SJN, ABQ, and GCK use ST. JOHNS departure.

BALDY 3 DEPARTURE (BALDY3.MAXXO)

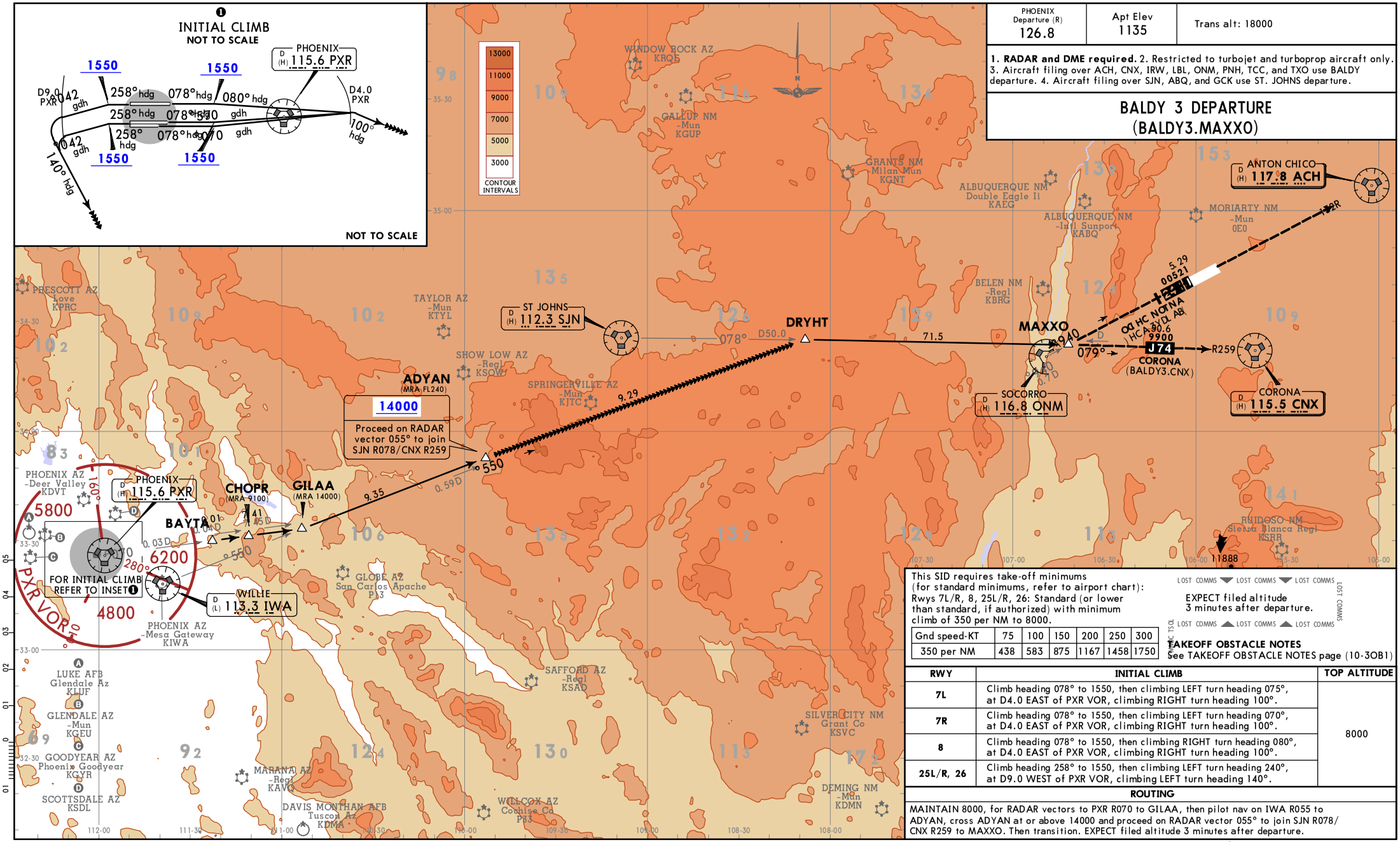

This SID requires take-off minimums (for standard minimums, refer to airport chart): Rwys 7L/R, 8, 25L/R, 26: Standard (or lower than standard, if authorized) with minimum climb of 350 per NM to 8000.

Gnd speed-KT	75	100	150	200	250	300
350 per NM	438	583	875	1167	1458	1750

LOST COMMS ▼ LOST COMMS ▼ LOST COMMS
EXPECT filed altitude 3 minutes after departure.
LOST COMMS ▲ LOST COMMS ▲ LOST COMMS

TAKEOFF OBSTACLE NOTES
See TAKEOFF OBSTACLE NOTES page (10-3OB1)

RWY	INITIAL CLIMB	TOP ALTITUDE
7L	Climb heading 078° to 1550, then climbing LEFT turn heading 075°, at D4.0 EAST of PXR VOR, climbing RIGHT turn heading 100°.	8000
7R	Climb heading 078° to 1550, then climbing LEFT turn heading 070°, at D4.0 EAST of PXR VOR, climbing RIGHT turn heading 100°.	
8	Climb heading 078° to 1550, then climbing RIGHT turn heading 080°, at D4.0 EAST of PXR VOR, climbing RIGHT turn heading 100°.	
25L/R, 26	Climb heading 258° to 1550, then climbing LEFT turn heading 240°, at D9.0 WEST of PXR VOR, climbing LEFT turn heading 140°.	

ROUTING

MAINTAIN 8000, for RADAR vectors to PXR R070 to GILAA, then pilot nav on IWA R055 to ADYAN, cross ADYAN at or above 14000 and proceed on RADAR vector 055° to join SJN R078/CNX R259 to MAXXO. Then transition. EXPECT filed altitude 3 minutes after departure.

CHANGES: Procedure renumbered, routing, SILOW departure cancelled.

© JEPPESEN, 2018, 2019. ALL RIGHTS RESERVED.

Printed from JeppView for Windows 5.3.0.0 on 26 Aug 2026; Terminal chart data cycle 04-2026 (Expired); Notice: After 26 Feb 2026, 0000Z, this chart may no longer be valid

This SID requires take-off minimums (for standard minimums, refer to airport chart):
Rwys 7L/R, 8: Standard (or lower than standard, if authorized) with minimum climb of 500 per NM to 1635.
Rwys 25L/R, 26: Standard (or lower than standard, if authorized) with minimum climb of 500 per NM to 1900.

Gnd speed-KT	75	100	150	200	250	300
500 per NM	625	833	1250	1667	2083	2500

OBSTACLES
For TAKEOFF OBSTACLE NOTES see 10-3OB1.

RWY	INITIAL CLIMB	TOP ALTITUDE
7L/R, 8	Climb heading 078° to 1635, then direct to SPRKY, then LEFT turn direct BROAK.	8000
25L/R	Climb heading 258° to intercept course 240° to JUTAK, then on track 151° to WETAL, then on track 123° to RIICH, then on track 070° to PYPPE, then on track 050° to BARLL, then on track 057° to BROAK.	
26	Climb heading 258° to 1635, then LEFT turn direct JUTAK, then on track 151° to WETAL, then on track 123° to RIICH, then on track 070° to PYPPE, then on track on track 050° to BARLL, then on track 057° to BROAK.	

ROUTING
From BROAK on track 059° to FTHLS, then on transition. MAINTAIN 8000, EXPECT higher altitude 3 minutes after departure.

PHOENIX Departure (R)	Apt Elev	Trans alt: 18000
126.8	1135	

1. RADAR required. 2. DME/DME/IRU or GPS required. 3. RNAV 1. 4. Turbojets and turboprops only. 5. ALBUQUERQUE Transition ATC assigned only. 6. Aircraft filing over ACH, LBL, ONM, CNX, PNH, MMB, TCC, IRW and TXO file BROAK departure. 7. Aircraft filing over ABQ, CIM, FTI and GCK file FORPE departure. 8. Aircraft filing over DEN, RSK, ALS and points NORTH of ALS file MRBIL departure. 9. For non-GPS equipped aircraft, PXR and TFD DMEs must be operational.

BROAK 1 RNAV DEPARTURE (BROAK1.BROAK)

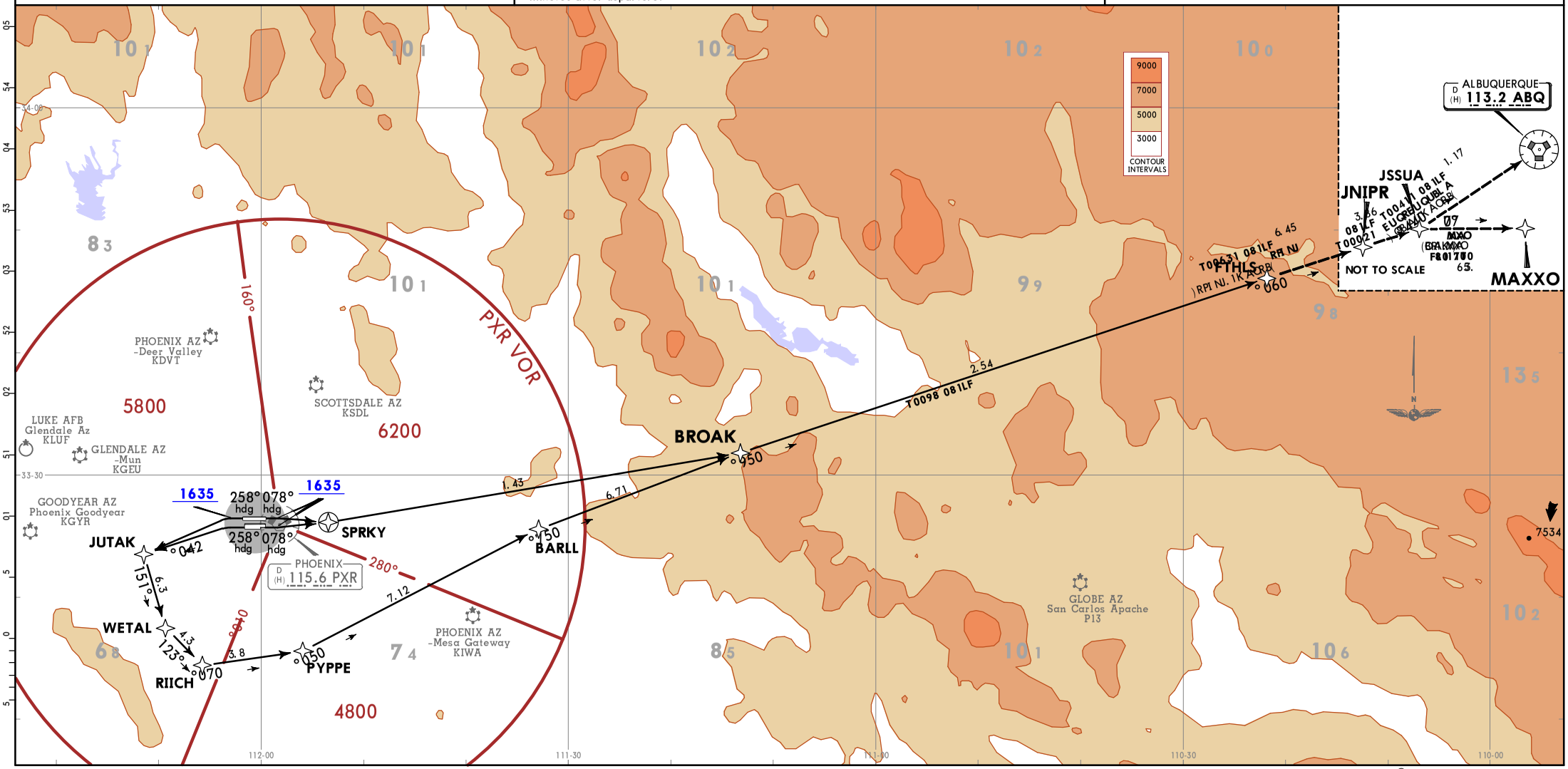

CHANGES: None.

© JEPPESEN, 2018. ALL RIGHTS RESERVED.

Printed from JeppView for Windows 5.3.0.0 on 26 Aug 2026; Terminal chart data cycle 04-2026 (Expired); Notice: After 26 Feb 2026, 0000Z, this chart may no longer be valid

PHOENIX Departure (R)	Apt Elev	Trans alt: 18000
126.8	1135	

1. RADAR and DME required. 2. Restricted to turbojet and turboprop aircaft only. 3. Turbojets landing LAX: File PARKER transition 4. Aircraft landing other than LAX and turboprops landing LAX: Requesting FL240 and above, file PALMDALE or PALM SPRINGS transition.
5. Aircraft requesting FL220 and below: Must file BLYTHE transition.

BUCKEYE 4 DEPARTURE (BXK4.BXK)

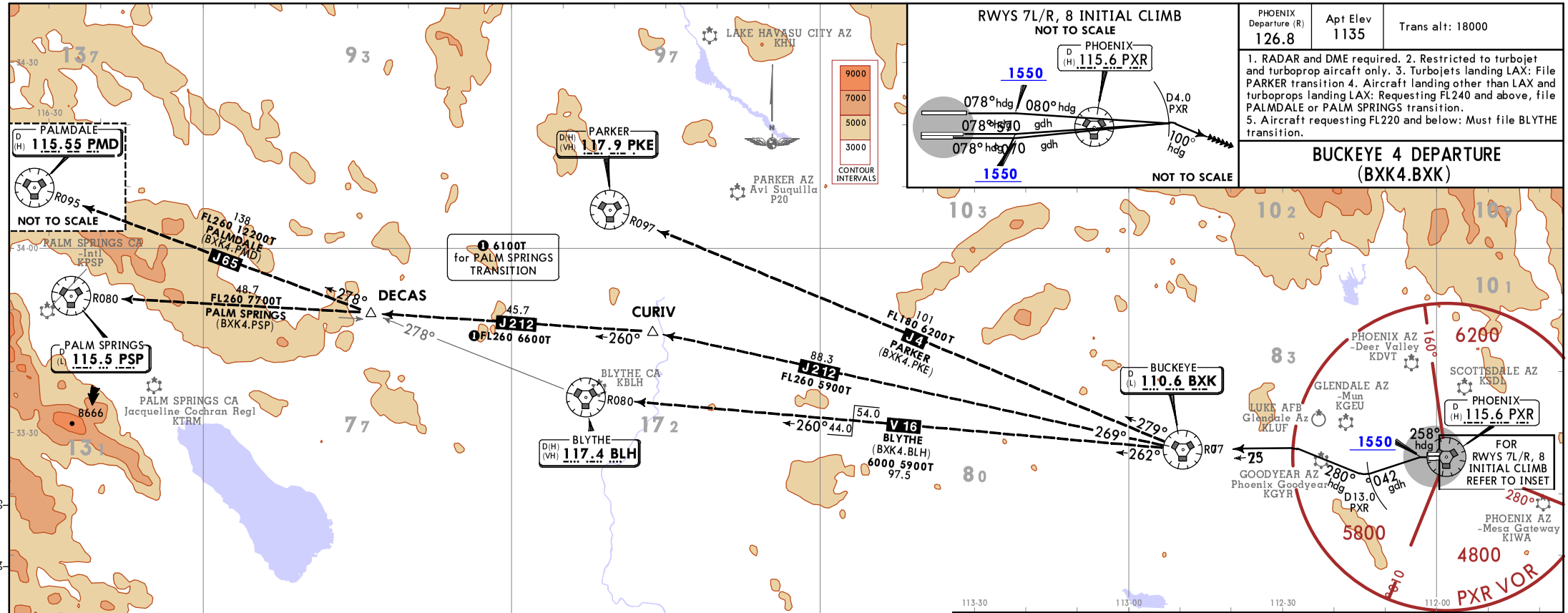

TAKE-OFF MINIMUMS:

Rwys 7L/R, 8: Standard with minimum climb of 300 FT/NM to 8000.

Rwys 25L/R, 26: Standard with minimum climb of 350 FT/NM to 8000.

Gnd speed-KT	75	100	150	200	250	300
300 FT/NM	375	500	750	1000	1250	1500
350 FT/NM	438	583	875	1167	1458	1750

LOST COMMS ▼ LOST COMMS ▼ LOST COMMS
EXPECT filed altitude 3 minutes after departure.
LOST COMMS ▲ LOST COMMS ▲ LOST COMMS
TSOL MMDC
LOST COMMS

TAKE-OFF OBSTACLE NOTES
For TAKE-OFF OBSTACLE NOTES see 10-3OB1.

RWY	INITIAL CLIMB	TOP ALTITUDE
7L	Climb heading 078° to 1550, then climbing LEFT turn heading 075°, at D4.0 EAST of PXR VOR climbing RIGHT turn heading 100°. EXPECT RADAR vectors to BXK VOR.	8000
7R	Climb heading 078° to 1550, then climbing LEFT turn heading 070°, at D4.0 EAST of PXR VOR climbing RIGHT turn heading 100°. EXPECT RADAR vectors to BXK VOR.	
8	Climb heading 078° to 1550, then climbing RIGHT turn heading 080°, at D4.0 EAST of PXR VOR climbing RIGHT turn heading 100°. EXPECT RADAR vectors to BXK VOR.	
25L/R, 26	Climb heading 258° to 1550, then climbing LEFT turn heading 240°, at D13.0 WEST of PXR VOR climbing RIGHT turn heading 280° to the BXK R077 to BXK VOR.	

ROUTING

At BXK VOR, MAINTAIN 8000, then via transition. EXPECT filed altitude 3 minutes after departure.

CHANGES: PMD VOR frequency, BLH, PKE VOR service volumes.

© JEPPESEN, 2018, 2023. ALL RIGHTS RESERVED.

Printed from JeppView for Windows 5.3.0.0 on 26 Aug 2026; Terminal chart data cycle 04-2026 (Expired); Notice: After 26 Feb 2026, 0000Z, this chart may no longer be valid

PHOENIX Departure (R)	Apt Elev	Trans alt: 18000
119.2	1135	

1. RADAR and DME required.
2. Restricted to turbojet and turboprop aircraft only.
3. HOBES tansition: For turboprops landing LAS terminal area only. 4. KINGMAN transition: For turbojets landing LAS terminal area only.

CHILY 4 DEPARTURE (CHILY4.CHILY)

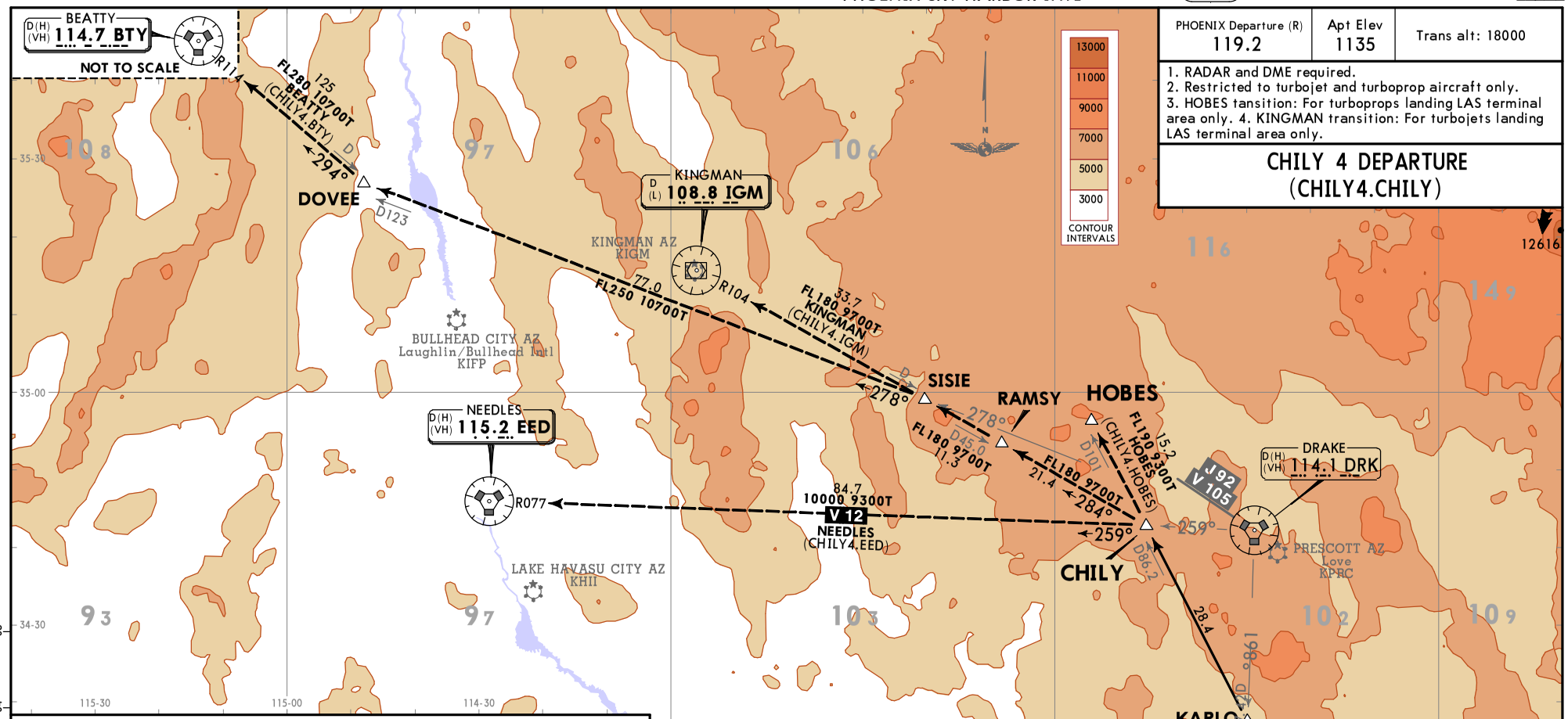

TAKE-OFF MINIMUMS:

Rwys 7L/R, 8: Standard with minimum climb of 300 FT/NM to 8000.

Rwys 25L/R, 26: Standard with minimum climb of 350 FT/NM to 8000.

Gnd speed-KT	75	100	150	200	250	300
300 FT/NM	375	500	750	1000	1250	1500
350 FT/NM	438	583	875	1167	1458	1750

LOST COMMS ▼ LOST COMMS ▼ LOST COMMS
EXPECT filed altitude 3 minutes after departure.
LOST COMMS ▲ LOST COMMS ▲ LOST COMMS
S MMOC TSQL

TAKE-OFF OBSTACLE NOTES
For TAKE-OFF OBSTACLE NOTES see 10-3OB1.

RWY	INITIAL CLIMB	TOP ALTITUDE
7L	Climb heading 078° to 1550, then climbing LEFT turn heading 075°, at D4.0 EAST of PXR VOR, climbing LEFT turn heading 045°.	8000
7R	Climb heading 078° to 1550, then climbing LEFT turn heading 070°, at D4.0 EAST of PXR VOR, climbing LEFT turn heading 045°.	
8	Climb heading 078° to 1550, then climbing RIGHT turn heading 080°, at D4.0 EAST of PXR VOR, climbing LEFT turn heading 045°.	
25L	Climb heading 258° to 1550, then climbing RIGHT turn heading 265°, at D9.0 WEST of PXR VOR, climbing RIGHT turn heading 360°.	
25R, 26	Climb heading 258° to 1550, then climbing RIGHT turn heading 260°, at D9.0 WEST of PXR VOR, climbing RIGHT turn heading 360°.	

ROUTING

MAINTAIN 8000, EXPECT RADAR vectors to PXR R321 to ZEPER, then CHILY. Then via transition. EXPECT filed altitude 3 minutes after departure.

INITIAL CLIMB
NOT TO SCALE

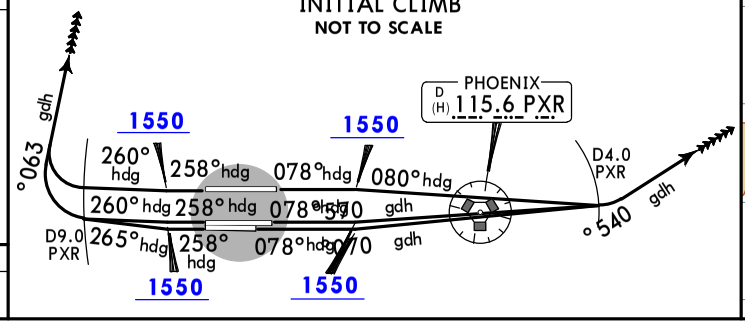

CHANGES: BTY, EED, DRK VOR service volumes.

© JEPPESEN, 2010, 2023. ALL RIGHTS RESERVED.

Printed from JeppView for Windows 5.3.0.0 on 26 Aug 2026; Terminal chart data cycle 04-2026 (Expired); Notice: After 26 Feb 2026, 0000Z, this chart may no longer be valid

PHOENIX Departure (R)	Apt Elev	Trans alt: 18000
126.8	1135	

1. RADAR required. 2. DME/DME/IRU or GPS required. 3. RNAV 1.
4. Turbojets and turboprops only.
5. For non-GPS equipped aircraft, TFD and DUG DMEs must be operational.

ECLPS 1 RNAV DEPARTURE (ECLPS1.ECLPS) (ALL RWYS)

RWY	INITIAL CLIMB	TOP ALTITUDE
7L/R, 8	Climb heading 078° to 1635, then direct to SPRKY, then RIGHT turn direct ECLPS.	8000
25L/R	Climb heading 258° to intercept course 240° to JUTAK, then on track 151° to WETAL, then on track 123° to RIICH, then on track 095° to ECLPS.	
26	Climb heading 258° to 1635, then LEFT turn direct JUTAK, then on track 151° to WETAL, then on track 123° to RIICH, then on track 095° to ECLPS.	

ROUTING

From ECLPS on track 111° to KATMN. Then on transition, EXPECT filed altitude 3 minutes after departure.

TAKE-OFF OBSTACLES NOTES
See TAKE-OFF OBSTACLE NOTES page (10-3OB1.)

TAKE-OFF MINIMUMS:
Rwys 7L/R, 8: Standard with minimum climb of 500 FT/NM to 1635.
Rwys 25L/R, 26: Standard with minimum climb of 500 FT/NM to 1900.

Gnd speed-KT	75	100	150	200	250	300
500 FT/NM	625	833	1250	1667	2083	2500

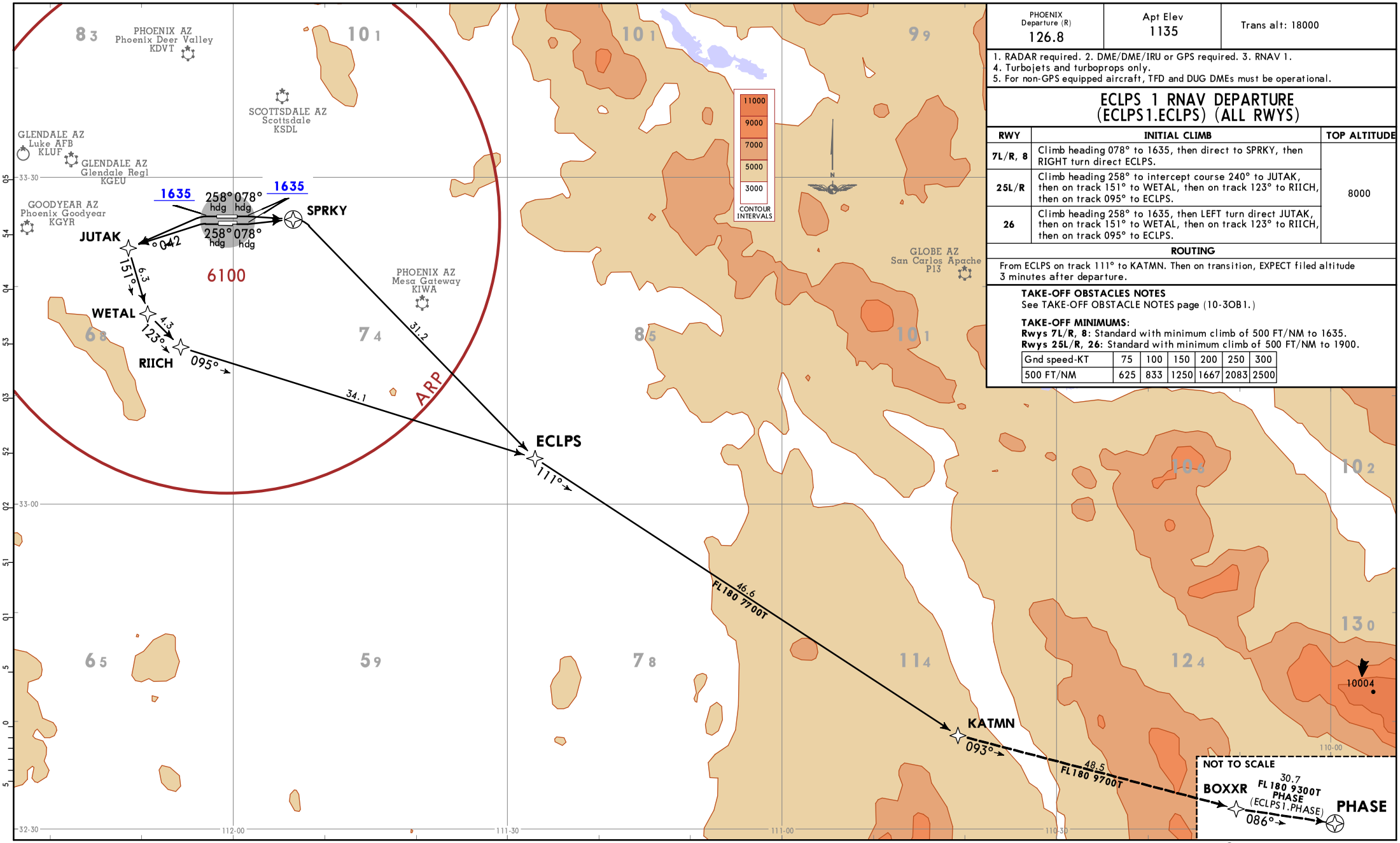

CHANGES: MSA.

© JEPPESEN, 2018, 2025. ALL RIGHTS RESERVED.

Printed from JeppView for Windows 5.3.0.0 on 26 Aug 2026; Terminal chart data cycle 04-2026 (Expired); Notice: After 26 Feb 2026, 0000Z, this chart may no longer be valid

TAKE-OFF OBSTACLE NOTES
See TAKE-OFF OBSTACLE NOTES PAGE (10-3OB1).

TAKE-OFF MINIMUMS:
Rwys 7L/R, 8: Standard with minimum climb of 500 FT/NM to 1635, then minimum climb of 250 FT/NM to 7300.
Rwys 25L/R, 26: Standard with minimum climb of 500 FT/NM to 1635.

Gnd speed-KT	75	100	150	200	250	300
250 FT/NM	313	417	625	833	1042	1250
500 FT/NM	625	833	1250	1667	2083	2500

RWY	INITIAL CLIMB	TOP ALTITUDE
7L/R, 8	Climb heading 078° to 1635, then direct SPRKY, then LEFT turn direct FORPE.	8000
25L	Climb heading 258° to 1635, then direct ZOLUP, then on track 260° to YOVKU, then on track 349° to cross ZIDOG at or above 5000 and at or below 230 KT, then on track 002° to OXYGN, then on track 035° to ZILUB, then on track 084° to FORPE.	
25R	Climb heading 258° to 1635, then direct JINOL, then on track 260° to OSGUE, then on track 349° to cross ZIDOG at or above 5000 and at or below 230 KT, then on track 002° to OXYGN, then on track 035° to ZILUB, then on track 084° to FORPE.	
26	Climb heading 258° to 1635, then direct WIVLA, then on track 260° to HIRVU, then on track 349° to cross ZIDOG at or above 5000 and at or below 230 KT, then on track 002° to OXYGN, then on track 035° to ZILUB, then on track 084° to FORPE.	

ROUTING
From FORPE on track 055° to LALUZ, then on transition. MAINTAIN 8000, EXPECT higher altitude 3 minutes after departure.

PHOENIX Departure (R)	Apt Elev	Trans alt: 18000
119.2	1135	

1. RADAR required. 2. DME/DME/IRU or GPS required. 3. RNAV 1. 4. Turbojets and turboprops only. 5. MAXXO transition ATC assigned only. 6. ST JOHNS transition for ABQ terminal arrivals only. 7. Aircraft filing over DEN, RSK, ALS and points NORTH of ALS, file MRBIL departure. 8. Aircraft filing over ABQ, CIM, FTI and GCK, file FORPE departure. 9. Aircraft filing over ACH, LBL, ONM, CNX, PNH, MMB, TCC, IRW and TXO, file BROAK departure. 10. For non-GPS equipped aircraft, PXR DME must be operational. 11. For non-GPS equipped aircraft using MAXXO and ALBUQUERQUE transitions, ABQ DME must be operational. 12. For non-GPS equipped aircraft departing Rwys 25L/R and 26, IWA and TFD DMEs must be operational.

FORPE 1 RNAV DEPARTURE (FORPE1.FORPE) (ALL RWYS)

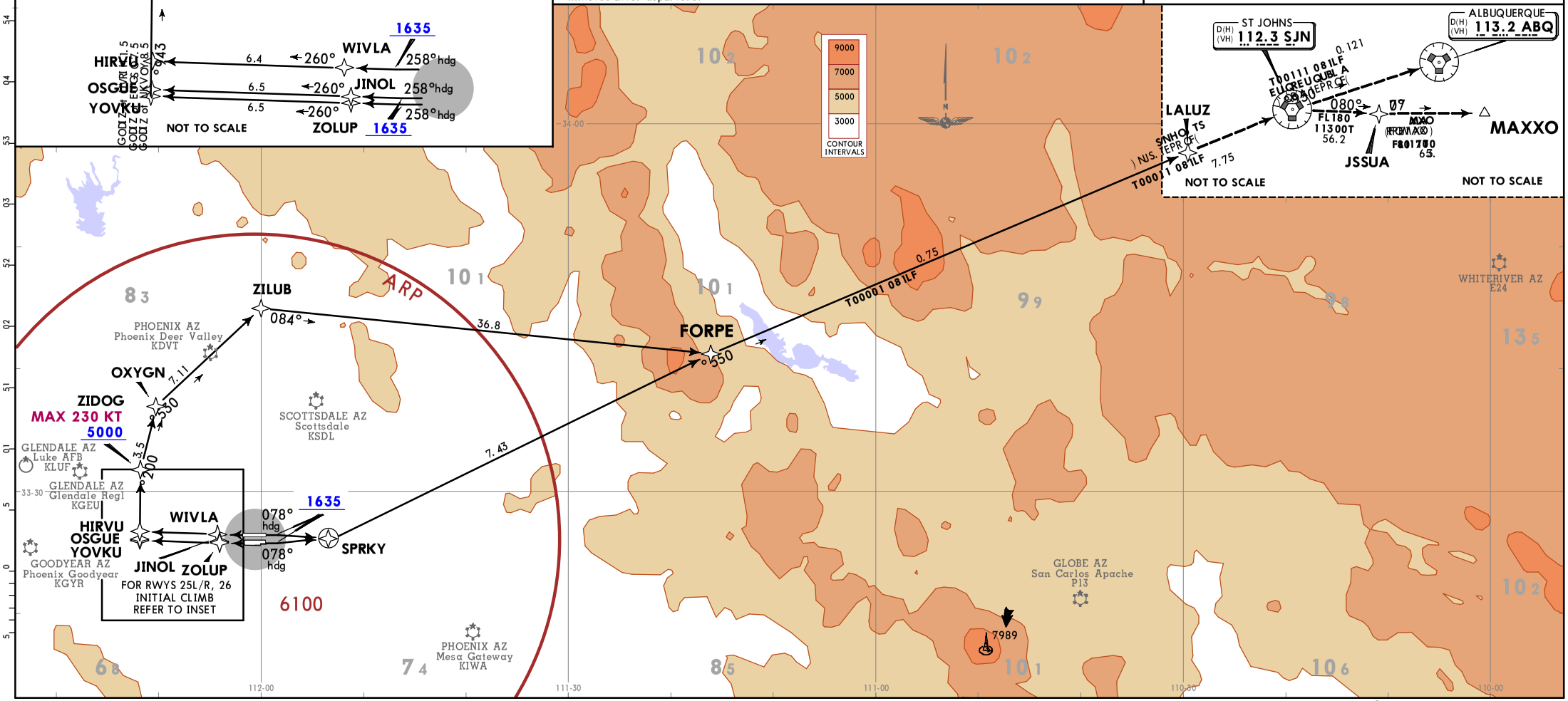

CHANGES: MSA, ABQ and SJN VORs service volume.

© JEPPESEN, 2018, 2025. ALL RIGHTS RESERVED.

Printed from JeppView for Windows 5.3.0.0 on 26 Aug 2026; Terminal chart data cycle 04-2026 (Expired); Notice: After 26 Feb 2026, 0000Z, this chart may no longer be valid

This SID requires take-off minimums (for standard minimums, refer to airport chart):
Rwys 7L/R, 8: Standard (or lower than standard, if authorized).
Rwys 25L/R, 26: Standard (or lower than standard, if authorized) with minimum climb of 500 per NM to 1635, then minimum climb of 260 per NM to 5400.

Gnd speed-KT	75	100	150	200	250	300
260 per NM	325	433	650	867	1083	1300
500 per NM	625	833	1250	1667	2083	2500

OBSTACLES
For TAKEOFF OBSTACLE NOTES see 10-3OB1.

RWY	INITIAL CLIMB	TOP ALTITUDE
7L/R, 8	Climb heading 078° to 1635, then direct FUTEP, then on track 132° to AZCRD, then on track 199° to USEYE, then on track 264° to cross MASVE at or above 7000 and at or below 220 KT, then on track 264° to OAKLI, then on track 222° to FYRBD.	8000
25L/R	Climb heading 258° to intercept course 240° to JUTAK, then on track 151° to WETAL, then on track 221° to FYRBD.	
26	Climb heading 258° to 1635, then LEFT turn direct JUTAK, then on track 151° to WETAL, then on track 221° to FYRBD.	

ROUTING
From FYRBD on track 249° to JUDTH, then on transition. MAINTAIN 8000, EXPECT higher altitude 3 minutes after departure.

PHOENIX Departure (R)	Apt Elev	Trans alt: 18000
126.8	1135	

1. **RADAR required.**
2. **DME/DME/IRU or GPS required.**
3. **RNAV 1.**
4. Turbojets and turboprops only.

FYRBD 1 RNAV DEPARTURE (FYRBD1.FYRBD)

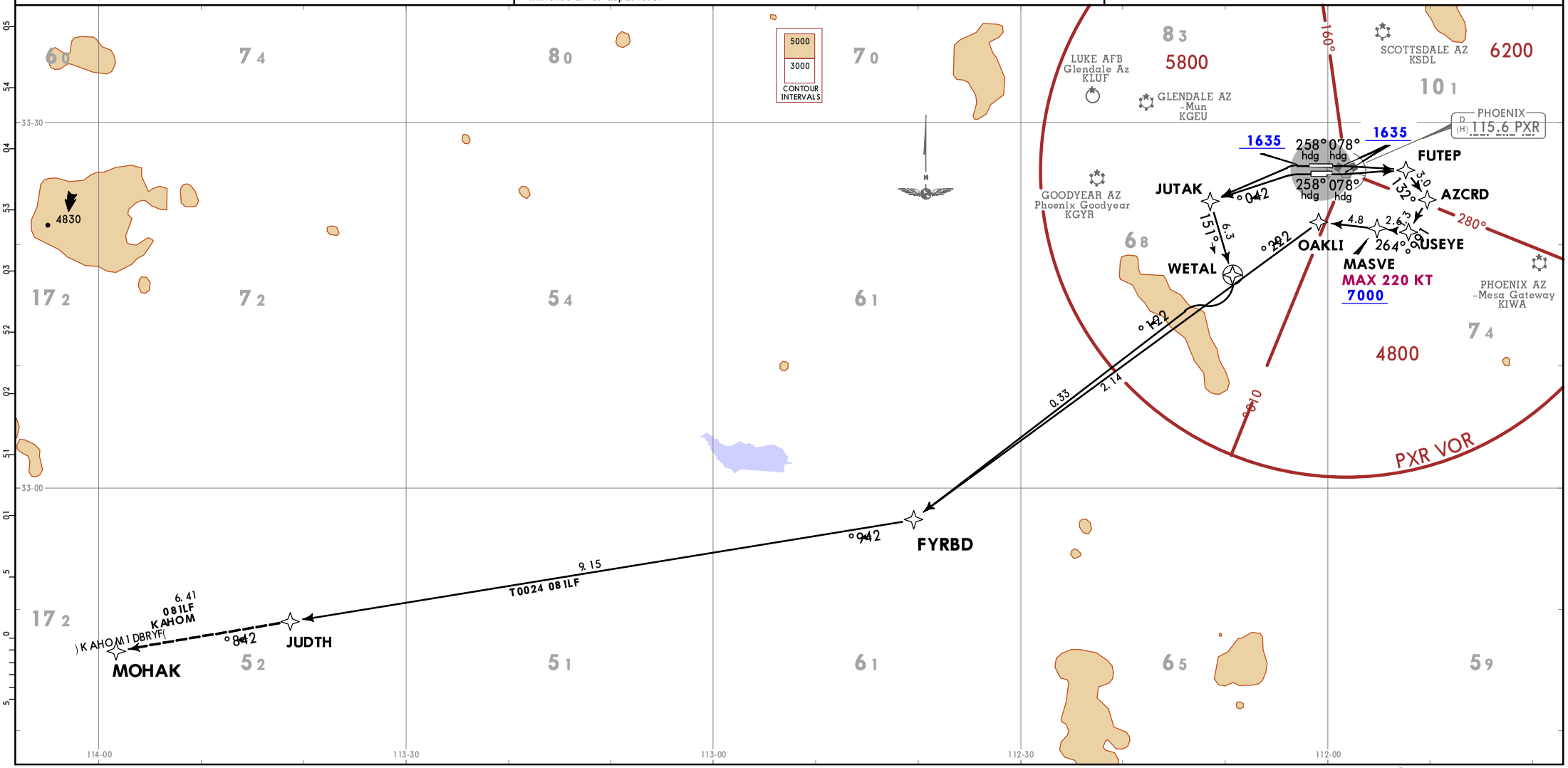

CHANGES: None.

© JEPPESEN, 2018. ALL RIGHTS RESERVED.

Printed from JeppView for Windows 5.3.0.0 on 26 Aug 2026; Terminal chart data cycle 04-2026 (Expired); Notice: After 26 Feb 2026, 0000Z, this chart may no longer be valid

TAKE-OFF OBSTACLE NOTES
For TAKE-OFF OBSTACLE NOTES see 10-3OB1.

TAKE-OFF MINIMUMS:
Rwys 7L/R, 8: Standard.
Rwys 25L/R, 26: Standard with minimum climb of 500 FT/NM to 1635.

Gnd speed-KT	75	100	150	200	250	300
500 FT/NM	625	833	1250	1667	2083	2500

RWY	INITIAL CLIMB	TOP ALTITUDE
7L/R, 8	Climb on heading 078° to 1635, then direct FUTEP, then on track 132° to AZCRD, then on track 199° to USEYE, then on track 264° to cross MASVE at or above 7000 and at or below 220 KT, then on track 264° to OAKLI, then on track 268° to KEENS.	8000
25L/R	Climb on heading 258° to intercept course 240° to WULKO, then on track 268° to KEENS.	
26	Climb on heading 258° to 1635, then LEFT turn direct WULKO, then on track 268° to KEENS.	

ROUTING
From KEENS on track 259° to IZZZO, then on transition. MAINTAIN 8000, EXPECT higher altitude 3 minutes after departure.

PHOENIX Departure (R)	Apt Elev	Trans alt: 18000
126.8	1135	

RNAV 1 - DME/DME/IRU or GPS required

1. RADAR required. 2. Turbojets and turboprops only. 3. Aircraft requesting FL220 and below must file BLYTHE transition. 4. Turbojets landing LAX, file WLVRN transition. 5. Aircraft landing other than LAX and turboprops landing at LAX: requesting FL240 and above, file HRRBR transition.

KEENS 3 RNAV DEPARTURE (KEENS3.KEENS) (ALL RWYS)

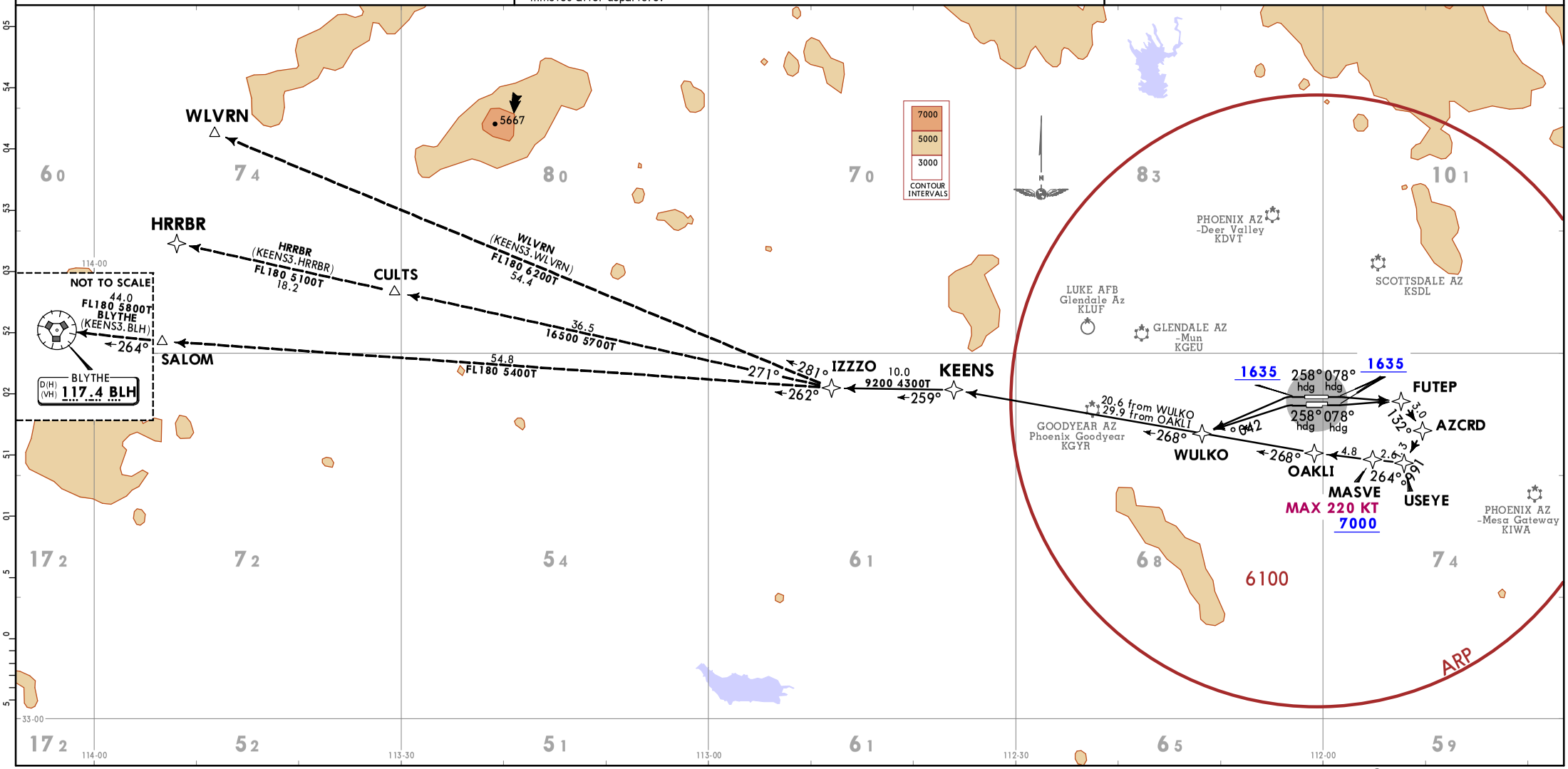

CHANGES: Procedure revised, renumbered.

© JEPPESEN, 2018, 2024. ALL RIGHTS RESERVED.

Printed from JeppView for Windows 5.3.0.0 on 26 Aug 2026; Terminal chart data cycle 04-2026 (Expired); Notice: After 26 Feb 2026, 0000Z, this chart may no longer be valid

Printed from JeppView for Windows 5.3.0.0 on 26 Aug 2026; Terminal chart data cycle 04-2026 (Expired); Notice: After 26 Feb 2026, 0000Z, this chart may no longer be valid

PHOENIX Departure (R)	Apt Elev	
126.8	1135	Trans alt: 18000 **1. RADAR and DME required.** 2. Restricted to turbojet and turboprop aircraft only.

MOBIE 4 DEPARTURE (MOBIE4.MOBIE)

INITIAL CLIMB

NOT TO SCALE

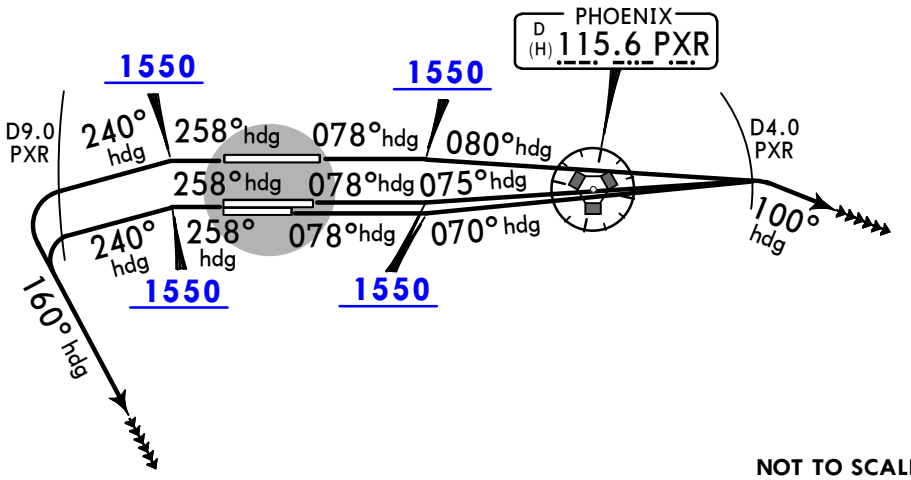

This SID requires take-off minimums (for standard minimums, refer to airport chart):
Rwys 7L/R, 8: Standard (or lower than standard, if authorized) with minimum climb of 300 per NM to 8000.
Rwys 25L/R, 26: Standard (or lower than standard, if authorized) with minimum climb of 350 per NM to 8000.

Gnd speed-KT	75	100	150	200	250	300
300 per NM	375	500	750	1000	1250	1500
350 per NM	438	583	875	1167	1458	1750

OBSTACLES
For TAKEOFF OBSTACLE NOTES see 10-3OB1.

LOST COMMS ▼ LOST COMMS ▼ LOST COMMS ▼
LOST COMMS — EXPECT filed altitude 3 minutes after departure. — LOST COMMS
LOST COMMS ▲ LOST COMMS ▲ LOST COMMS ▲

NOT TO SCALE

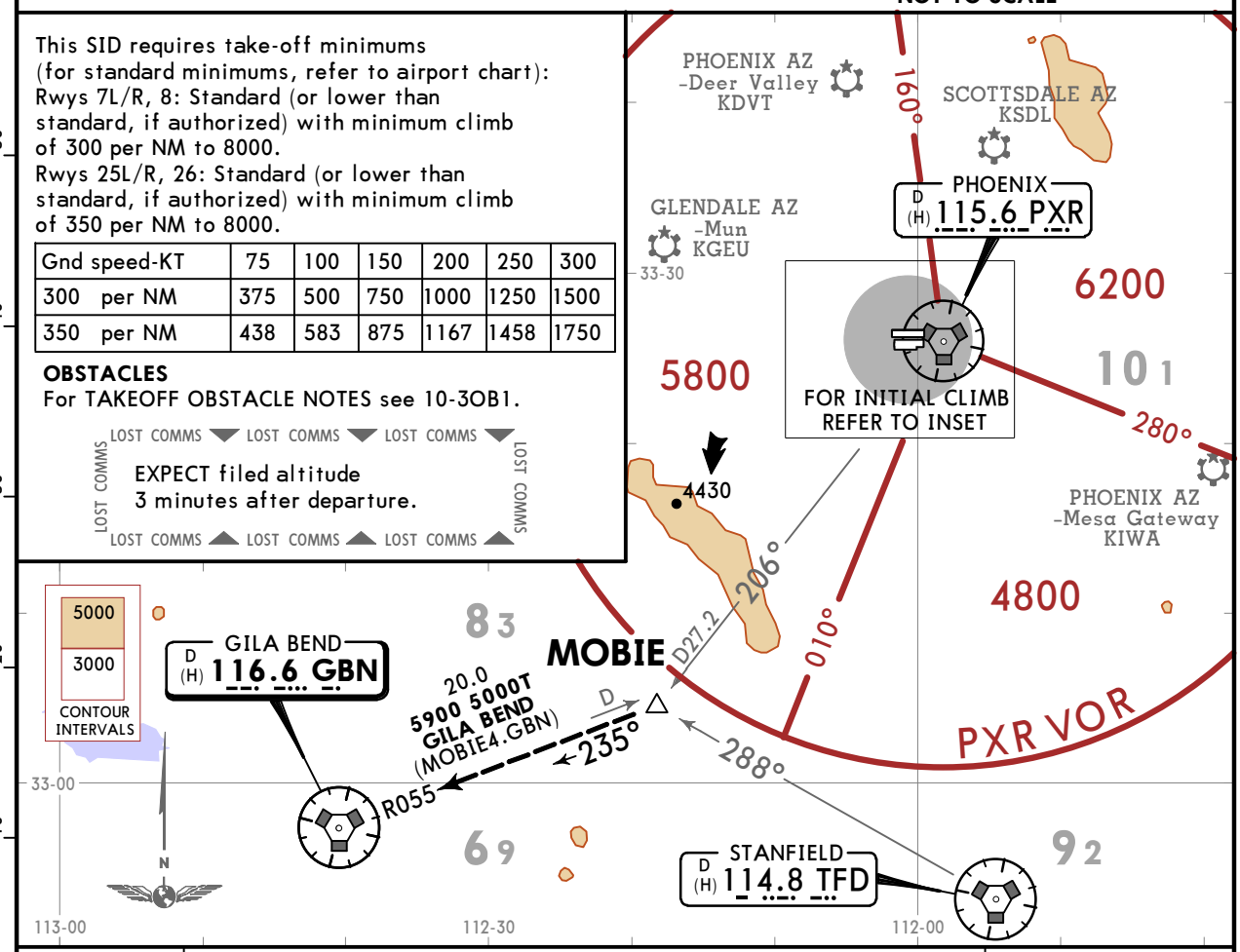

RWY	INITIAL CLIMB	TOP ALTITUDE
7L	Climb heading 078° to 1550, then climbing LEFT turn heading 075°, at D4.0 EAST of PXR VOR, climbing RIGHT turn heading 100°.	8000
7R	Climb heading 078° to 1550, then climbing LEFT turn heading 070°, at D4.0 EAST of PXR VOR, climbing RIGHT turn heading 100°.	
8	Climb heading 078° to 1550, then climbing RIGHT turn heading 080°, at D4.0 EAST of PXR VOR, climbing RIGHT turn heading 100°.	
25L/R, 26	Climb heading 258° to 1550, then climbing LEFT turn heading 240°, at D9.0 WEST of PXR VOR, climbing LEFT turn heading 160°.	

ROUTING

MAINTAIN 8000, EXPECT RADAR vectors to MOBIE, then via transition. EXPECT filed altitude 3 minutes after departure.

CHANGES: New format, reindexed (MAYSA Departure cancelled).

© JEPPESEN, 2018. ALL RIGHTS RESERVED.

Printed from JeppView for Windows 5.3.0.0 on 26 Aug 2026; Terminal chart data cycle 04-2026 (Expired); Notice: After 26 Feb 2026, 0000Z, this chart may no longer be valid

CHANGES: Grand Canyon VOR (GCN) frequency, service volume, MSA.

PHOENIX Departure (R) 119.2	Trans alt: 18000 1. RADAR required. 2. DME/DME/IRU or GPS required. 3. RNAV 1. 4. Turbojets and turboprops only. 5. GRAND CANYON transition ATC assigned only. 6. For non-GPS equipped aircraft departing Rwys 7L/R and 8, IWA and PXR DMEs must be operational. 7. For non-GPS equipped aircraft departing Rwys 25L/R and 26, TFD, IWA and DRK DMEs must be operational.
Apt Elev 1135	

MRBIL 1 RNAV DEPARTURE (MRBIL1.MRBIL) (ALL RWYS)

TAKEOFF OBSTACLE NOTES
See TAKEOFF OBSTACLE NOTES page (10-3OB1).

This SID requires takeoff minimums (for standard minimums, refer to airport chart):
Rwys 7L/R, 8: Standard (or lower than standard, if authorized) with minimum climb of 500 per NM to 1635, then minimum climb of 240 per NM to 5300.
Rwys 25L/R, 26: Standard (or lower than standard, if authorized) with minimum climb of 500 per NM to 1635.

Gnd speed-KT	75	100	150	200	250	300
240 per NM	300	400	600	800	1000	1200
500 per NM	625	833	1250	1667	2083	2500

RWY	INITIAL CLIMB	TOP ALTITUDE
7L/R, 8	Climb heading 078° to 1635, then direct SPRKY, then turn LEFT direct to cross GOALY at or below 9000, then on track 003° to POCCK, then on track 025° to MRBIL.	8000
25L	Climb heading 258° to 1635, then direct ZOLUP, then on track 260° to YOVKU, then on track 349° to cross ZIDOG at or above 5000 and at or below 230 KT, then on track 002° to OXYGN, then on track 035° to ZILUB, then on track 041° to MRBIL.	
25R	Climb heading 258° to 1635, then direct JINOL, then on track 260° to OSGUE, then on track 349° to cross ZIDOG at or above 5000 and at or below 230 KT, then on track 002° to OXYGN, then on track 035° to ZILUB, then on track 041° to MRBIL.	
26	Climb heading 258° to 1635, then direct WIVLA, then on track 260° to HIRVU, then on track 349° to cross ZIDOG at or above 5000 and at or below 230 KT, then on track 002° to OXYGN, then on track 035° to ZILUB, then on track 041° to MRBIL.	

ROUTING

From MRBIL on track 021° to YOTES, then on transition. MAINTAIN 8000, EXPECT higher altitude 3 minutes after departure.

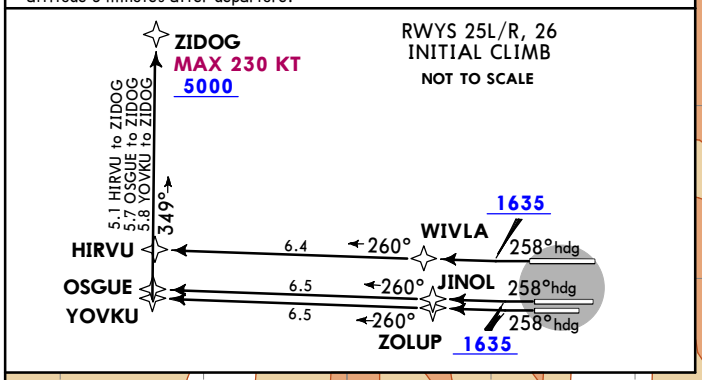

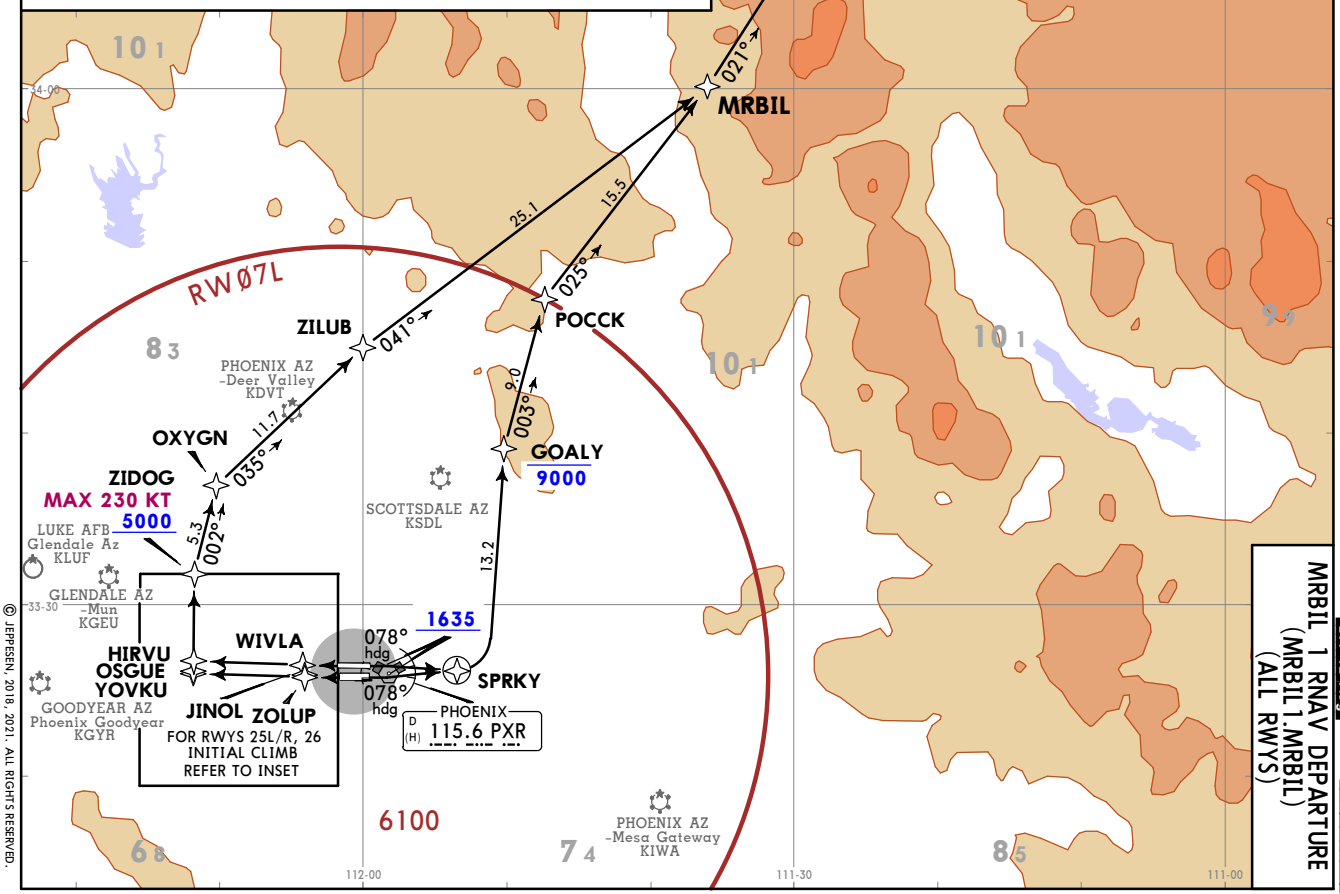

KPHX/PHX
PHOENIX SKY HARBOR INTL
JEPPESEN
10-3J
6 AUG 21
Eff 12 Aug
PHOENIX, ARIZ
RNAV SID
MRBIL 1 RNAV DEPARTURE (MRBIL1.MRBIL) (ALL RWYS)

© JEPPESEN, 2018, 2021. ALL RIGHTS RESERVED.

Printed from JeppView for Windows 5.3.0.0 on 26 Aug 2026; Terminal chart data cycle 04-2026 (Expired); Notice: After 26 Feb 2026, 0000Z, this chart may no longer be valid

PHOENIX Departure (R) 119.2	1. RADAR required. 2. DME/DME/IRU or GPS required. 3. RNAV 1. 4. Turbojets and turboprops only. 5. JARPA Transition ATC assigned only. 6. YOOPR Transition ATC assigned only. 7. CARTL Transition for FLG or PGA terminal arrivals only. 8. For non-GPS equipped aircraft using YOOPR transition, DRK DME must be operational. 9. For non-GPS equipped aircraft, IWA DME must be operational. 10. For non-GPS equipped aircraft departing Rwys 25L/R, 26, TFD and BXK DMEs must be operational. 11. For non-GPS equipped aircraft departing Rwys 8, 25R, 26, DRK DME must be operational. 12. For non-GPS equipped aircraft departing Rwys 7L/R, PXR DME must be operational.
Apt Elev 1135	
Trans alt: 18000	

QUAKY 1 RNAV DEPARTURE (QUAKY1.QUAKY) (ALL RWYS)

This SID requires takeoff minimums (for standard minimums, refer to airport chart):
Rwys 7L/R, 8: Standard (or lower than standard, if authorized) with minimum climb of 500 per NM to 1635, then minimum climb of 230 per NM to 5200.
Rwys 25L/R, 26: Standard (or lower than standard, if authorized) with minimum climb of 500 per NM to 1635.

Gnd speed-KT	75	100	150	200	250	300
230 per NM	288	383	575	767	958	1150
500 per NM	625	833	1250	1667	2083	2500

TAKEOFF OBSTACLE NOTES
See TAKEOFF OBSTACLE NOTES page (10-3OB1).

RWY	INITIAL CLIMB	TOP ALTITUDE
7L/R, 8	Climb heading 078° to 1635, then direct SPRKY, then LEFT turn direct to cross GOALY at or below 9000, then on track 337° to QUAKY.	8000
25L	Climb heading 258° to 1635, then direct ZOLUP, then on track 260° to YOVKU, then on track 349° to cross ZIDOG at or above 5000 and at or below 230 KT, then on track 002° to OXYGN, then on track 035° to ZILUB, then on track 357° to QUAKY.	
25R	Climb heading 258° to 1635, then direct JINOL, then on track 260° to OSGUE, then on track 349° to cross ZIDOG at or above 5000 and at or below 230 KT, then on track 002° to OXYGN, then on track 035° to ZILUB, then on track 357° to QUAKY.	
26	Climb heading 258° to 1635, then direct WIVLA, then on track 260° to HIRVU, then on track 349° to cross ZIDOG at or above 5000 and at or below 230 KT, then on track 002° to OXYGN, then track 035° to ZILUB, then on track 357° to QUAKY.	

ROUTING

From QUAKY on track 343° to SNOBL, then on transition. MAINTAIN 8000, EXPECT higher altitude 3 minutes after departure.

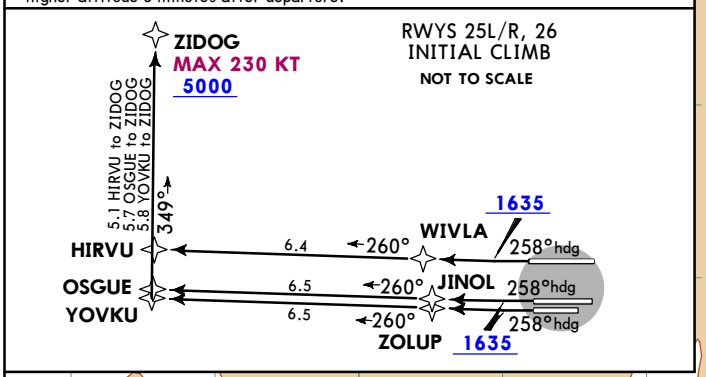

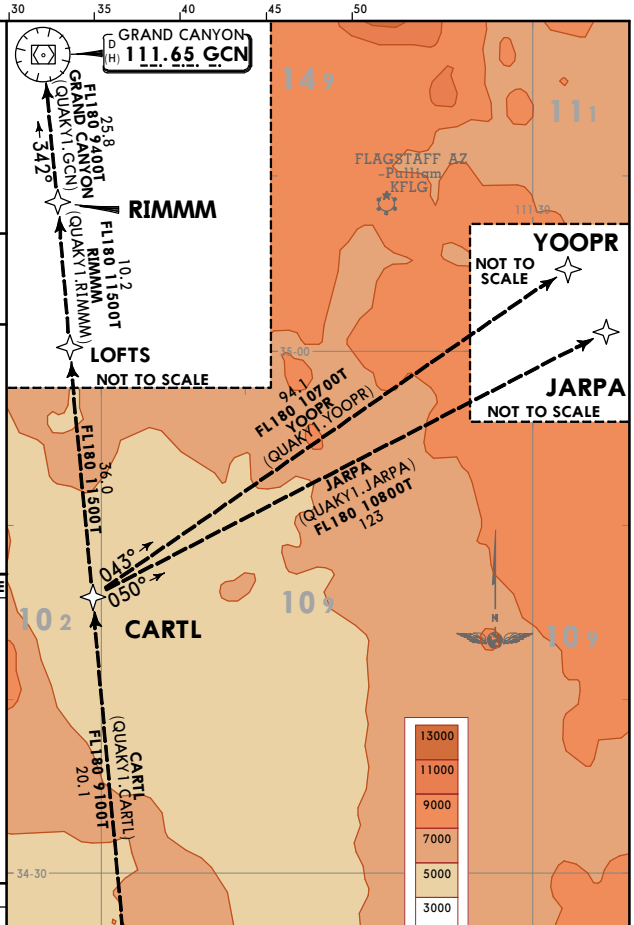

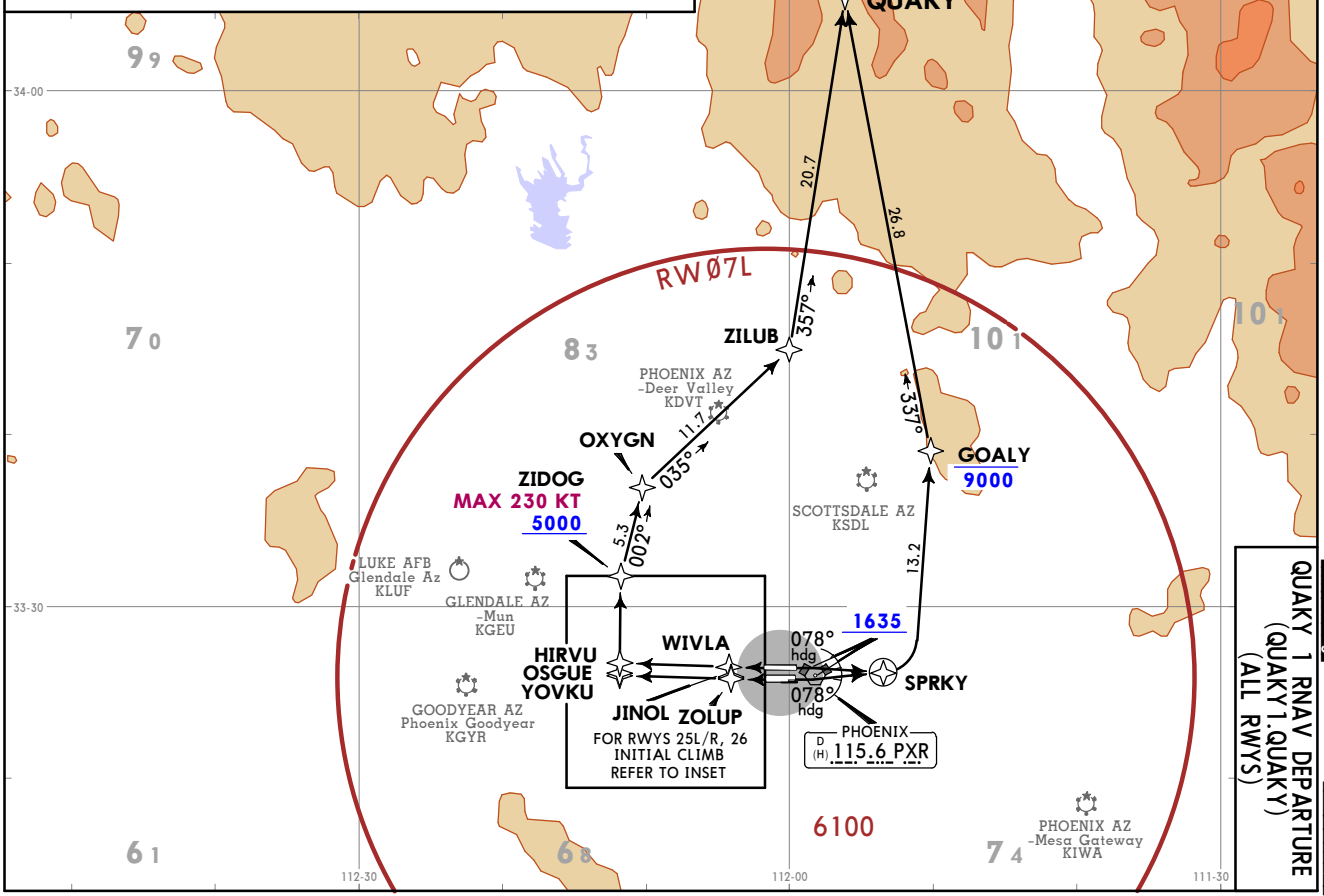

KPHX/PHX
PHOENIX SKY HARBOR INTL

JEPPESEN
10-3K

6 AUG 21
Eff 12 Aug

QUAKY 1 RNAV DEPARTURE
(QUAKY1.QUAKY)
(ALL RWYS)

PHOENIX, ARIZ
RNAV SID

CHANGES: Grand Canyon VOR (GCN) frequency, service volume, MSA.

© JEPPESEN, 2018, 2021. ALL RIGHTS RESERVED.

PHOENIX Departure (R)	Apt Elev	Trans alt: 18000	
119.2	1135	**1. RADAR and DME required.** 2. Restricted to turbojet and turboprop aircraft only.	4. Aircraft filing over CIM, FTI, and GCK file ST. JOHNS departure. 5. Aircraft filing over ACH, LBL, ONM, CNX, PNH, MMB, TCC, IRW, and TXO file BALDY departure.

ST. JOHNS 9 DEPARTURE (SJN9.SJN)

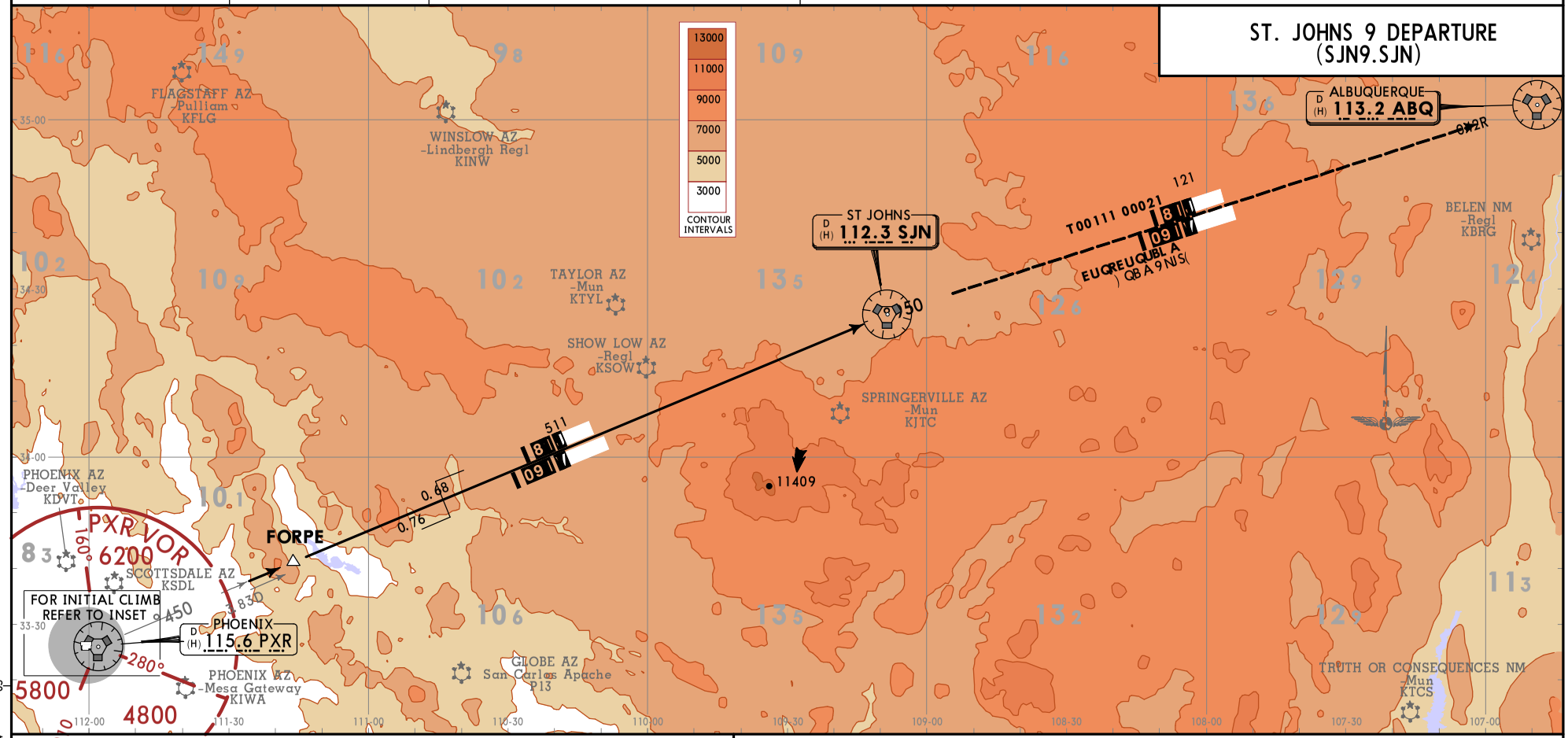

INITIAL CLIMB
NOT TO SCALE

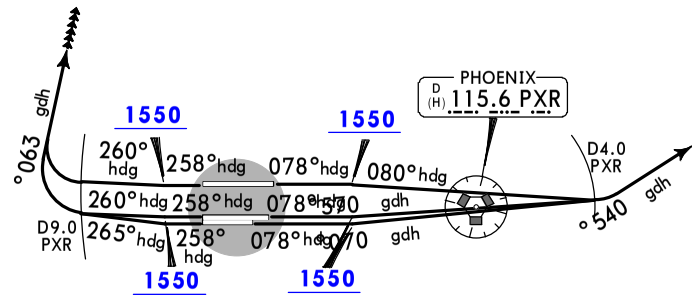

This SID requires take-off minimums (for standard minimums, refer to airport chart): Rwys 7L/R, 8, 25L/R, 26: Standard (or lower than standard, if authorized) with minimum climb of 350 per NM to 8000.

Gnd speed-KT	75	100	150	200	250	300
350 per NM	438	583	875	1167	1458	1750

LOST COMMS ▼ LOST COMMS ▼ LOST COMMS
EXPECT filed altitude 3 minutes after departure.
LOST COMMS ▲ LOST COMMS ▲ LOST COMMS

TAKEOFF OBSTACLE NOTES
See TAKEOFF OBSTACLE NOTES page (10-3OB1).

RWY	INITIAL CLIMB	TOP ALTITUDE
7L	Climb heading 078° to 1550, then climbing LEFT turn heading 075°, at D4.0 EAST of PXR VOR, climbing LEFT turn heading 045° to PXR R054 to SJN VOR.	8000
7R	Climb heading 078° to 1550, then climbing LEFT turn heading 070°, at D4.0 EAST of PXR VOR, climbing LEFT turn heading 045° to PXR R054 to SJN VOR.	
8	Climb heading 078° to 1550, then climbing RIGHT turn heading 080°, at D4.0 EAST of PXR VOR, climbing LEFT turn heading 045° to PXR R054 to SJN VOR.	
25L	Climb heading 258° to 1550, then climbing RIGHT turn heading 265°, at D9.0 WEST of PXR VOR, climbing RIGHT turn heading 360° for RADAR vectors to PXR R054 to SJN VOR.	
25R, 26	Climb heading 258° to 1550, then climbing RIGHT turn heading 260°, at D9.0 WEST of PXR VOR, climbing RIGHT turn heading 360° for RADAR vectors to PXR R054 to SJN VOR.	

ROUTING

MAINTAIN 8000, then transition. EXPECT filed altitude 3 minutes after departure.

CHANGES: Procedure renumbered, Rwys 25L/R, 26 initial climb, routing, SILOW departure cancelled.

© JEPPESEN, 2018, 2019. ALL RIGHTS RESERVED.

Printed from JeppView for Windows 5.3.0.0 on 26 Aug 2026; Terminal chart data cycle 04-2026 (Expired); Notice: After 26 Feb 2026, 0000Z, this chart may no longer be valid

Printed from JeppView for Windows 5.3.0.0 on 26 Aug 2026; Terminal chart data cycle 04-2026 (Expired); Notice: After 26 Feb 2026, 0000Z, this chart may no longer be valid

PHOENIX Departure (R)	Apt Elev	
126.8	1135	Trans alt: 18000 **1. RADAR and DME required.** 2. Restricted to turbojet and turboprop aircraft only.

STANFIELD 4 DEPARTURE (TFD4.TFD)

INITIAL CLIMB

NOT TO SCALE

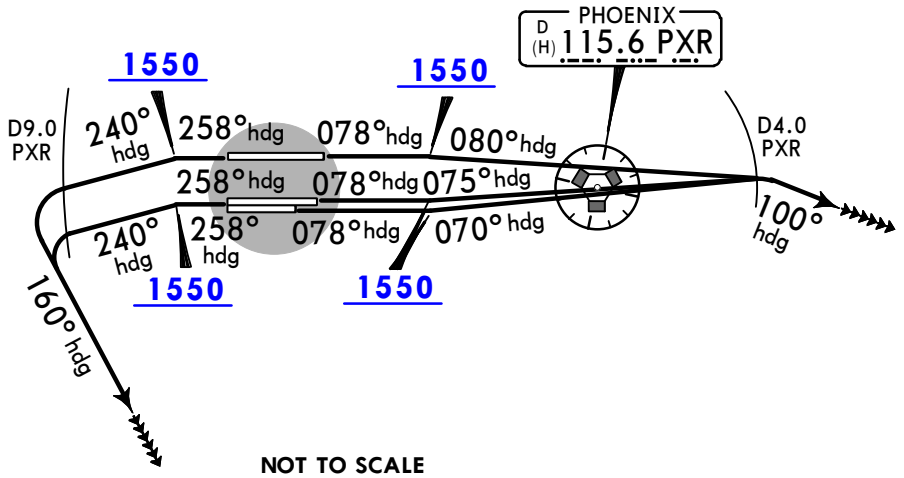

NOT TO SCALE

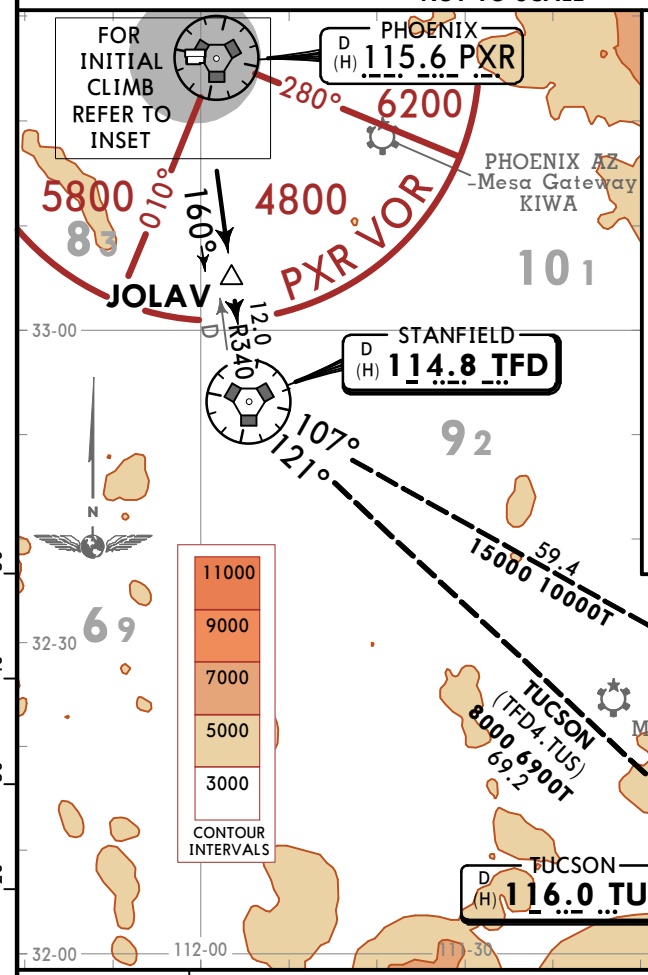

This SID requires take-off minimums (for standard minimums, refer to airport chart):
Rwys 7L/R, 8: Standard (or lower than standard, if authorized) with minimum climb of 300 per NM to 8000.
Rwys 25L/R, 26: Standard (or lower than standard, if authorized) with minimum climb of 350 per NM to 8000.

Gnd speed-KT	75	100	150	200	250	300
300 per NM	375	500	750	1000	1250	1500
350 per NM	438	583	875	1167	1458	1750

OBSTACLES
For TAKEOFF OBSTACLE NOTES see 10-3OB1.

LOST COMMS ▼ LOST COMMS ▼ LOST COMMS ▼
LOST COMMS — EXPECT filed altitude 3 minutes after departure. — LOST COMMS
LOST COMMS ▲ LOST COMMS ▲ LOST COMMS ▲

RWY	INITIAL CLIMB	TOP ALTITUDE
7L	Climb heading 078° to 1550, then climbing LEFT turn heading 075°, at D4.0 EAST of PXR VOR, climbing RIGHT turn heading 100°.	8000
7R	Climb heading 078° to 1550, then climbing LEFT turn heading 070°, at D4.0 EAST of PXR VOR, climbing RIGHT turn heading 100°.	
8	Climb heading 078° to 1550, then climbing RIGHT turn heading 080°, at D4.0 EAST of PXR VOR, climbing RIGHT turn heading 100°.	
25L/R, 26	Climb heading 258° to 1550, then climbing LEFT turn heading 240°, at D9.0 WEST of PXR VOR, climbing LEFT turn heading 160°.	

ROUTING

MAINTAIN 8000, EXPECT RADAR vectors to TFD R340 to TFD VOR. Then via transition. EXPECT further clearance to filed altitude 3 minutes after departure.

CHANGES: New format, reindexed.

© JEPPESEN, 2018. ALL RIGHTS RESERVED.

Printed from JeppView for Windows 5.3.0.0 on 26 Aug 2026; Terminal chart data cycle 04-2026 (Expired); Notice: After 26 Feb 2026, 0000Z, this chart may no longer be valid

TAKEOFF OBSTACLE NOTES - DEPs

BUCKEYE, CHILY, MOBIE, AND ST JOHNS DEPARTURES:

◦ RWY 7R:
MULTIPLE TRANSMISSION TOWERS 3202' FROM DER, 1122' LEFT OF CENTERLINE, UP TO 125' AGL/1260' MSL.

◦ RWY 8:
MULTIPLE LIGHT POLES BEGINNING 2540' FROM DER, 900' LEFT OF CENTERLINE, UP TO 100' AGL/1234' MSL. LIGHT POLE 1640' FROM DER, 794' RIGHT OF CENTERLINE, 42' AGL/1177' MSL.

◦ RWY 25L:
MULTIPLE LIGHT POLES BEGINNING 682' FROM DER, 521' LEFT OF CENTERLINE, UP TO 90' AGL/1201' MSL. SIGN 902' FROM DER, 711' LEFT OF CENTERLINE, 59' AGL/1170' MSL.

◦ RWY 25R:
TREE 1036' FROM DER, 666' RIGHT OF CENTERLINE, 30' AGL/1140' MSL.

◦ RWY 26:
MULTIPLE ELECTRICAL SYSTEMS BEGINNING 43' FROM DER, 450' LEFT AND RIGHT OF CENTERLINE, UP TO 33' AGL/1142' MSL. MULTIPLE TREES BEGINNING 118' FROM DER, 214' RIGHT OF CENTERLINE, UP TO 24' AGL/1133' MSL. OBSTACLE LIGHT ON BLAST FENCE 176' FROM DER, 547' LEFT OF CENTERLINE, 9' AGL/1120' MSL. SIGN 520' FROM DER, 567' RIGHT OF CENTERLINE, 14' AGL/1125' MSL. POLE 82' FROM DER, 64' RIGHT OF CENTERLINE, 18' AGL/1127' MSL. MULTIPLE LIGHT POLES BEGINNING 315' FROM DER, BEGINNING 318' LEFT OF CENTERLINE, UP TO 60' AGL/1170' MSL. MULTIPLE LIGHT POLES BEGINNING 2302' FROM DER, BEGINNING 193' RIGHT OF CENTERLINE, UP TO 60' AGL/1171' MSL.

BALDY, BROAK, ECLPS, FORPE, FYRBD, KEENS, MRBIL, QUAKY, STRRM, ZEPER DEPARTURES:

◦ RWY 7R:
TRANSMISSION TOWERS AND POWER LINES 3201' FROM DER, 1122' RIGHT OF CENTERLINE, UP TO 131' AGL/1260' MSL.

◦ RWY 8:
MULTIPLE LIGHT POLES BEGINNING 2539' FROM DER, 900' LEFT OF CENTERLINE, UP TO 82' AGL/1234' MSL. LIGHT POLE 1639' FROM DER, 793' RIGHT OF CENTERLINE, 46' AGL/1177' MSL.

◦ RWY 25L:
MULTIPLE LIGHT POLES BEGINNING 681' FROM DER, 521' LEFT OF CENTERLINE, UP TO 63' AGL/1166' MSL. SIGN 902' FROM DER, 711' LEFT OF CENTERLINE, 64' AGL/1170' MSL. MULTIPLE LIGHT POLES BEGINNING 1519' FROM DER, 535' LEFT OF CENTERLINE, UP TO 99' AGL/1201' MSL. MULTIPLE LIGHT POLES BEGINNING 1919' FROM DER, 598' LEFT OF CENTERLINE, UP TO 90' AGL/1192' MSL.

◦ RWY 26:
POLE 42' FROM DER, 440' LEFT OF CENTERLINE, 26' AGL/1135' MSL. FENCE 176' FROM DER, 547' LEFT OF CENTERLINE, 11' AGL/1120' MSL. POLE 315' FROM DER, 499' LEFT OF CENTERLINE, 11' AGL/1120' MSL. TREE 763' FROM DER, 642' LEFT OF CENTERLINE, 24' AGL/1135' MSL. POLE 1959' FROM DER, 923' LEFT OF CENTERLINE, 59' AGL/1163' MSL. POLE 2312' FROM DER, 318' LEFT OF CENTERLINE, 66' AGL/1169' MSL. POLE 2336' FROM DER, 578' LEFT OF CENTERLINE, 67' AGL/1170' MSL. POLE 78' FROM DER, 456' RIGHT OF CENTERLINE, 32' AGL/1142' MSL. POLE 82' FROM DER, 64' RIGHT OF CENTERLINE, 18' AGL/1127' MSL. TREE 118' FROM DER, 294' RIGHT OF CENTERLINE, 22' AGL/1133' MSL. TREE 239' FROM DER, 214' RIGHT OF CENTERLINE, 22' AGL/1133' MSL. TREE 414' FROM DER, 522' RIGHT OF CENTERLINE, 24' AGL/1135' MSL. SIGN 520' FROM DER, 567' RIGHT OF CENTERLINE, 16'

© JEPPESEN, 2008, 2019. ALL RIGHTS RESERVED.

Printed from JeppView for Windows 5.3.0.0 on 26 Aug 2026; Terminal chart data cycle 04-2026 (Expired); Notice: After 26 Feb 2026, 0000Z, this chart may no longer be valid

TAKEOFF OBSTACLE NOTES - DEPs (CONTD)

BALDY, BROAK, ECLPS, FORPE, FYRBD, KEENS, MRBIL, QUAKY, STRRM, ZEPER DEPARTURES (CONT'D):

AGL/1125' MSL. POLE 2301' FROM DER, 193' RIGHT OF CENTERLINE, 69' AGL/1171' MSL. POLE 2302' FROM DER, 661' RIGHT OF CENTERLINE, 68' AGL/1171' MSL.

STANFIELD DEPARTURE:

◦ RWY 7L:
TERRAIN BEGINNING 4' FROM DER, LEFT AND RIGHT OF CENTERLINE, UP TO 1135' MSL.

◦ RWY 7R:
MULTIPLE TRANSMISSION TOWERS 3202' FROM DER, 1122' LEFT OF CENTERLINE, UP TO 125' AGL/1260' MSL. TERRAIN 469' FROM DER, LEFT AND RIGHT OF CENTERLINE, UP TO 1138' MSL.

◦ RWY 8:
MULTIPLE POLES BEGINNING 2540' FROM DER, 900' LEFT OF CENTERLINE, UP TO 100' AGL/1234' MSL. LIGHT POLE, 1640' FROM DER, 794' RIGHT OF CENTERLINE, 42' AGL/1177' MSL.

◦ RWY 25L:
MULTIPLE POLES BEGINNING 682' FROM DER, 521' LEFT OF CENTERLINE, UP TO 90' AGL/1201' MSL. SIGN 902' FROM DER, 711' LEFT OF CENTERLINE, 59' AGL/1170' MSL.

◦ RWY 25R:
TREE 1036' FROM DER, 666' RIGHT OF CENTERLINE, 30' AGL/1140' MSL.

◦ RWY 26:
MULTIPLE BUILDINGS 2.03 NM FROM DER, 2539' RIGHT OF CENTERLINE, UP TO 520' AGL/1602' MSL. MULTIPLE ELECTRICAL SYSTEMS BEGINNING 43' FROM DER, LEFT AND RIGHT OF CENTERLINE, UP TO 31' AGL/1142' MSL. MULTIPLE TREES BEGINNING 43' FROM DER, LEFT AND RIGHT OF CENTERLINE, UP TO 24' AGL/1133' MSL. FENCE 176' FROM DER, 547' LEFT OF CENTERLINE, 9' AGL/1120' MSL. SIGN 520' FROM DER, 567' RIGHT OF CENTERLINE, 14' AGL/1125' MSL. MULTIPLE POLES BEGINNING 82' FROM DER, LEFT AND RIGHT OF CENTERLINE, UP TO 60' AGL/1171' MSL.

© JEPPESEN, 2014, 2018. ALL RIGHTS RESERVED.

Printed from JeppView for Windows 5.3.0.0 on 26 Aug 2026; Terminal chart data cycle 04-2026 (Expired); Notice: After 26 Feb 2026, 0000Z, this chart may no longer be valid

PHOENIX Departure (R)	Apt Elev	
126.8	1135	Trans alt: 18000 **1. RADAR required. 2. DME/DME/IRU or GPS required. 3. RNAV 1.** 4. Turbojets and turboprops only. 5. For non-GPS equipped aircraft, IWA DME must be operational.

STRRM 1 RNAV DEPARTURE (STRRM1.STRRM)

OBSTACLES
For TAKEOFF OBSTACLE NOTES see 10-3OB1.

This SID requires take-off minimums (for standard minimums, refer to airport chart):
Rwys 7L/R, 8: Standard (or lower than standard, if authorized) with minimum climb of 500 per NM to 1635.
Rwys 25L/R, 26: Standard (or lower than standard, if authorized) with minimum climb of 500 per NM to 1900.

Gnd speed-KT	75	100	150	200	250	300
500 per NM	625	833	1250	1667	2083	2500

RWY	INITIAL CLIMB	TOP ALTITUDE
7L/R, 8	Climb heading 078° to 1635, then direct to cross SPRKY at or above 2600 and at or below 220 KT, then RIGHT turn direct ANZEL, then on track 181° to DDUKE, then on track 199° to BNYRD.	8000
25L/R	Climb heading 258° to intercept course 240° to JUTAK, then on track 151° to WETAL, then on track 140° to BNYRD.	
26	Climb heading 258° to 1635, then LEFT turn direct JUTAK, then on track 151° to WETAL, then on track 140° to BNYRD.	

ROUTING
From BNYRD on track 145° to STRRM, then on transition. MAINTAIN 8000, EXPECT higher altitude 3 minutes after departure.

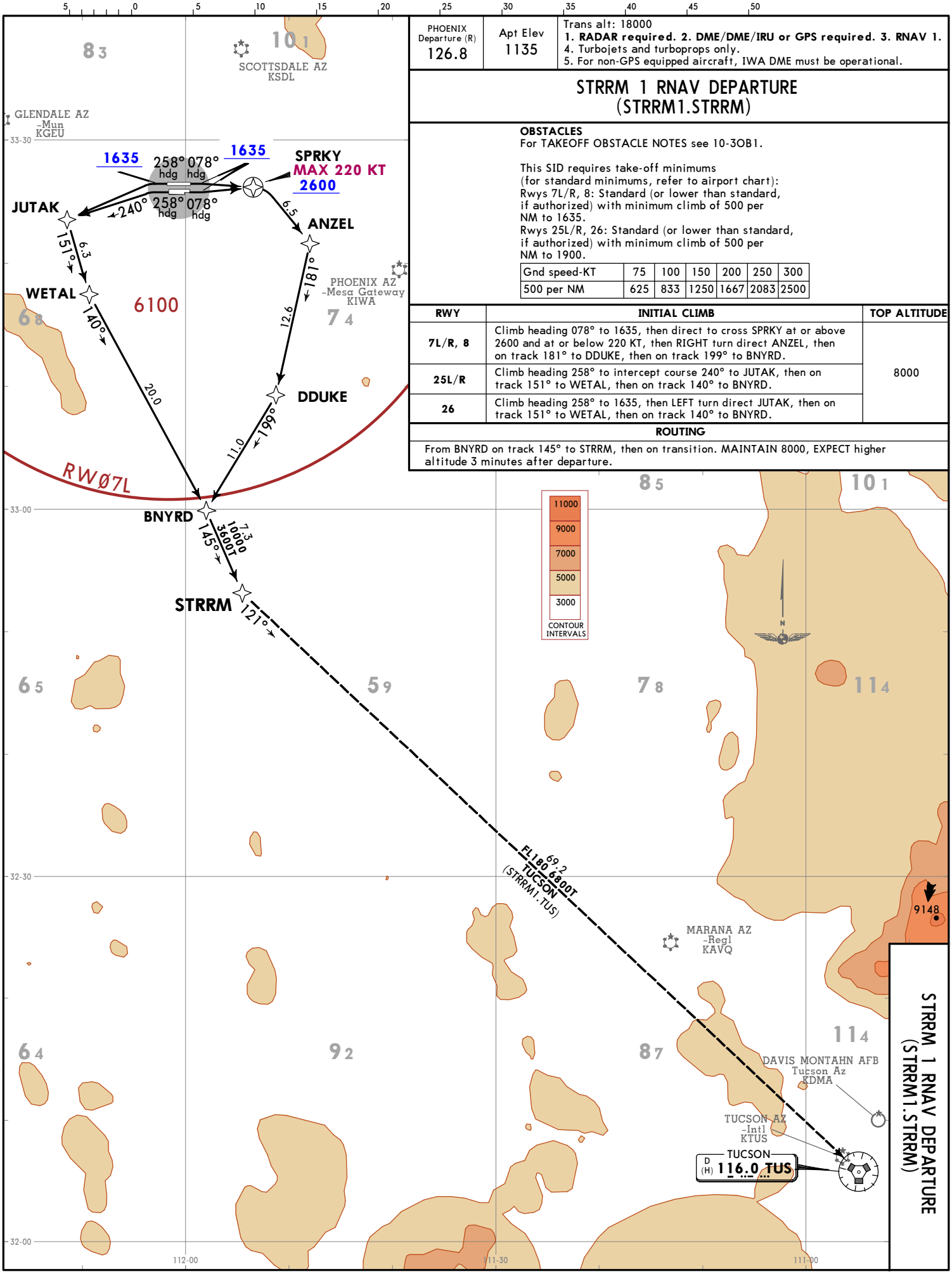

CHANGES: None.

© JEPPESEN, 2018, 2019. ALL RIGHTS RESERVED.

Printed from JeppView for Windows 5.3.0.0 on 26 Aug 2026; Terminal chart data cycle 04-2026 (Expired); Notice: After 26 Feb 2026, 0000Z, this chart may no longer be valid

PHOENIX Departure (R) 119.2	Apt Elev 1135	Trans alt: 18000 1. RADAR required. 2. DME/DME/IRU or GPS required. 3. RNAV 1. 4. Turbojets and turboprops only.

ZEPER 2 RNAV DEPARTURE (ZEPER2.ZEPER)

RWY	INITIAL CLIMB	TOP ALTITUDE
7L/R, 8	Climb on heading 078° to 1635, then direct SPRKY, then turn LEFT direct to cross GOALY at or below 9000, then on track 339° to JOLAR, then on track 294° to ZEPER.	8000
25L	Climb on heading 258° to 1635, then direct ZOLUP, then on track 260° to YOVKU, then on track 349° to cross ZIDOG at or above 5000 and at or below 230 KT, then on track 344° to FANON, then on track 333° to ZEPER.	
25R	Climb on heading 258° to 1635, then direct JINOL, then on track 260° to OSGUE, then on track 349° to cross ZIDOG at or above 5000 and at or below 230 KT, then on track 344° to FANON, then on track 333° to ZEPER.	
26	Climb on heading 258° to 1635, then direct WIVLA, then on track 260° to HIRVU, then on track 349° to cross ZIDOG at or above 5000 and at or below 230 KT, then on track 344° to FANON, then on track 333° to ZEPER.	

ROUTING

From ZEPER on RRSTA transition. MAINTAIN 8000, EXPECT higher altitude 3 minutes after departure.

TAKEOFF OBSTACLE NOTES

See TAKEOFF OBSTACLE NOTES page (10-3OB1).

This SID requires takeoff minimums (for standard minimums, refer to airport chart):
Rwys 7L/R, 8: Standard (or lower than standard, if authorized) with minimum climb of 500 per NM to 1635, then minimum climb of 240 per NM to 5300.
Rwys 25L/R, 26: Standard (or lower than standard, if authorized) with minimum climb of 500 per NM to 1635.

Gnd speed-KT	75	100	150	200	250	300
240 per NM	300	400	600	800	1000	1200
500 per NM	625	833	1250	1667	2083	2500

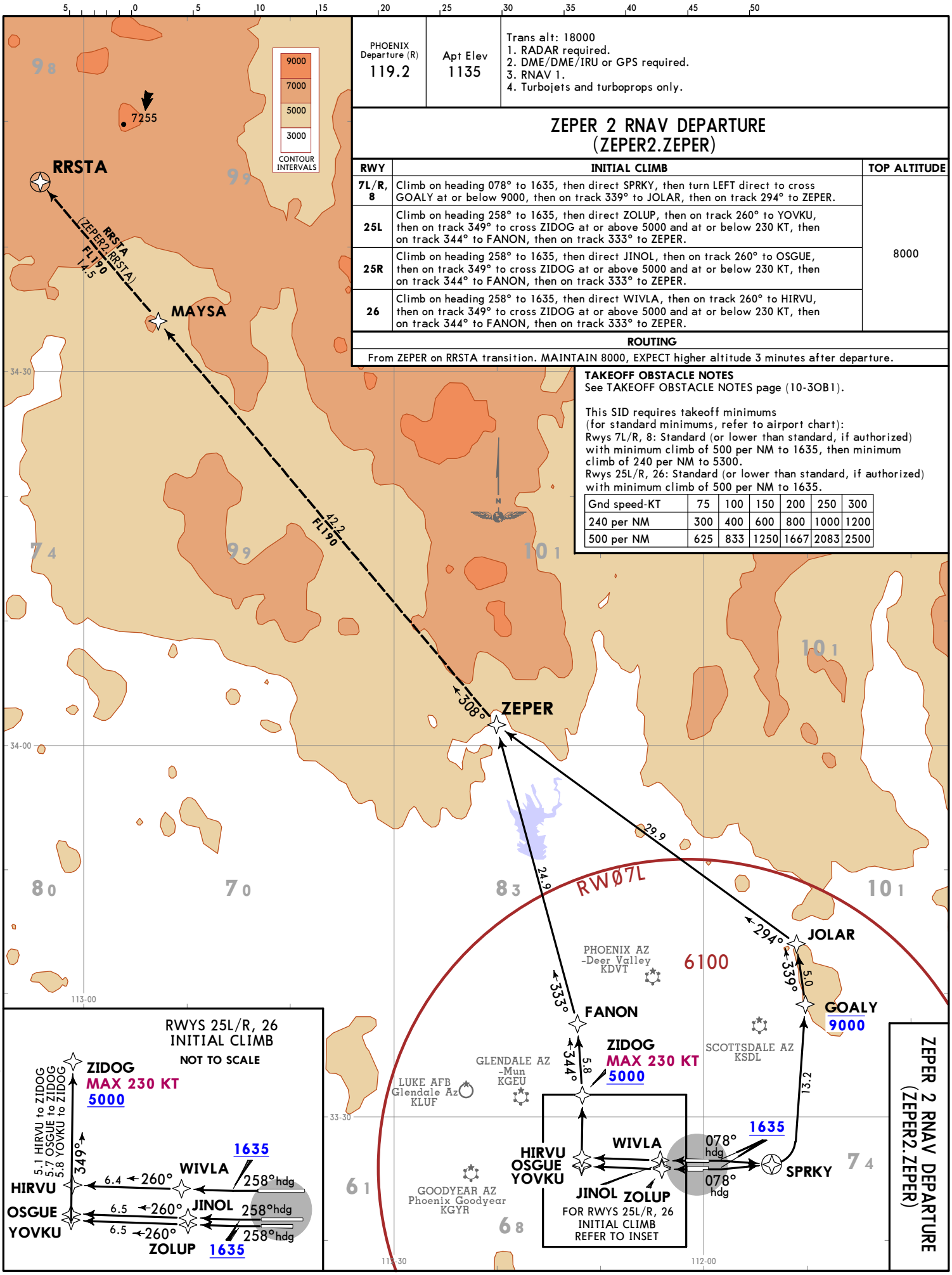

KPHX/PHX
PHOENIX SKY HARBOR INTL

JEPPESEN
2 APR 21
(10-3Q)

ZEPER 2 RNAV DEPARTURE (ZEPER2.ZEPER)

PHOENIX, ARIZ
RNAV SID

CHANGES: Reissue.

© JEPPESEN, 2018, 2021. ALL RIGHTS RESERVED.

D-ATIS	Data Comm	PHOENIX Clearance	Ground		Tower	
127.575 VOT 109.0	ACARS: D-ATIS, PDC, TWIP CPDLC: DCL	118.1	North 119.75	South 132.55	Rwys 7L/R, 25L/R 120.9	Rwy 8/26 118.7

PHOENIX Departure (R)

319°-057° 7500′ & above	319°-057° below 7500′	139°-191° below 8500′ 119°-138° below 7500′	119°-138° 7500′-14500′ 192°-263° 7500′-12500′	058°-118° below 10500′	119°-138° above 14500′ 192°-263° above 12500′	058°-118° 10500′ & above 139°-191° 8500′ & above	340°-079° above 5500′
119.2	120.7	123.7	124.1	124.9	126.8		128.65

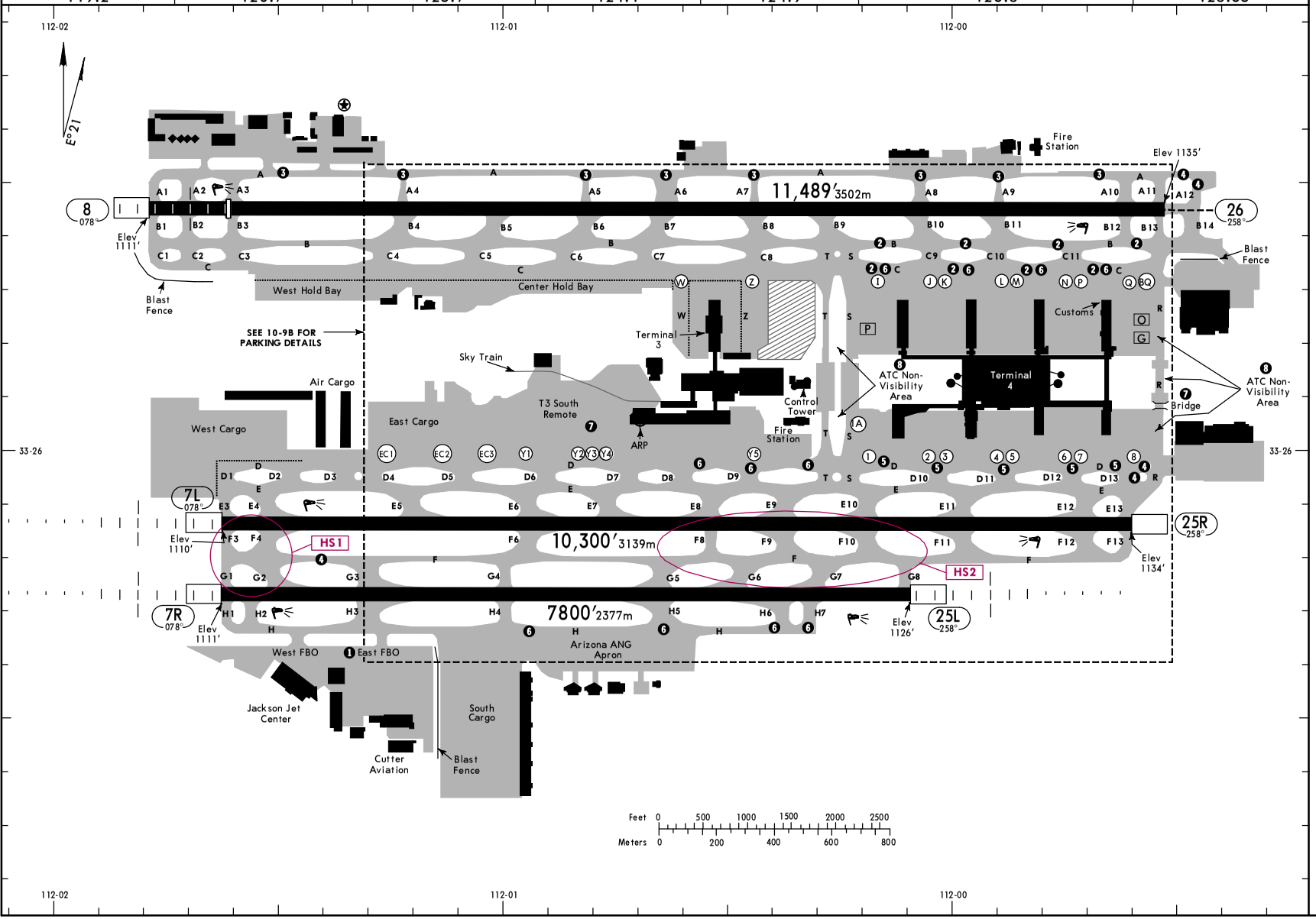

CAUTION AND WARNING NOTES

❶ CAUTION: There is no aircraft access between the two FBOs after entering the FBO ramps.

WARNING: Low sun angles during early morning and early evening may make it difficult to see the runway clearly. Some pilots have landed on the wrong runway during these time periods.

WARNING: Air Traffic frequently stages aircraft along Twy F for simultaneous runway crossings.

OPERATIONAL NOTES

❷ Simultaneous operations prohibited of aircraft with wingspans of 171′(52m) and greater on Twys B and C east of Twy S.

❸ Twy A between A3 and A10, A4, A5, A6, A7, A8, A9 closed to aircraft wingspan greater than 125′ (38m).

❹ Twy A between intersection at A11 and A12, A12, D between intersection at D13 to R, D13, F between intersection at G2 and G3 closed to wingspan greater than 135′ (41m).

❺ Twy D between S and D13, D10, D11, D12 closed to wingspan greater than 118′ (36m).

❻ Twy C between Taxilane I and C9, between C9 and C10, between C10 and C11, between C11 and Q, D between D8 and T, D9, H between H4 and H7, H5, H6, H7 closed to wingspan greater than 171′ (52m).

❼ Twy R overhead train bridge at midpoint provides 81′ 9″ (25m) clearance.
Taxilane Y3 overhead train bridge at midpoint provides 44′ 7″ (13.6m) clearance.

❽ Twy R and portions of Twys S and T below the Twr are non-visible areas from the Twr.

RUNWAY INCURSION HOT SPOTS

HS1

For information only, not to be construed as ATC instructions.

HS1 Rwy 7L and Rwy 7R departures sometimes misidentify Twy F for Rwy 7L or Rwy 7R.

HS2 Pilots sometimes cross Rwy 7L/25R at Twys F8, F9 or F10 without authorization.

LEGEND

- Construction Area
- (Y3) Transfer Spot
- (K) Taxi Hold Point
- (3) Taxi Hold Spot
- [P] Transition Spot Purple
- [O] Transition Spot Orange
- [G] Transition Spot Green

CHANGES: East hold bay removed, construction area, labels, wind cones, format.

© JEPPESEN, 2000, 2026. ALL RIGHTS RESERVED.

Printed from JeppView for Windows 5.3.0.0 on 26 Aug 2026; Terminal chart data cycle 04-2026 (Expired); Notice: After 26 Feb 2026, 0000Z, this chart may no longer be valid

GENERAL

ASDE-X in use. Operate transponders with altitude reporting mode and ADS-B (if equipped) enabled on all airport surfaces.
Low-level wind shear alert system. Terminal Doppler Weather Radar.
Noise abatement procedures are in affect.
Runway Status Lights in operation.
Practice instrument approaches, Stop & Taxi Back Ldg, Stop & Go Ldg, Touch & Go Ldg not authorized.
Other flight training operations not authorized without prior written approval - airside operations.
Engine run-ups not authorized without prior coordination with airside operations.
48-hour PPR for military operations.
Birds in vicinity of airport.
PPR wingspan 215' (66m) or greater (GROUP VI) - call airport operations for Follow Me service while taxiing to and from ramp and runways.
International gate use requires coordination with airport operations 48 hrs prior to arrival.
International landing rights requires US Customs and Border Protection notification 48 hrs prior to landing.
Experimental or ground demonstration not authorized without prior written consent from airside operations.

ADDITIONAL RUNWAY INFORMATION

RWY		USABLE LENGTHS LANDING BEYOND Threshold	Glide Slope	TAKE-OFF	WIDTH
7L ❶ 25R	HIRL MALSR PAPI-L (angle 3.0°, TCH 73') RVR HIRL PAPI-L (angle 3.0°, TCH 70')		9253' 2820m		150' 46m
❶ Grooved					
7R ❷ 25L	HIRL MALSR PAPI-L (angle 3.0°, TCH 70') HIRL MALSR PAPI-L (angle 3.0°, TCH 66')		6743' 2055m 6840' 2085m		150' 46m
❷ Grooved					
8 ❸ 26	HIRL MALSF PAPI-L (angle 3.0°, TCH 69') HIRL REIL PAPI-L (angle 3.0°, TCH 71')	10,591' 3228m	9572' 2918m 10,409' 3173m		150' 46m
❸ Grooved					

TERPS

TAKE-OFF & OBSTACLE DEPARTURE PROCEDURE (AMEND 6)

Rwy 7L

LOWER THAN STANDARD OpSpec Authorization Required	STANDARD	
RCLM or HIRL or Adequate Vis Ref	3 & 4 Eng	1 & 2 Eng
TDZ RVR 16 or 1/4	RVR 24 or 1/2	RVR 50 or 1

Rwys 7R, 8, 25L, 25R

LOWER THAN STANDARD OpSpec Authorization Required	STANDARD	
RCLM or HIRL or Adequate Vis Ref	3 & 4 Eng	1 & 2 Eng
1/4	1/2	1

Rwy 26

With Mim climb of 326'/NM to 1900'			Other
LOWER THAN STANDARD OpSpec Authorization Required	STANDARD		
RCLM or HIRL or Adequate Vis Ref	3 & 4 Eng	1 & 2 Eng	
1/4	1/2	1	600-2¾

OBSTACLE DP

Rwys 7L, 7R, 8; climb on 078° heading to 3000', then climbing right turn direct PXR VOR.
Rwys 25L, 25R; climb on 258° heading to 1900' then climbing right turn to join the PXR VOR R-260 (V16) westbound, climb to 5000'.
Rwy 26, climb on 258° heading to 1550', then join the PXR VOR R-260 (V16) westbound, climb to 5000'. Westbound departures continue climb on PXR VOR R-260.
All others, climbing right turn direct PXR VOR.

DIVERSE VECTOR AREA (Radar Vectors) (AMEND 2)

Rwy 7L: Heading as assigned by ATC.
Rwy 7R: Heading as assigned by ATC.
Rwy 8: Heading as assigned by ATC.
Rwy 25L: Heading as assigned by ATC; requires minimum climb of 305'/NM to 6000'.
Rwy 25R: Heading as assigned by ATC; requires minimum climb of 325'/NM to 6000'.
Rwy 26: Heading as assigned by ATC; requires minimum climb of 300'/NM to 6000'.

TAKE-OFF OBSTACLE NOTES

Rwy 7R, transmission towers and power lines, 3201' from DER, 1122' right of centerline, up to 131' AGL/1260' MSL.

Rwy 8, multiple light poles, beginning 2539' from DER, 900' left of centerline, up to 82' AGL/1234' MSL. Light pole, 1639' from DER, 793' right of centerline, 46' AGL/1177' MSL.

Rwy 25L, multiple light poles, beginning 681' from DER, 521' left of centerline, up to 63' AGL/1166' MSL. Sign, 902' from DER, 711' left of centerline, 64' AGL/1170' MSL. Multiple light poles, beginning 1519' from DER, 535' left of centerline, up to 99' AGL/1201' MSL. Multiple light poles, beginning 1919' from DER, 598' left of centerline, up to 90' AGL/1192' MSL.

Rwy 26, pole, 42' from DER, 440' left of centerline, 26' AGL/1135' MSL. Fence, 176' from DER, 547' left of centerline, 11' AGL/1120' MSL. Pole, 315' from DER, 499' left of centerline, 11' AGL/1120' MSL. Tree, 763' from DER, 642' left of centerline, 24' AGL/1135' MSL. Pole, 1959' from DER, 923' left of centerline, 59' AGL/1163' MSL. Pole, 2312' from DER, 318' left of centerline, 66' AGL/1169' MSL. Pole, 2336' from DER, 578' left of centerline, 67' AGL/1170' MSL. Pole, 78' from DER, 456' right of centerline, 32' AGL/1142' MSL. Pole, 82' from DER, 64' right of centerline, 18' AGL/1127' MSL. Tree, 118' from DER, 294' right of centerline, 22' AGL/1133' MSL. Tree, 239' from DER, 214' right of centerline, 22' AGL/1133' MSL. Tree, 414' from DER, 522' right of centerline, 24' AGL/1135' MSL. Sign, 520' from DER, 567' right of centerline, 16' AGL/1125' MSL. Pole, 2301' from DER, 193' right of centerline, 69' AGL/1171' MSL. Pole, 2302' from DER, 661' right of centerline, 68' AGL/1171' MSL.

FOR FILING AS ALTERNATE

	ILS Rwy 7R ILS Rwy 7L ILS Rwy 8 ILS Rwy 25L ILS Rwy 26	RNAV (GPS) Y Rwy 8 RNAV (GPS) Y Rwy 25L RNAV (GPS) Y Rwy 26	LOC DME Rwy 7L LOC Rwy 7R LOC Rwy 8 LOC Rwy 25L LOC Rwy 26 RNAV (GPS) Y Rwy 7L RNAV (GPS) Y Rwy 7R RNAV (GPS) Y Rwy 25R
A	600-2	800-2	800-2
B			
C		1000-2¾	1000-2¾
D		1300-3	1500-3

CHANGES: Lighting.

© JEPPESEN, 2000, 2026. ALL RIGHTS RESERVED.

Printed from JeppView for Windows 5.3.0.0 on 26 Aug 2026; Terminal chart data cycle 04-2026 (Expired); Notice: After 26 Feb 2026, 0000Z, this chart may no longer be valid

Printed from JeppView for Windows 5.3.0.0 on 26 Aug 2026; Terminal chart data cycle 04-2026 (Expired); Notice: After 26 Feb 2026, 0000Z, this chart may no longer be valid

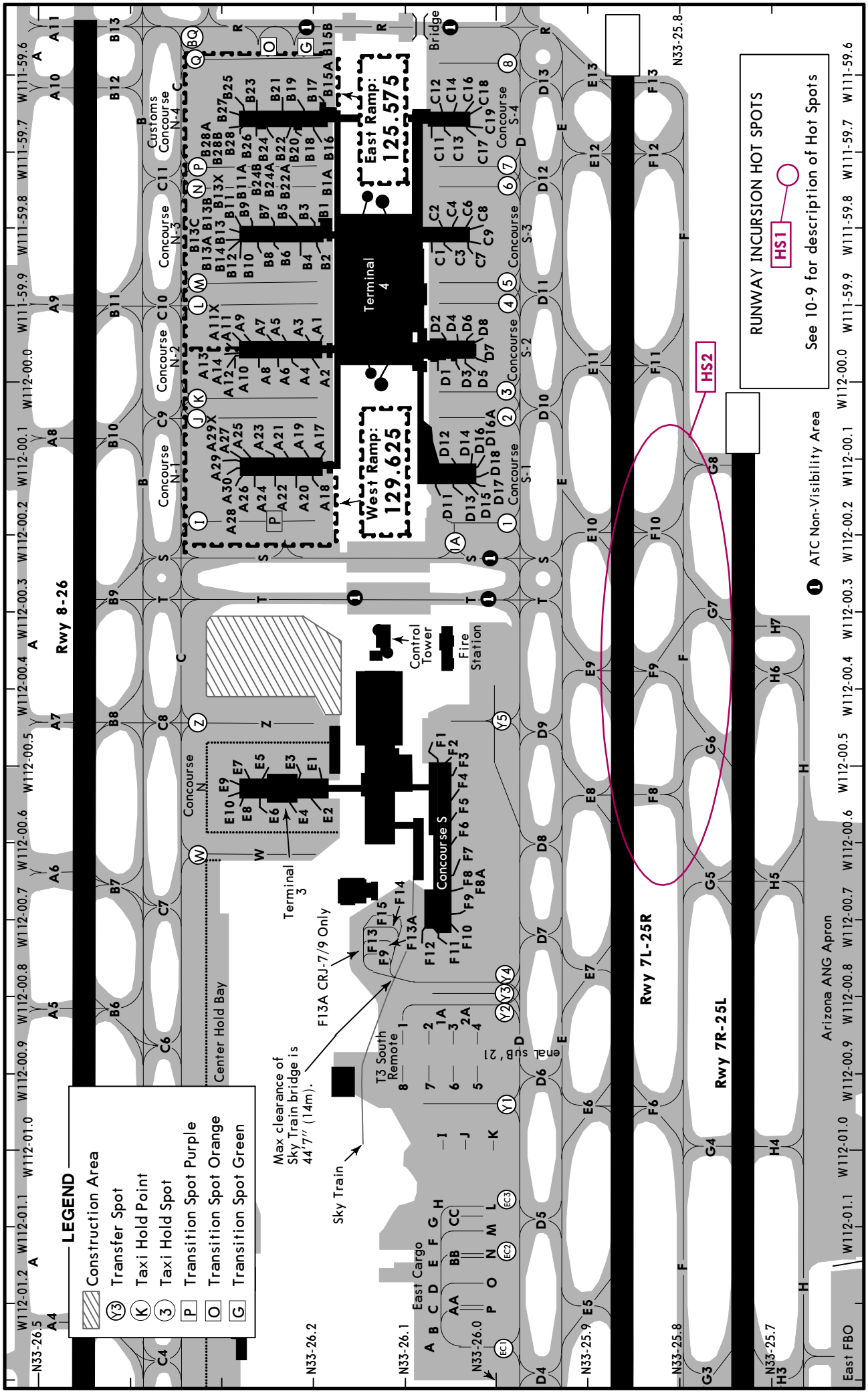

CHANGES: Parking diagram, construction area.

© JEPPESEN, 2000, 2026. ALL RIGHTS RESERVED.

Printed from JeppView for Windows 5.3.0.0 on 26 Aug 2026; Terminal chart data cycle 04-2026 (Expired); Notice: After 26 Feb 2026, 0000Z, this chart may no longer be valid

PARKING GATE COORDINATES

GATE/SPOT NO.	COORDINATES
TERMINAL 3	
CONCOURSE N	
E1, E3, E5	N33 26.2 W112 00.5
E2, E4, E6	N33 26.2 W112 00.6
E7 thru E10	N33 26.3 W112 00.5
CONCOURSE S	
F1	N33 26.1 W112 00.5
F2 thru F4	N33 26.0 W112 00.5
F5 thru F7	N33 26.0 W112 00.6
F8 thru F11	N33 26.0 W112 00.7
F9 thru F15	N33 26.1 W112 00.7
T3 SOUTH REMOTE	
1, 1A, 2	N33 26.1 W112 00.8
2A, 3, 4	N33 26.0 W112 00.8
5, 6	N33 26.0 W112 00.9
7, 8	N33 26.1 W112 00.9
EAST CARGO	
A	N33 26.1 W112 01.3
AA, P, O	N33 26.0 W112 01.2
BB, N, M, L, CC	N33 26.0 W112 01.1
B thru D	N33 26.1 W112 01.2
E thru H	N33 26.1 W112 01.1
I	N33 26.1 W112 01.0
J, K	N33 26.0 W112 01.1

GATE/SPOT NO.	COORDINATES
TERMINAL 4	
CONCOURSE N-1	
A17 thru A22	N33 26.2 W112 00.1
A24 thru A30	N33 26.3 W112 00.1
CONCOURSE N-2	
A1, A3, A5, A7	N33 26.2 W111 59.9
A2, A4, A6	N33 26.2 W112 00.0
A8, A10, A12	N33 26.3 W112 00.0
A9, A11, A11X	N33 26.3 W111 59.9
A13, A14	N33 26.3 W112 00.0
CONCOURSE N-3	
B1 thru B7	N33 26.2 W111 59.8
B8 thru B14	N33 26.3 W111 59.8
CONCOURSE N-4	
B15A, B15B, B17	N33 26.2 W111 59.6
B16, B18, B20	N33 26.2 W111 59.7
B19, B21	N33 26.2 W111 59.6
B22, B22A	N33 26.2 W111 59.7
B23, B25, B27	N33 26.3 W111 59.6
B24, B24A, B24B	N33 26.3 W111 59.7
B26, B28, B28A	N33 26.3 W111 59.7
B28B	N33 26.3 W111 59.7
CONCOURSE S-1	
D11	N33 26.1 W112 00.1
D12 thru D18	N33 26.0 W112 00.1
CONCOURSE S-2	
D1	N33 26.1 W112 00.0
D2	N33 26.1 W111 59.9
D3, D5, D7	N33 26.0 W112 00.0
D4, D6, D8	N33 26.0 W111 59.9
CONCOURSE S-3	
C1, C2	N33 26.1 W111 59.8
C3 thru C9	N33 26.0 W111 59.8
CONCOURSE S-4	
C11, C13	N33 26.1 W111 59.7
C12	N33 26.1 W111 59.6
C14, C16, C18	N33 26.0 W111 59.6
C17, C19	N33 26.0 W111 59.7

CHANGES: Gate/Spot locations.

© JEPPESEN, 2000, 2026. ALL RIGHTS RESERVED.

Printed from JeppView for Windows 5.3.0.0 on 26 Aug 2026; Terminal chart data cycle 04-2026 (Expired); Notice: After 26 Feb 2026, 0000Z, this chart may no longer be valid

KPHX/PHX
PHOENIX SKY HARBOR INTL

JEPPESEN 23 DEC 22 (11-1)

PHOENIX, ARIZ
ILS or LOC DME Rwy 7L

D-ATIS	PHOENIX Approach (R)	PHOENIX Tower Rwys 7L/R, 25L/R	PHOENIX Tower Rwy 8/26	Ground North	Ground South
127.575	128.65	120.9	118.7	119.75	132.55

BRIEFING STRIP™

LOC IPHX	Final Apch Crs	ZINGA	ILS DA(H)	Apt Elev 1135′
111.5	078°	2600′(1484′)	1326′(210′)	TDZE 1116′

MISSED APCH: Climb to 5000′, then LEFT turn direct PXR VOR and hold, or as directed by ATC.

Alt Set: INCHES Trans level: FL 180 Trans alt: 18000′

1. DME required. 2. VGSI and ILS glidepath not coincident.

MSA PXR VOR: 160° 6200; 280° 4800; 010° 5800

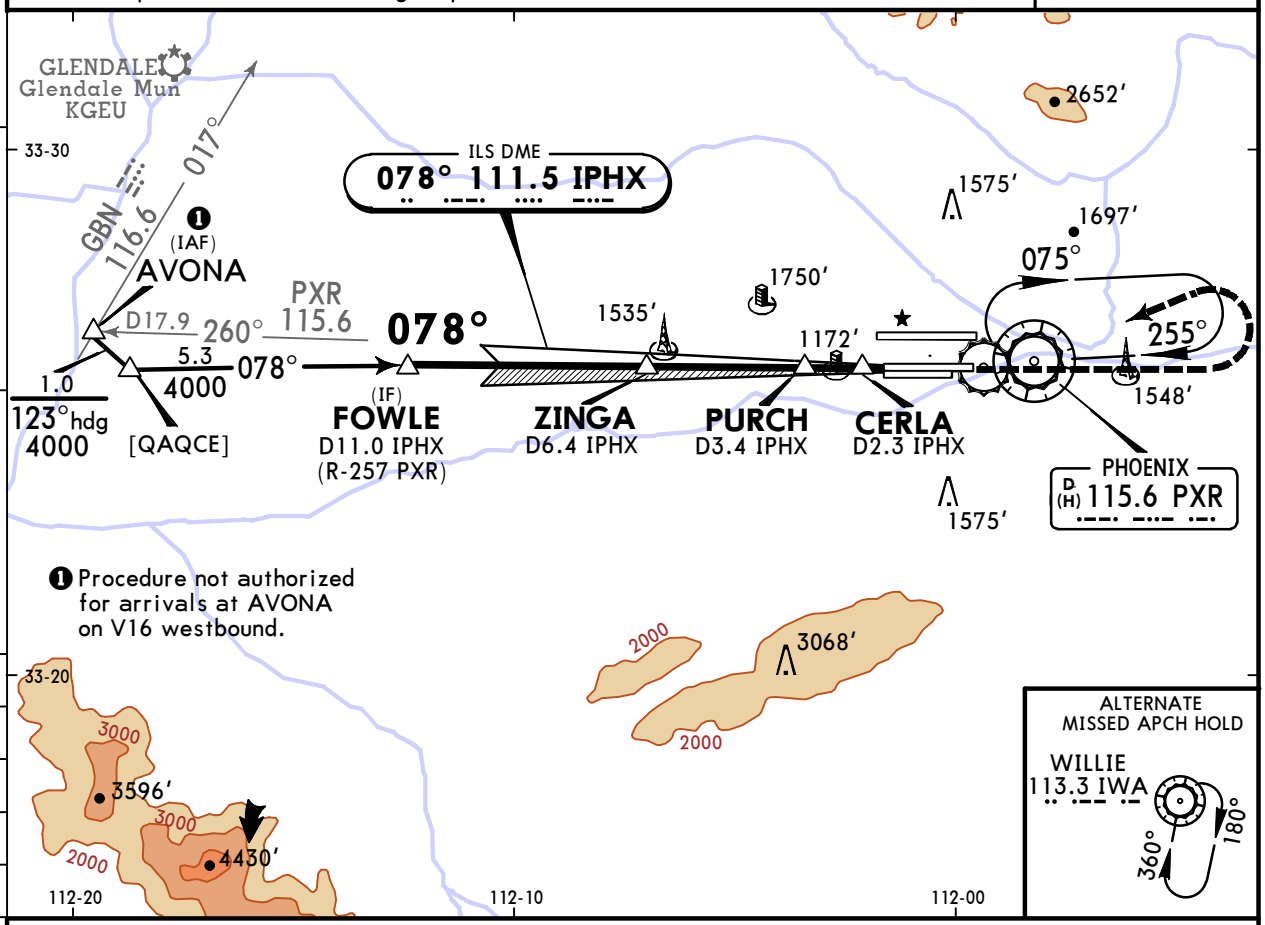

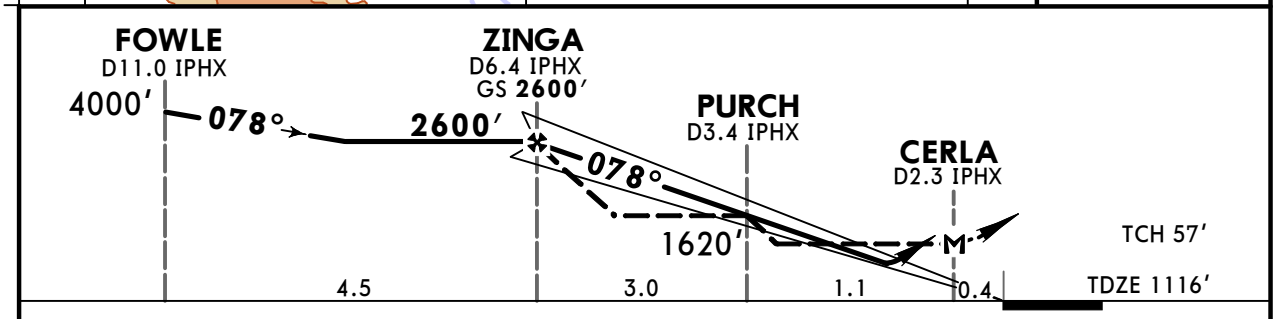

Gnd speed-Kts		70	90	100	120	140	160
GS	3.00°	372	478	531	637	743	849
MAP at CERLA							

MALSR PAPI 5000′ LT D PXR 115.6

TERPS STRAIGHT-IN LANDING RWY 7L

	ILS DA(H) 1326′(210′)		LOC (GS out) MDA(H) 1460′(344′)		CIRCLE-TO-LAND Max Kts	MDA(H)
		RAIL/ALS out		RAIL/ALS out		
A	[1] RVR 24 or 1/2	RVR 40 or 3/4	RVR 24 or 1/2	RVR 50 or 1	90	1740′(605′)-1
B					120	
C			RVR 30 or 5/8	RVR 55 or 1	140	2040′(905′)-2 3/4
D					165	2560′(1425′)-3

[1] RVR 18 with Flight Director or Autopilot or HUD to DA.

TERPS AMEND 11B 18 SEP 2014

CHANGES: Chart format.

© JEPPESEN, 1999, 2022. ALL RIGHTS RESERVED.

Printed from JeppView for Windows 5.3.0.0 on 26 Aug 2026; Terminal chart data cycle 04-2026 (Expired); Notice: After 26 Feb 2026, 0000Z, this chart may no longer be valid

KPHX/PHX
PHOENIX SKY HARBOR INTL

JEPPESEN
23 DEC 22 (11-2)

PHOENIX, ARIZ
ILS or LOC Rwy 7R

BRIEFING STRIP™

D-ATIS	PHOENIX Approach (R)	PHOENIX Tower Rwys 7L/R, 25L/R	PHOENIX Tower Rwy 8/26	Ground North	Ground South
127.575	128.65	120.9	118.7	119.75	132.55

LOC IAHA	Final Apch Crs	TOTIE	ILS DA(H)	Apt Elev 1135′
110.75	078°	3000′ (1884′)	1369′ (253′)	TDZE 1116′

MISSED APCH: Climb to 3300′ then climbing RIGHT turn to 5000′ on heading 250° and outbound on PXR VOR R-163 to POPKE/D15.0 PXR and hold, or as directed by ATC.

Alt Set: INCHES | Trans level: FL 180 | Trans alt: 18000′

1. DME required. 2. Simultaneous approach authorized with ILS or LOC Rwy 8 and RNAV (GPS) Y Rwy 8. 3. Rwy 7R helicopter visibility reduction below 3/4 SM not authorized. 4. Use IAHA DME when on the localizer course. 5. VGSI and ILS glidepath not coincident.

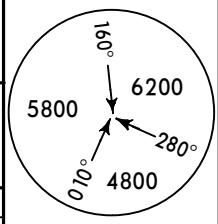

MSA PXR VOR

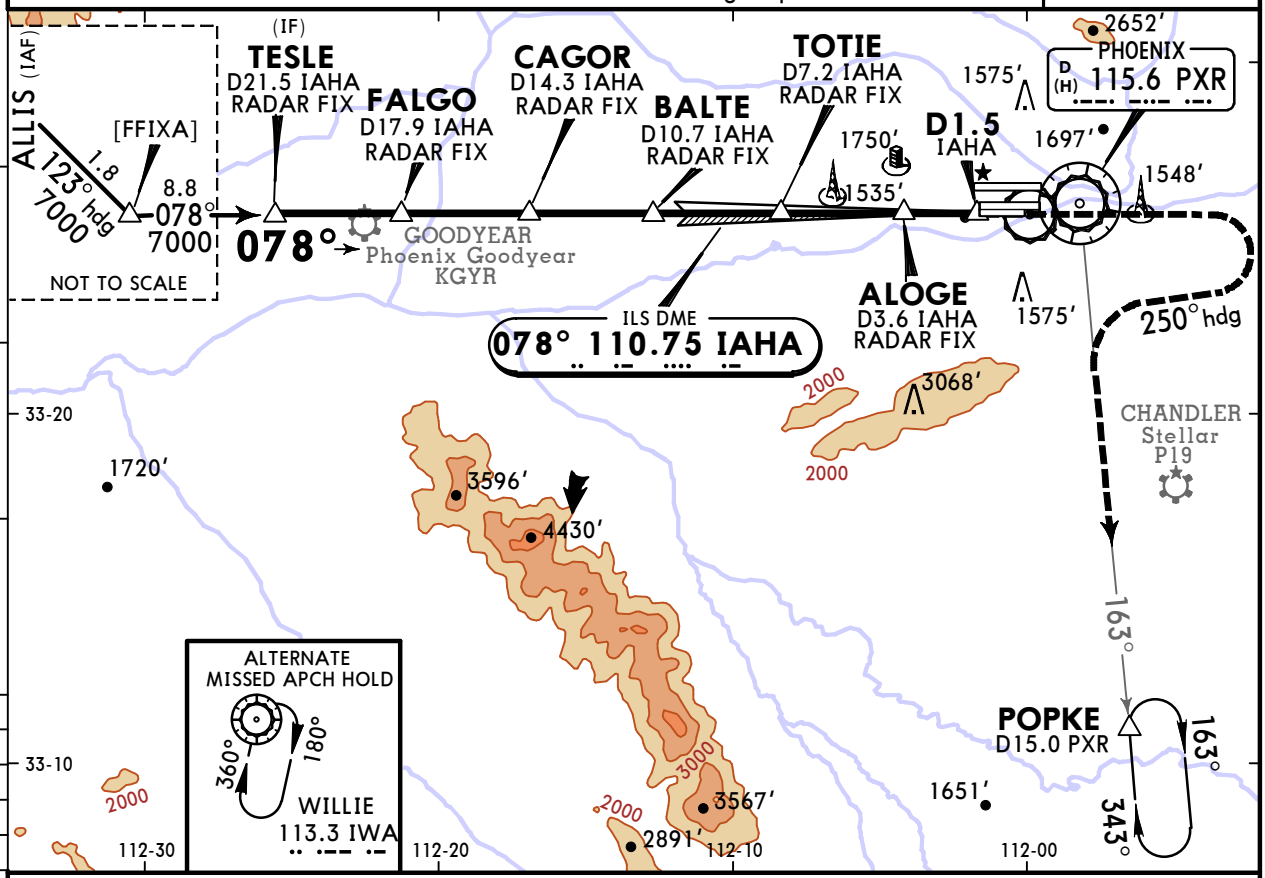

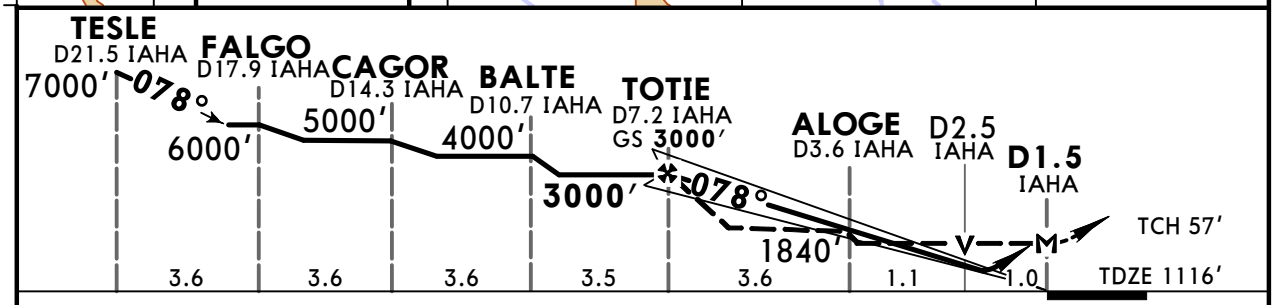

Gnd speed-Kts		70	90	100	120	140	160
GS	3.00°	372	478	531	637	743	849
MAP at D1.5 IAHA or TOTIE to MAP	5.7	4:53	3:48	3:25	2:51	2:27	2:08

MALSR | PAPI | 3300′ | 5000′ RT on 250° hdg and PXR 115.6 R-163

TERPS STRAIGHT-IN LANDING RWY 7R

	ILS DA(H) 1369′(253′) RAIL/ALS out	[1] LOC (GS out) MDA(H) 1520′(404′) RAIL/ALS out	CIRCLE-TO-LAND Max Kts	MDA(H)
A	3/4	3/4	90	1740′(605′) -1
B			120	
C		1 1/8	140	2040′(905′) -2 3/4
D			165	2560′(1425′) -3

[1] Procedure not authorized during simultaneous operations.

TERPS AMEND 2D 18 SEP 2014

CHANGES: Notes, chart format.

© JEPPESEN, 2000, 2022. ALL RIGHTS RESERVED.

Printed from JeppView for Windows 5.3.0.0 on 26 Aug 2026; Terminal chart data cycle 04-2026 (Expired); Notice: After 26 Feb 2026, 0000Z, this chart may no longer be valid

KPHX/PHX
PHOENIX SKY HARBOR INTL

JEPPESEN

21 JAN 22 (11-3) Eff 27 Jan

PHOENIX, ARIZ
ILS or LOC Rwy 8

D-ATIS	PHOENIX Approach (R)	PHOENIX Tower Rwy 8/26	PHOENIX Tower Rwys 7L/R, 25L/R	Ground North	Ground South
127.575	128.65	118.7	120.9	119.75	132.55

LOC ISYQ	Final Apch Crs	WAZUP	ILS DA(H)	Apt Elev 1135′
111.75	078°	3000′(1882′)	1368′(250′)	TDZE 1118′

MISSED APCH: Climb to 3000′, then climbing LEFT turn to 5000′ on heading 280° and outbound on PXR VOR R-336 to AVENT INT/ D15.9 PXR and hold.

160° 6200 280° 4800 010° 5800 — MSA PXR VOR

Alt Set: INCHES | Trans level: FL 180 | Trans alt: 18000′

1. DME or radar required. 2. Autopilot coupled approach not authorized below 1307′ MSL. 3. Simultaneous approach authorized. 4. Use ISYQ DME when on the localizer course. 5. VGSI and ILS glidepath not coincident (VGSI angle 3.00°/TCH 69′).

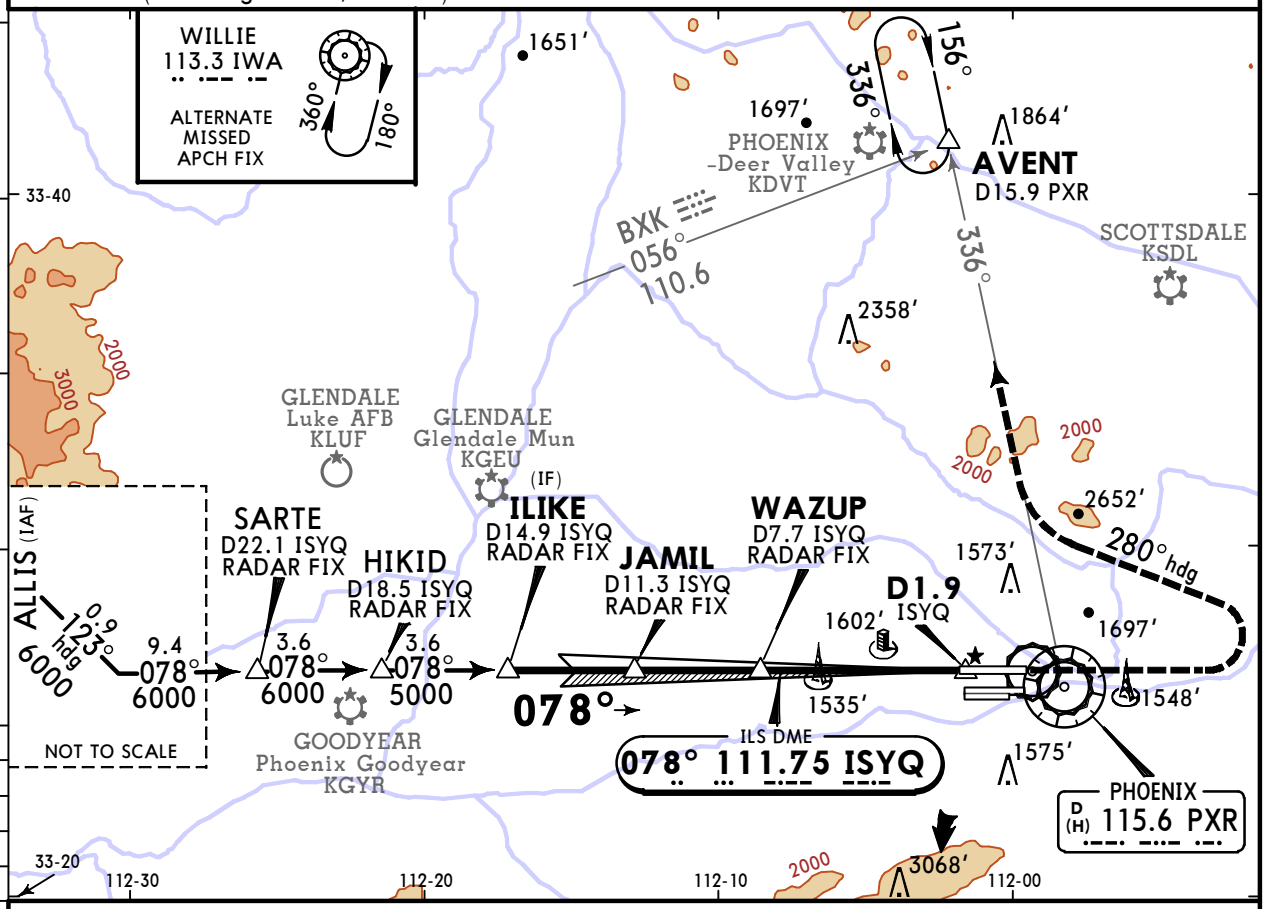

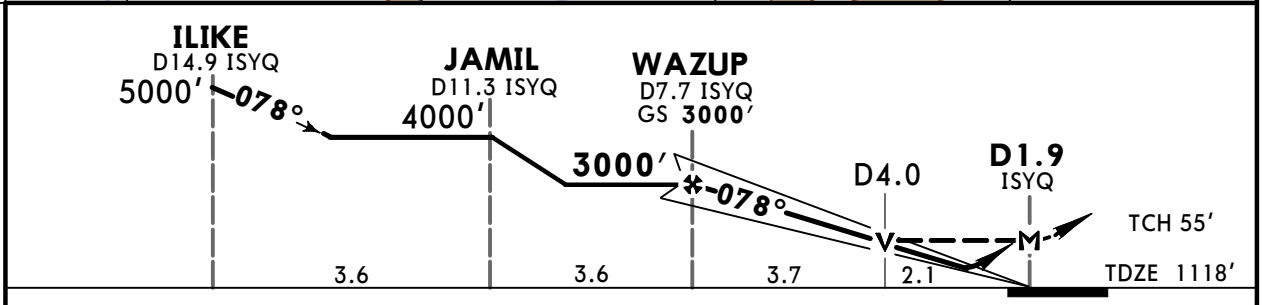

Gnd speed-Kts		70	90	100	120	140	160
GS	3.00°	372	478	531	637	743	849
MAP at D1.9 ISYQ or WAZUP to MAP	5.8	4:58	3:52	3:29	2:54	2:29	2:10

MALSF PAPI | 3000′ | 5000′ LT on 280° hdg and PXR 115.6 R-336

TERPS — STRAIGHT-IN LANDING RWY 8

	ILS DA(H) 1368′(250′) FULL	ILS DA(H) 1368′(250′) ALS out	LOC (GS out) MDA(H) 1860′(742′)	LOC (GS out) MDA(H) 1860′(742′) ALS out
A	3/4		3/4	1
B			1	1 1/4
C			1 7/8	2
D				

CIRCLE-TO-LAND

Cat	Max Kts	MDA(H)
C	90	1860′(725′) -1
	120	1860′(725′) -1 1/4
	140	2040′(905′) -2 3/4
	165	2560′(1425′) -3

TERPS ORIG-F 27 JAN 2022

CHANGES: Notes, alt missed approach, mims, VDP added.

© JEPPESEN, 2001, 2022. ALL RIGHTS RESERVED.

Printed from JeppView for Windows 5.3.0.0 on 26 Aug 2026; Terminal chart data cycle 04-2026 (Expired); Notice: After 26 Feb 2026, 0000Z, this chart may no longer be valid

KPHX/PHX
PHOENIX SKY HARBOR INTL

JEPPESEN 21 JAN 22 (11-4) Eff 27 Jan

PHOENIX, ARIZ
ILS or LOC Rwy 25L

BRIEFING STRIP ™

D-ATIS	PHOENIX Approach (R)	PHOENIX Tower Rwys 7L/R, 25L/R	PHOENIX Tower Rwy 8/26	Ground North	Ground South
127.575	128.65	120.9	118.7	119.75	132.55

LOC IRJG	Final Apch Crs	SCADE	ILS DA(H)	Apt Elev 1135'
110.75	258°	3000' (1874')	1326' (200')	TDZE 1126'

MISSED APCH: Climb to 3000' then climbing LEFT turn to 5000' on heading 130° and outbound on PXR VOR R-163 to POPKE/D15.0 PXR and hold, or as directed by ATC.

Alt Set: INCHES Trans level: FL 180 Trans alt: 18000'

1. DME or Radar required. 2. Autopilot coupled approach not authorized below 1925'.
3. Use IRJG DME when on Localizer course. 4. Simultaneous apch authorized with Rwy 26.
5. VGSI and ILS glidepath not coincident.

MSA PXR VOR: 160° 6200; 280° 4800; 010° 5800

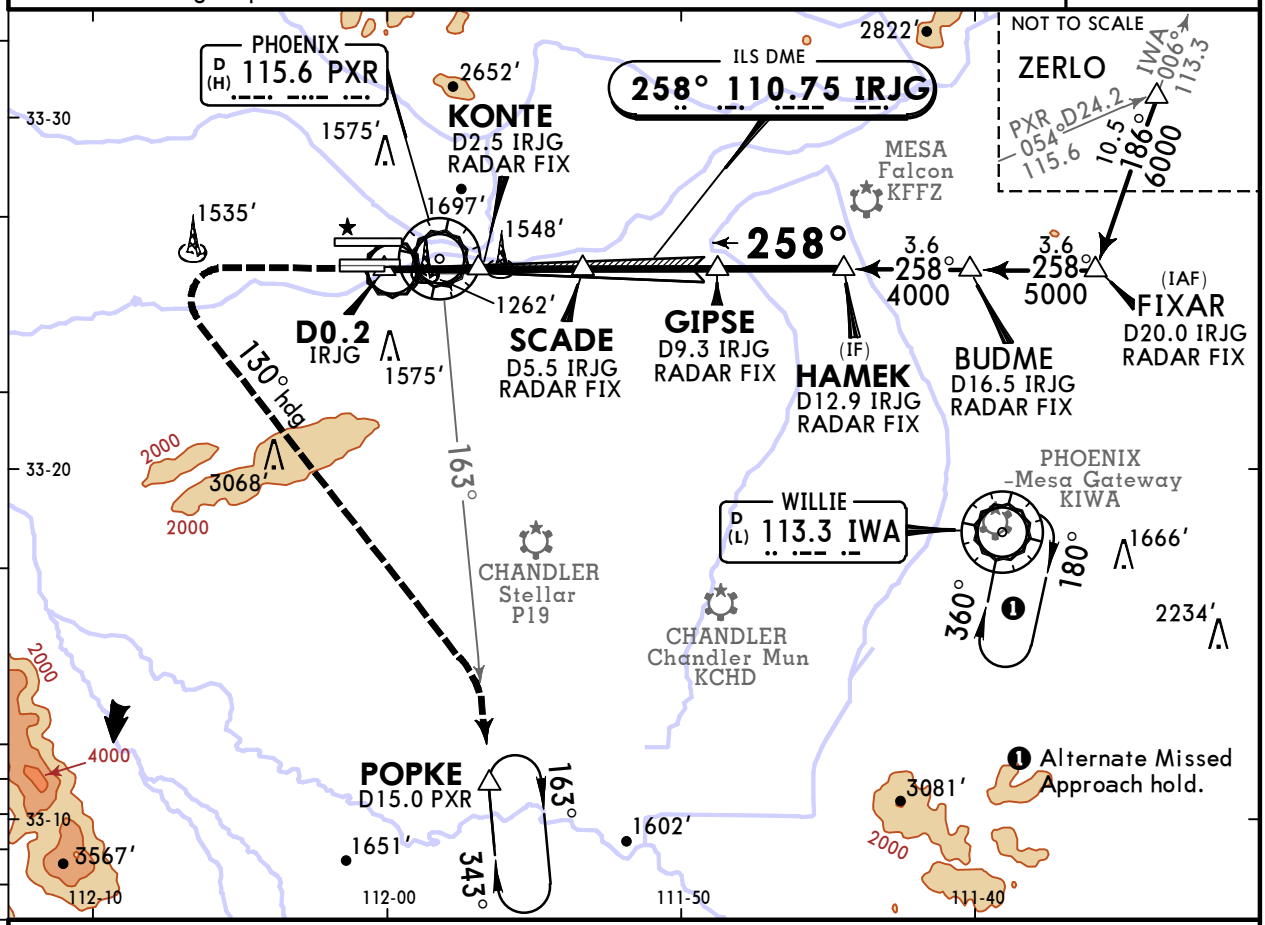

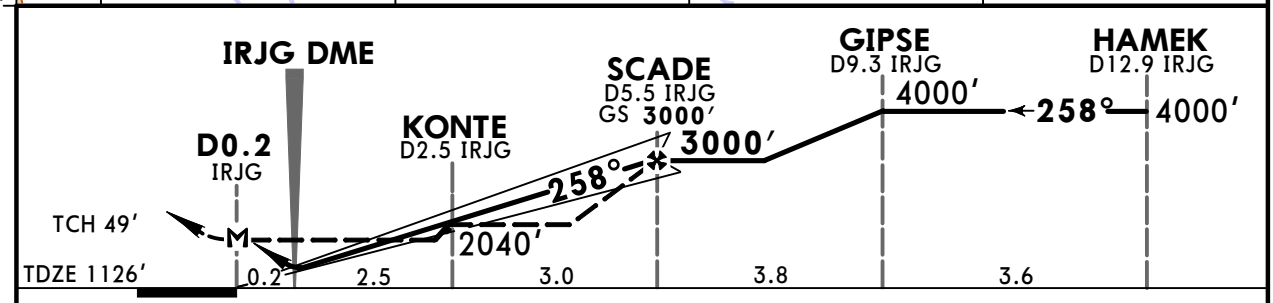

Gnd speed-Kts	70	90	100	120	140	160
GS 3.00°	372	478	531	637	743	849
MAP at D0.2 IRJG or SCADE to MAP 5.6	4:48	3:44	3:22	2:48	2:24	2:06

MALSR PAPI | 3000' | 5000' LT on 130° hdg and PXR 115.6 R-163

TERPS STRAIGHT-IN LANDING RWY 25L

	ILS DA(H) 1326' (200') FULL	ILS RAIL/ALS out	LOC (GS out) MDA(H) 1520' (394')	LOC RAIL/ALS out	CIRCLE-TO-LAND Max Kts	MDA(H)
A	1/2	3/4	1/2	1	90	1740' (605') -1
B					120	
C					140	2040' (905') -2 3/4
D			3/4	1 1/4	165	2560' (1425') -3

TERPS AMEND 1H 27 JUN 2013

CHANGES: None.

© JEPPESEN, 2000, 2020. ALL RIGHTS RESERVED.

Printed from JeppView for Windows 5.3.0.0 on 26 Aug 2026; Terminal chart data cycle 04-2026 (Expired); Notice: After 26 Feb 2026, 0000Z, this chart may no longer be valid

KPHX/PHX
PHOENIX SKY HARBOR INTL

JEPPESEN 9 AUG 19 (11-5) Eff 15 Aug

PHOENIX, ARIZ
ILS or LOC Rwy 26

BRIEFING STRIP ™

D-ATIS	PHOENIX Approach (R)	PHOENIX Tower Rwy 8/26	PHOENIX Tower Rwys 7L/R, 25L/R	Ground North	Ground South
127.575	128.65	118.7	120.9	119.75	132.55

LOC ICWJ	Final Apch Crs	GS PRUNN	ILS DA(H)	Apt Elev 1135′
111.75	258°	3000′ (1865′)	1385′ (250′)	TDZE 1135′

MISSED APCH: Climb to 2500′ then climbing RIGHT turn to 5000′ on hdg 030° and PXR VOR R-336 to AVENT/PXR D15.9 and hold.

Alt Set: INCHES | Trans level: FL 180 | Trans alt: 18000′

1. DME or RADAR required. 2. Simultaneous approach authorized. 3. Use ICWJ DME when on the LOC course. 4. VGSI and ILS glidepath not coincident (VGSI angle 3.00°/TCH 71′).

MSA PXR VOR: 160° 6200; 280° 4800; 010° 5800

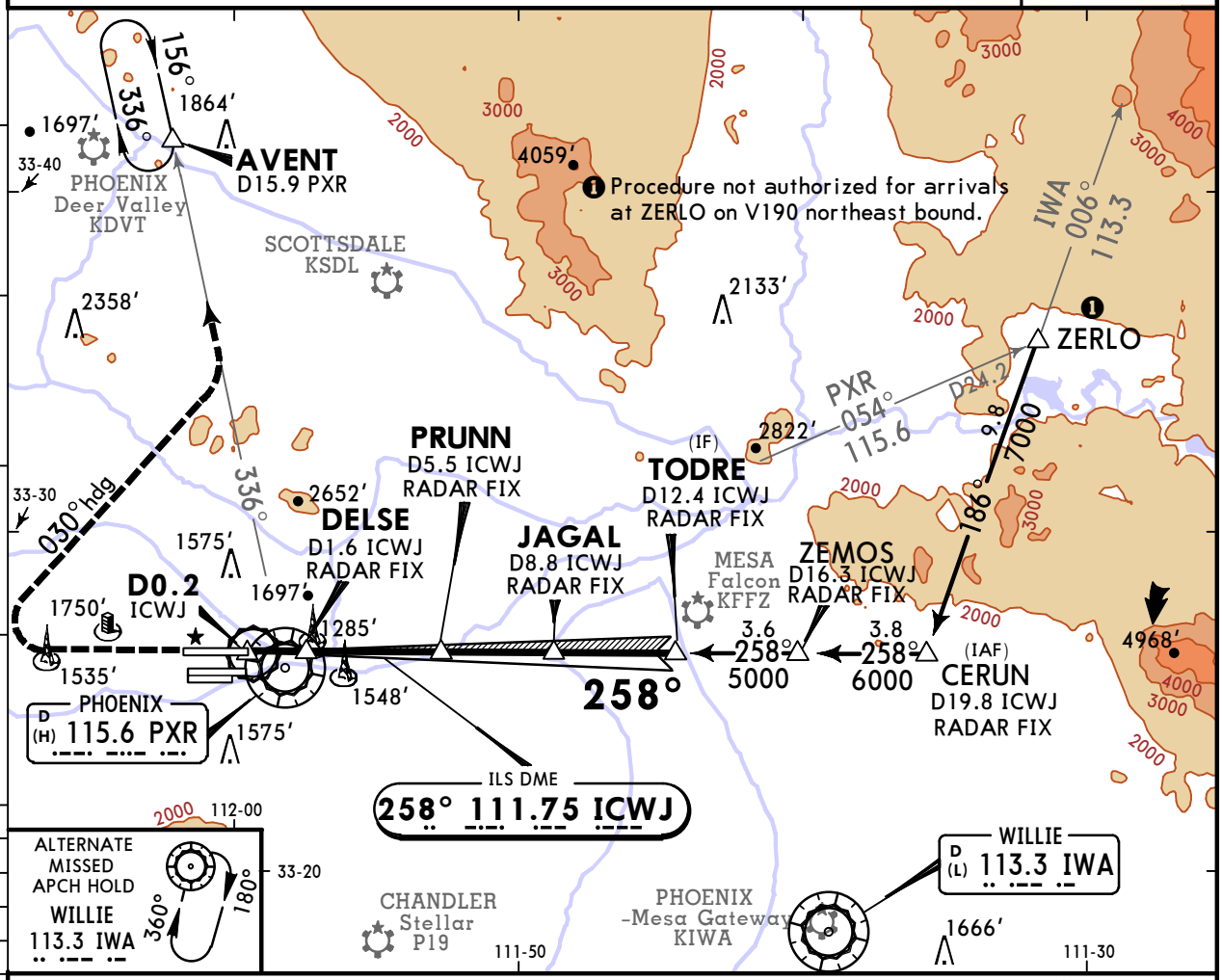

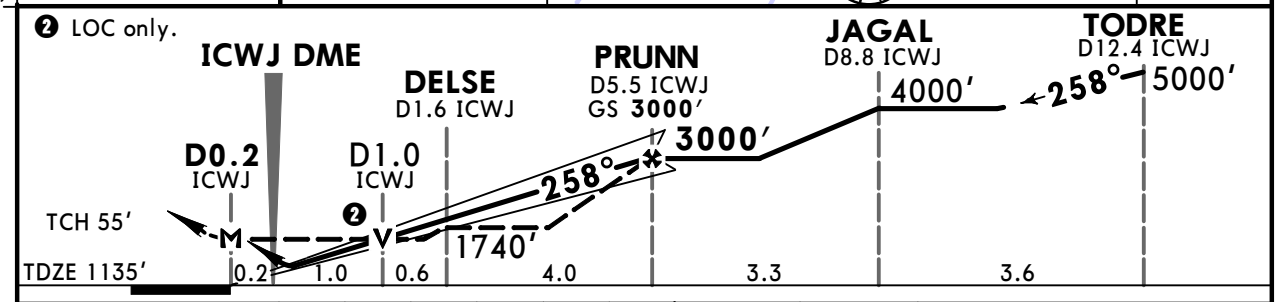

Gnd speed-Kts		70	90	100	120	140	160
GS	3.00°	372	478	531	637	743	849
MAP at D0.2 ICWJ or PRUNN to MAP	5.7	4:53	3:48	3:25	2:51	2:27	2:08

REIL / PAPI-L: 2500′ ↑ | 5000′ RT on 030° hdg and PXR 115.6 R-336

TERPS STRAIGHT-IN LANDING RWY 26

	ILS DA(H) 1385′ (250′)	LOC (GS out) MDA(H) 1580′ (445′)
A	3/4	1
B		
C		1 3/8
D		

CIRCLE-TO-LAND

Max Kts	MDA(H)
90	1740′ (605′) -1
120	
140	2040′ (905′) -2 3/4
165	2560′ (1425′) -3

TERPS AMEND 1 15 AUG 2019

CHANGES: Notes, dist, planview, profile, minimums, chart format, topo.

© JEPPESEN, 2000, 2019. ALL RIGHTS RESERVED.

Printed from JeppView for Windows 5.3.0.0 on 26 Aug 2026; Terminal chart data cycle 04-2026 (Expired); Notice: After 26 Feb 2026, 0000Z, this chart may no longer be valid

KPHX/PHX
PHOENIX SKY HARBOR INTL

JEPPESEN 10 OCT 25 (12-1)

PHOENIX, ARIZ
RNAV (GPS) Y Rwy 7L

BRIEFING STRIP™

D-ATIS	PHOENIX Approach (R)	PHOENIX Tower Rwys 7L/R, 25L/R	PHOENIX Tower Rwy 8/26	Ground North	Ground South
127.575	128.65	120.9	118.7	119.75	132.55

WAAS	Final Apch Crs	YECXY	LPV DA(H)	Apt Elev 1135′
Ch 65811 W07A	078°	3000′ (1884′)	1389′ (273′)	TDZE 1116′

MISSED APCH: Climb to 5000′ direct UXCUN and via 111° track to IWA VOR and hold.

RNP Apch - GPS | Alt Set: INCHES | Trans level: FL 180 | Trans alt: 18000′

1. For uncompensated Baro-VNAV systems, LNAV/VNAV not authorized below -17°C or above 46°C. 2. Simultaneous approach authorized. 3. LNAV procedure not authorized during simultaneous operations. 4. Use of Flight Director or Autopilot providing RNAV track guidance required during simultaneous operations. 5. VGSI and RNAV glidepath not coincident.

6100

MSA RW07L

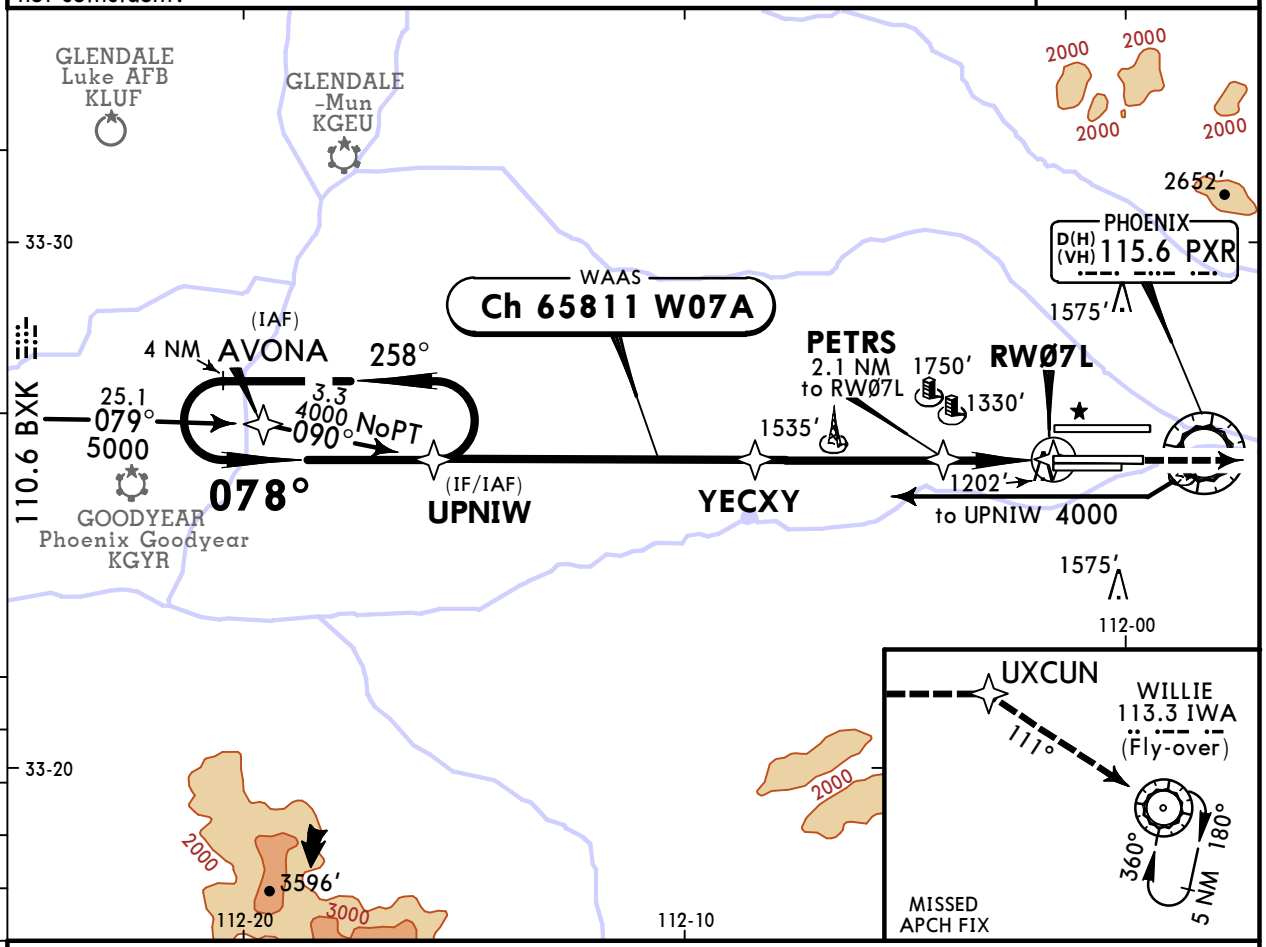

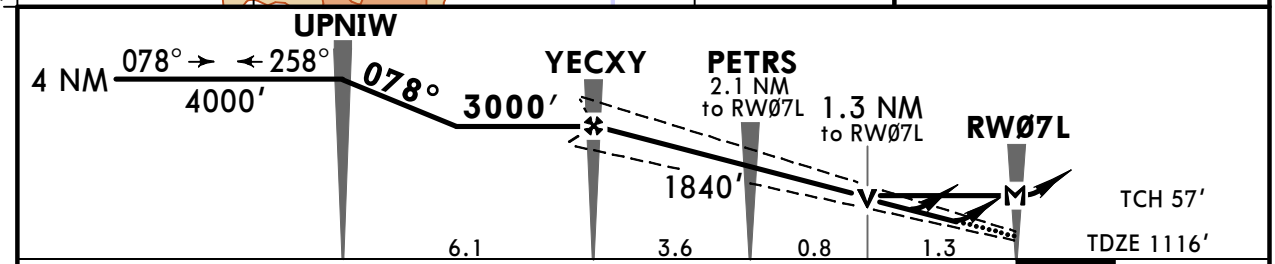

Gnd speed-Kts	70	90	100	120	140	160
Glide Path Angle 3.00°	372	478	531	637	743	849
MAP at RW07L						

MALSR PAPI 5000′ D UXCUN

TERPS STRAIGHT-IN LANDING RWY **7L**

	LPV DA(H) 1389′(273′)		LNAV/VNAV DA(H) 1519′(403′)		LNAV MDA(H) 1580′(464′)	
		RAIL/ALS out		RAIL/ALS out		RAIL/ALS out
A	RVR 24 or ½	RVR 45 or ⅞	RVR 50 or 1	RVR 60 or 1¼	RVR 24 or ½	RVR 50 or 1
B						
C					RVR 40 or ¾	1⅜
D					RVR 50 or 1	

CIRCLE-TO-LAND

Max Kts.	MDA(H)
90	1740′(605′) -1
120	
140	2040′(905′) -2¾
165	2560′(1425′) -3

TERPS AMEND 1C 8 MAR 2012

CHANGES: PXR VOR service volume, chart format.

© JEPPESEN, 2000, 2025. ALL RIGHTS RESERVED.

Printed from JeppView for Windows 5.3.0.0 on 26 Aug 2026; Terminal chart data cycle 04-2026 (Expired); Notice: After 26 Feb 2026, 0000Z, this chart may no longer be valid

KPHX/PHX
PHOENIX SKY HARBOR INTL

JEPPESEN

10 OCT 25 (12-2)

PHOENIX, ARIZ
RNAV (GPS) Y Rwy 7R

BRIEFING STRIP™

D-ATIS	PHOENIX Approach (R)	PHOENIX Tower Rwys 7L/R, 25L/R	PHOENIX Tower Rwy 8/26	Ground North	Ground South
127.575	128.65	120.9	118.7	119.75	132.55

WAAS	Final Apch Crs	OVNUY	LPV DA(H)	Apt Elev 1135′
Ch 73011 W07B	078°	3000′ (1884′)	1390′ (274′)	TDZE 1116′

MISSED APCH: Climb to 5000′ direct NAVOQ and via 110° track to IWA VOR and hold.

RNP Apch - GPS | Alt Set: INCHES | Trans level: FL 180 | Trans alt: 18000′

1. For uncompensated Baro-VNAV systems, LNAV/VNAV not authorized below -17°C or above 46°C. 2. Simultaneous approach authorized. 3. LNAV procedure not authorized during simultaneous operations. 4. Use of Flight Director or Autopilot providing RNAV track guidance required during simultaneous operations. 5. Rwy 7R helicopter visibility reduction below 3/4 SM not authorized. 6. VGSI and RNAV glidepath not coincident.

6100

MSA RWØ7R

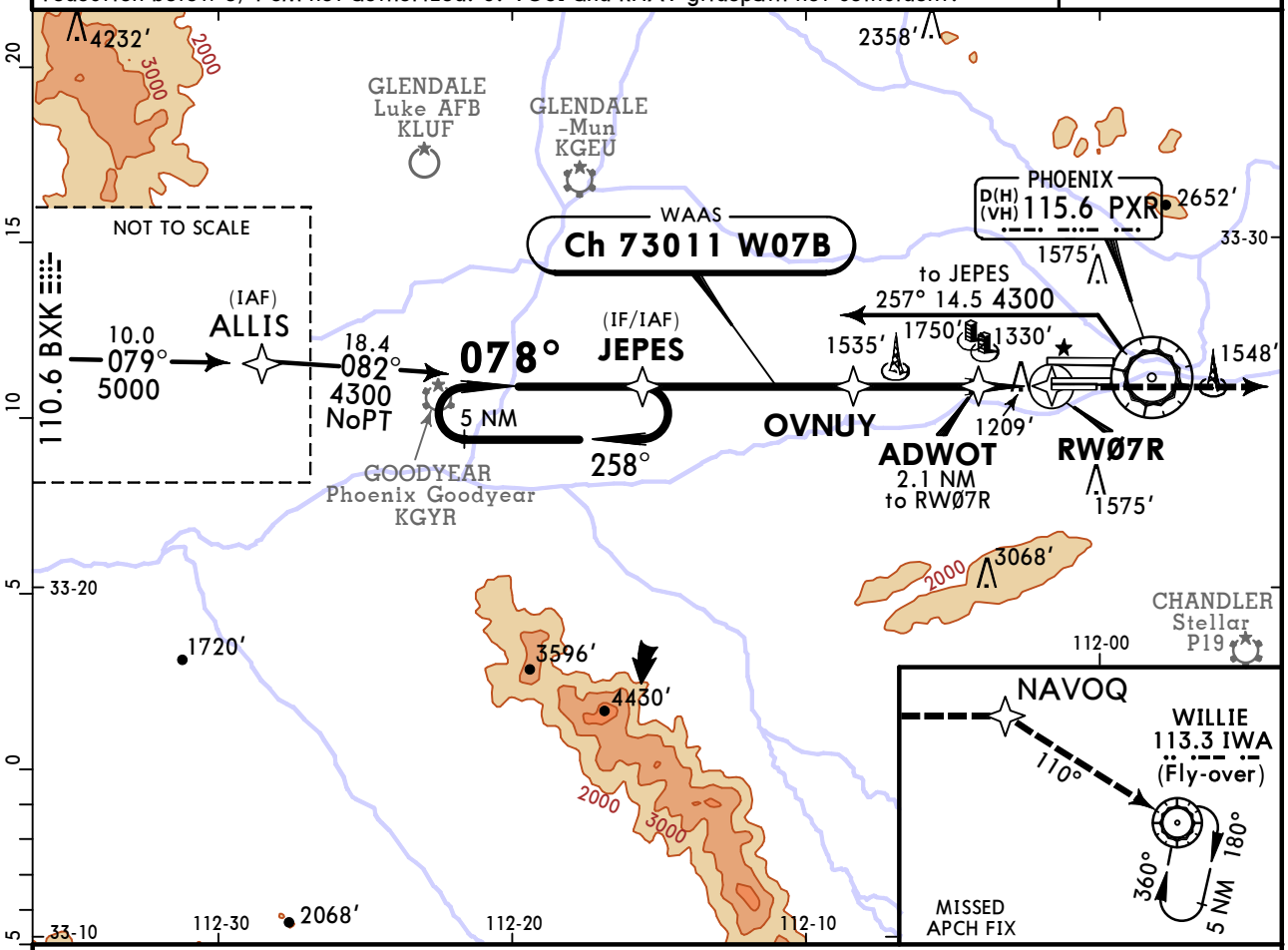

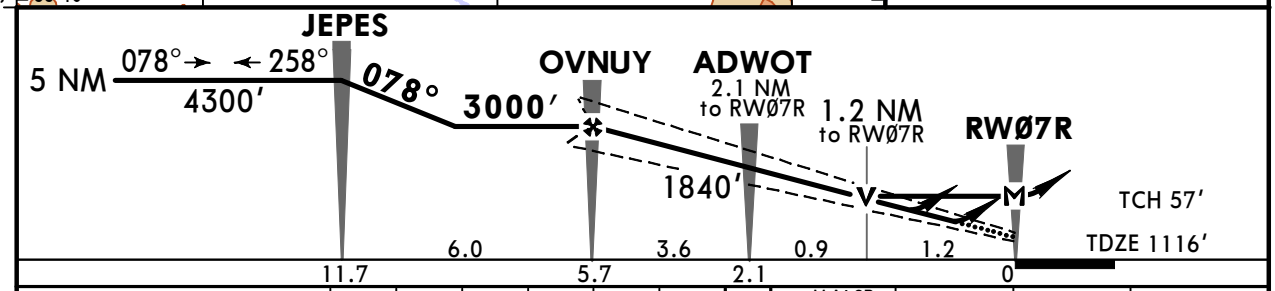

Gnd speed-Kts		70	90	100	120	140	160
Glide Path Angle	3.00°	372	478	531	637	743	849
MAP at RWØ7R							

MALSR
PAPI

5000′

NAVOQ

TERPS STRAIGHT-IN LANDING RWY **7R**

	LPV DA(H) 1390′(274′)		LNAV/VNAV DA(H) 1520′(404′)		LNAV MDA(H) 1580′(464′)	
		RAIL/ALS out		RAIL/ALS out		RAIL/ALS out
A	3/4	7/8	1	1 1/8	3/4	1
B						
C					1	1 3/8
D						

CIRCLE-TO-LAND

Max Kts	MDA(H)
90	1740′(605′) -1
120	
140	2040′(905′) -2 3/4
165	2560′(1425′) -3

TERPS AMEND 1C 8 MAR 2012

CHANGES: Lighting, PXR VOR service volume, chart format.

© JEPPESEN, 2001, 2025. ALL RIGHTS RESERVED.

Printed from JeppView for Windows 5.3.0.0 on 26 Aug 2026; Terminal chart data cycle 04-2026 (Expired); Notice: After 26 Feb 2026, 0000Z, this chart may no longer be valid

KPHX/PHX
PHOENIX SKY HARBOR INTL

JEPPESEN
28 OCT 22
Eff 3 Nov
(12-3)

PHOENIX, ARIZ
RNAV (GPS) Y Rwy 8

BRIEFING STRIP ™

D-ATIS	PHOENIX Approach (R)	PHOENIX Tower Rwy 8/26	PHOENIX Tower Rwys 7L/R, 25L/R	Ground North	Ground South
127.575	128.65	118.7	120.9	119.75	132.55

WAAS	Final Apch Crs	IEGOR	LPV DA(H)	Apt Elev 1135′
Ch 86611 W-08A	078°	3000′(1882′)	1368′(250′)	TDZE 1118′

MISSED APCH: Climb to 3000′ then climbing LEFT turn to 5000′ direct AVENT and hold.

6100

MSA RWØ8

RNP Apch-GPS | Alt Set: INCHES | Trans level: FL 180 | Trans alt: 18000′

1. Simultaneous approach authorized. 2. LNAV procedure not authorized during simultaneous operations. 3. VGSI and RNAV glidepath not coincident (VGSI angle 3.00°/TCH 69′).

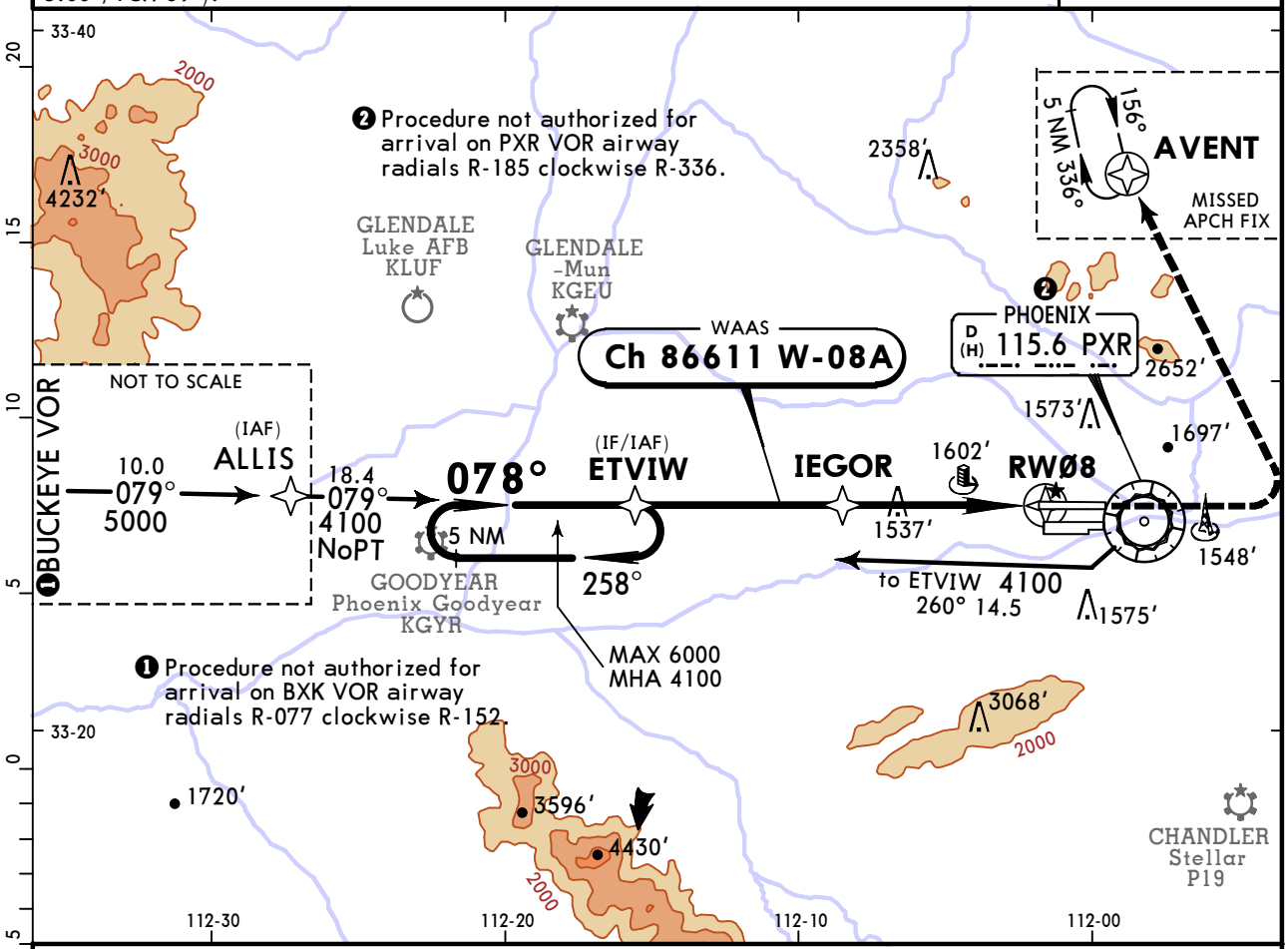

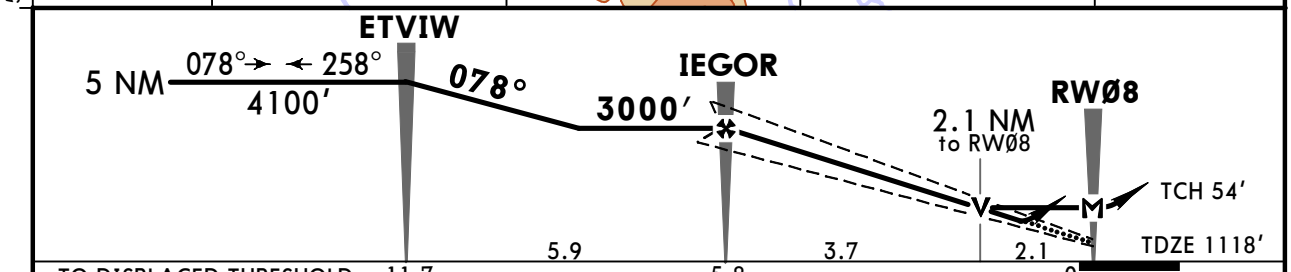

Gnd speed-Kts	70	90	100	120	140	160
Glide Path Angle 3.00°	372	478	531	637	743	849
MAP at RWØ8						

MALSF
PAPI
3000′
5000′ LT
AVENT

TERPS STRAIGHT-IN LANDING RWY 8

	LPV DA(H) 1368′(250′)	ALS out	LNAV MDA(H) 1860′(742′)	ALS out
A	3/4		3/4	1
B			1	1 1/4
C			1 7/8	2
D				

CIRCLE-TO-LAND

Cat	Max Kts	MDA(H)
C	90	1860′(725′)-1
	120	1860′(725′)-1 1/4
	140	2040′(905′)-2 3/4
	165	2340′(1205′)-3

TERPS AMEND 2 3 NOV 2022

CHANGES: Procedure.

© JEPPESEN, 2000, 2022. ALL RIGHTS RESERVED.

Printed from JeppView for Windows 5.3.0.0 on 26 Aug 2026; Terminal chart data cycle 04-2026 (Expired); Notice: After 26 Feb 2026, 0000Z, this chart may no longer be valid

KPHX/PHX
PHOENIX SKY HARBOR INTL

JEPPESEN
28 OCT 22
Eff 3 Nov
(12-4)

PHOENIX, ARIZ
RNAV (GPS) Y Rwy 25L

BRIEFING STRIP ™

D-ATIS	PHOENIX Approach (R)	PHOENIX Tower Rwys 7L/R, 25L/R	PHOENIX Tower Rwy 8/26	Ground North	Ground South
127.575	128.65	120.9	118.7	119.75	132.55

WAAS	Final Apch Crs	TIPLE	LPV DA(H)	Apt Elev 1135′
Ch 82211 W-25B	258°	3000′(1874′)	1449′(323′)	TDZE 1126′

MISSED APCH: Climb to 1900′ then climbing LEFT turn to 5000′ direct CHOCK and on track 145° to BRAAK and hold.

RNP Apch-GPS | Alt Set: INCHES | Trans level: FL 180 | Trans alt: 18000′

1. For uncompensated Baro-VNAV systems, procedure not authorized below 2°C or above 54°C. 2. Simultaneous approach authorized. 3. LNAV procedure not authorized during simultaneous operations. 4. Use of Flight Director or Autopilot required during simultaneous operations. 5. VGSI and RNAV glidepath not coincident (VGSI angle 3.00°/TCH 66′).

6100

MSA RW25L

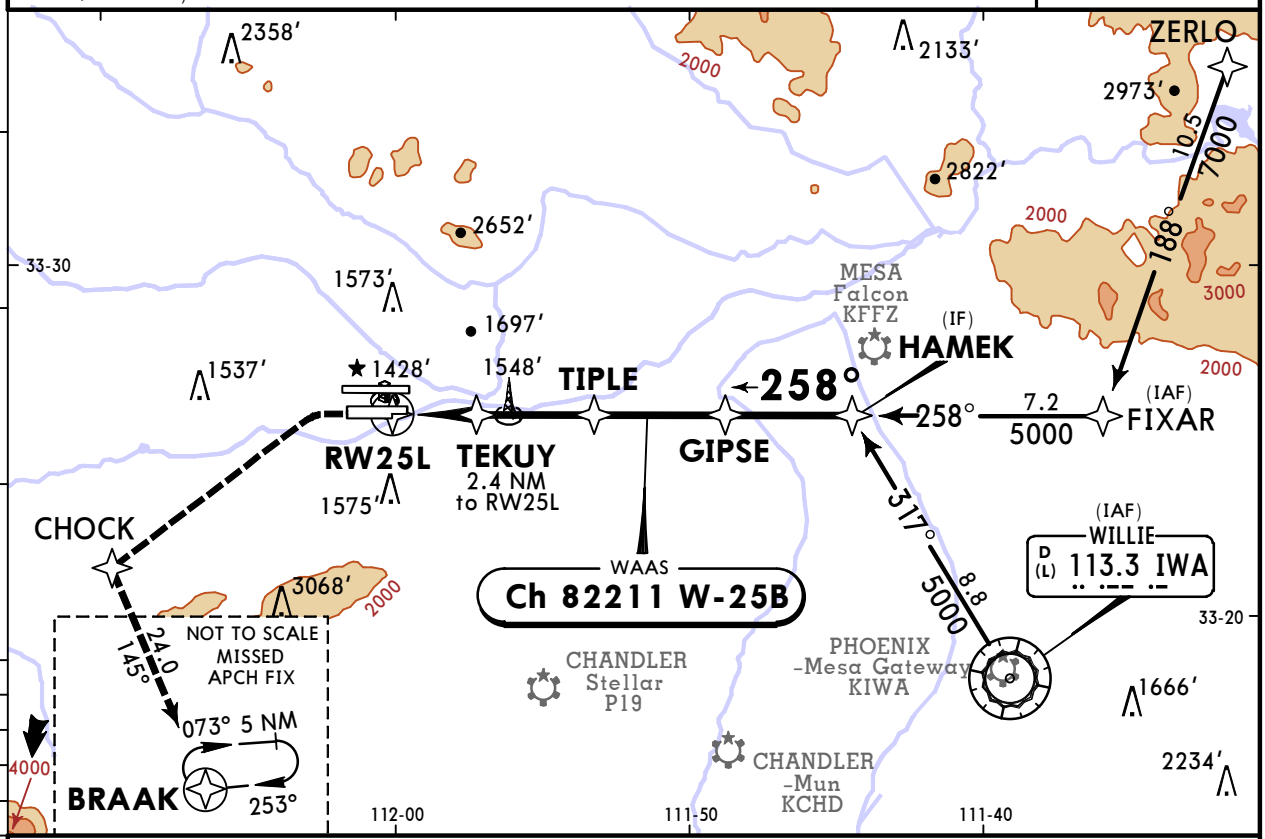

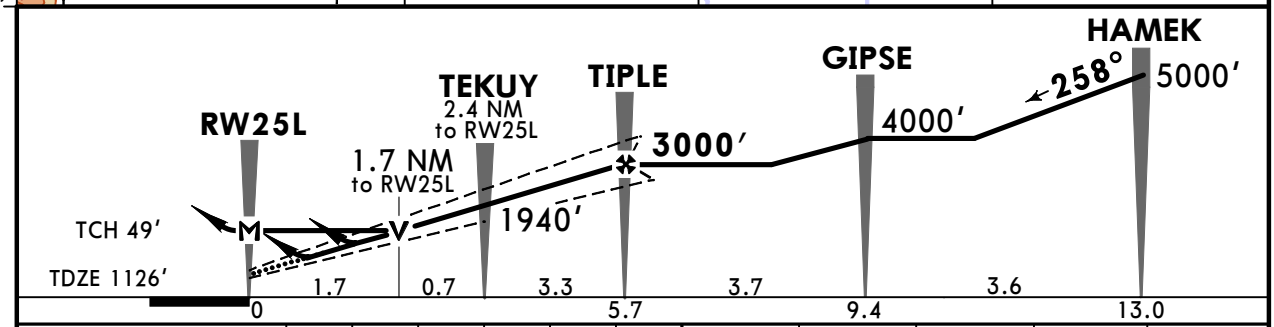

Gnd speed-Kts		70	90	100	120	140	160
Glide Path Angle	3.00°	372	478	531	637	743	849
MAP at RW25L							

MALSR
PAPI

1900′

5000′
LT

CHOCK

TERPS

STRAIGHT-IN LANDING RWY **25L**

	LPV DA(H) 1449′(323′) RAIL/ALS out		LNAV/VNAV DA(H) A, B, C: 1589′(463′) D: 1674′(548′) RAIL/ALS out		LNAV MDA(H) 1740′(614′) RAIL/ALS out	
A	½	1	1	1⅜	½	1
B						
C					1⅜	1¾
D			1⅛			

CIRCLE-TO-LAND

Max Kts	MDA(H)
90	1740′(605′) -1
120	
140	2040′(905′) -2¾
165	2340′(1205′) -3

TERPS AMEND 2 19 MAY 2022

CHANGES: Topography, chart format.

© JEPPESEN, 2001, 2022. ALL RIGHTS RESERVED.

Printed from JeppView for Windows 5.3.0.0 on 26 Aug 2026; Terminal chart data cycle 04-2026 (Expired); Notice: After 26 Feb 2026, 0000Z, this chart may no longer be valid

KPHX/PHX
PHOENIX SKY HARBOR INTL

JEPPESEN
13 MAY 22
Eff 19 May
(12-5)

PHOENIX, ARIZ
RNAV (GPS) Y Rwy 25R

BRIEFING STRIP ™

D-ATIS	PHOENIX Approach (R)	PHOENIX Tower Rwys 7L/R, 25L/R	PHOENIX Tower Rwy 8/26	Ground North	Ground South
127.575	128.65	120.9	118.7	119.75	132.55

WAAS	Final Apch Crs	UXCUN	LPV DA(H)	Apt Elev 1135′
Ch 40022 W-25A	258°	3000′(1866′)	1439′(305′)	TDZE 1134′

6100
MSA RW25R

MISSED APCH: Climb to 5000′ direct YECXY and via 260° track to BXK VOR and hold.

Alt Set: INCHES | Trans level: FL 180 | Trans alt: 18000′

1. For uncompensated Baro-VNAV systems, LNAV/VNAV not authorized below -17°C (2°F) or above 46°C (114°F). 2. DME/DME RNP-0.30 not authorized. 3. Simultaneous approach authorized with ILS or LOC Rwy 26. 4. LNAV procedure not authorized during simultaneous operations. 5. Use of Flight Director or Autopilot providing RNAV track guidance required during simultaneous operations. 6. VGSI and RNAV glidepath not coincident.

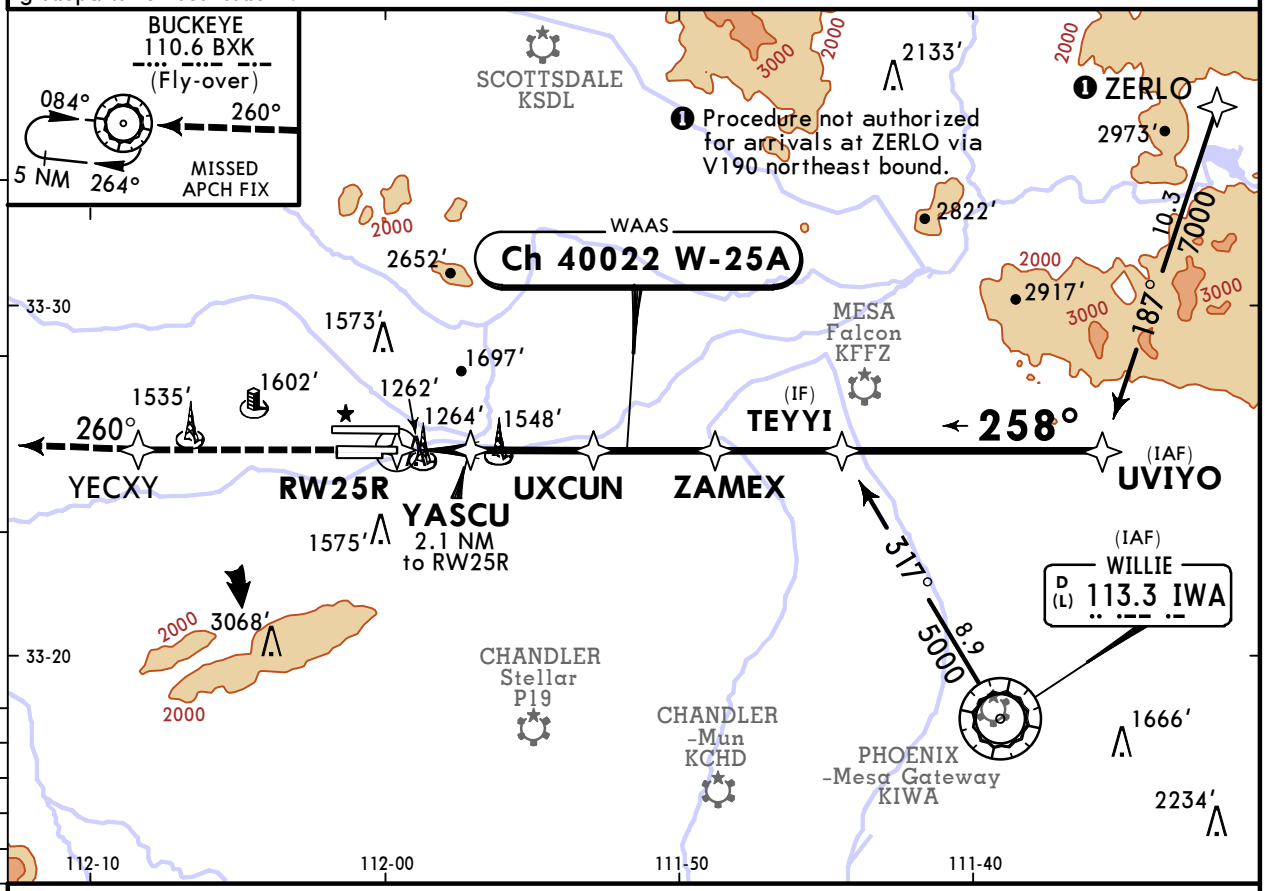

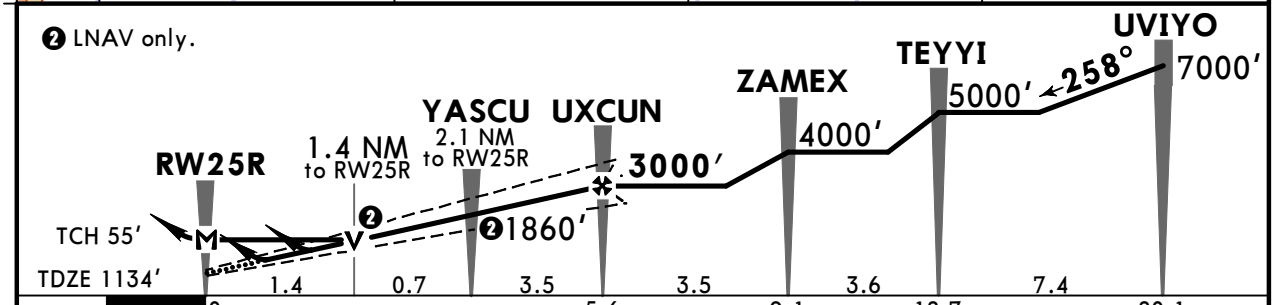

Gnd speed-Kts		70	90	100	120	140	160
Glide Path Angle	3.00°	372	478	531	637	743	849
MAP at RW25R							

PAPI-L | 5000′ | YECXY

TERPS STRAIGHT-IN LANDING RWY25R

	LPV DA(H) 1439′(305′)	LNAV/VNAV DA(H) 1580′(446′)	LNAV MDA(H) 1640′(506′)
A	1	1½	1
B			
C			1½
D			

CIRCLE-TO-LAND

Max Kts	MDA(H)
90	1740′(605′) -1
120	
140	2040′(905′) -2¾
165	2560′(1425′) -3

TERPS AMEND 2C 8 MAR 2012

CHANGES: Topography, chart format.

© JEPPESEN, 2000, 2022. ALL RIGHTS RESERVED.

Printed from JeppView for Windows 5.3.0.0 on 26 Aug 2026; Terminal chart data cycle 04-2026 (Expired); Notice: After 26 Feb 2026, 0000Z, this chart may no longer be valid

KPHX/PHX
PHOENIX SKY HARBOR INTL

JEPPESEN 13 MAY 22 **Eff 19 May** (12-6)

PHOENIX, ARIZ
RNAV (GPS) Y Rwy 26

BRIEFING STRIP™

D-ATIS	PHOENIX Approach (R)	PHOENIX Tower Rwy 8/26	PHOENIX Tower Rwys 7L/R, 25L/R	Ground North	Ground South
127.575	128.65	118.7	120.9	119.75	132.55

WAAS	Final Apch Crs	TINKM	LPV DA(H)	Apt Elev 1135′
Ch 70321 W-26A	**258°**	**3000′**(1865′)	**1390′**(255′)	TDZE 1135′

MISSED APCH: Climb to 1700′ then climbing RIGHT turn to 6000′ direct RAXEE and hold.

6100 MSA RW26

Alt Set: INCHES | Trans level: FL 180 | Trans alt: 18000′

RNP Apch - GPS

1. For uncompensated Baro-VNAV systems, procedure not authorized below 2°C or above 54°C.
2. Simultaneous approach authorized. 3. LNAV procedure not authorized during simultaneous operations.
4. Use of Flight Director or Autopilot required during simultaneous operations. 5. VGSI and RNAV glidepath not coincident (VGSI angle 3.00°/TCH 71′).

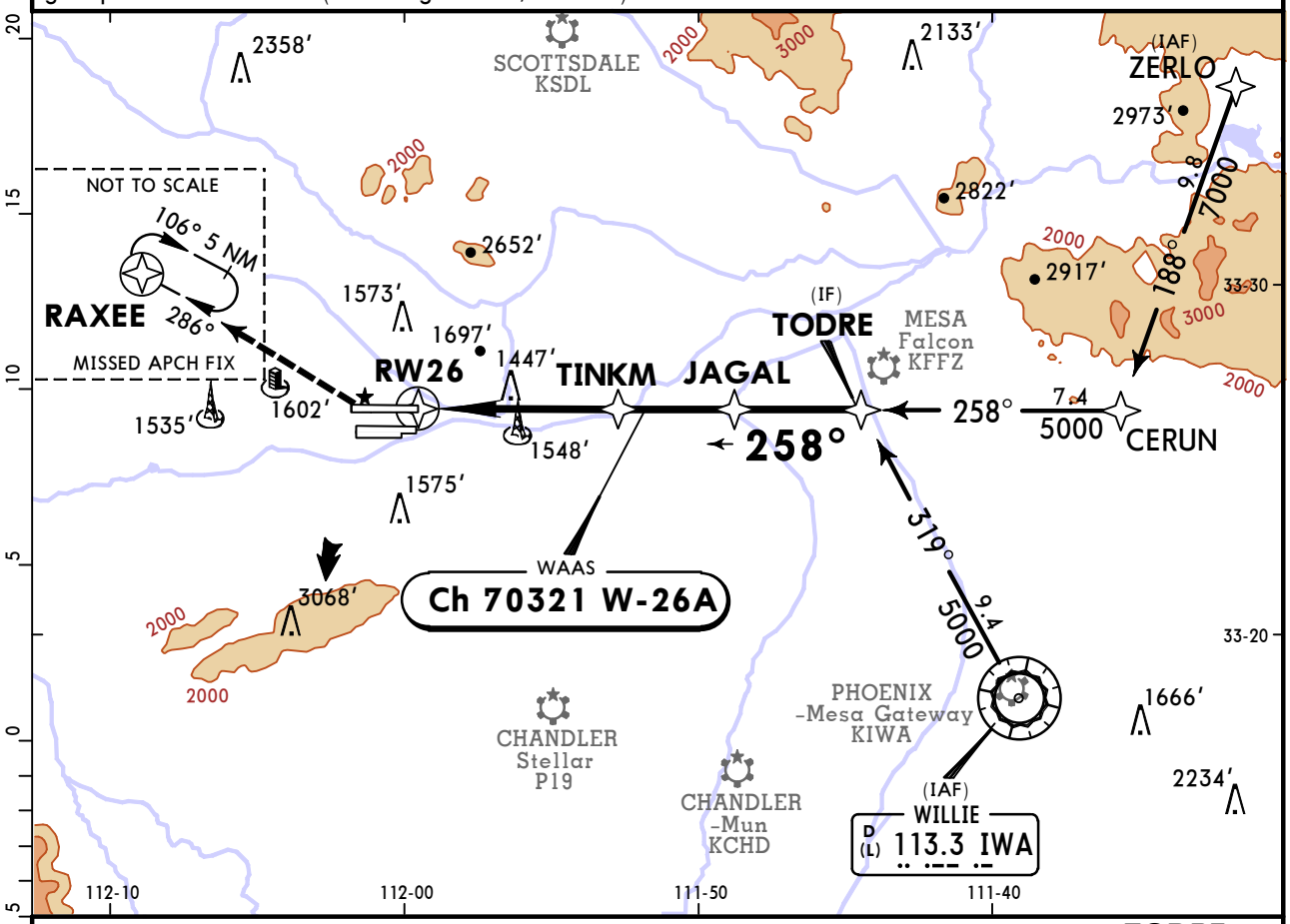

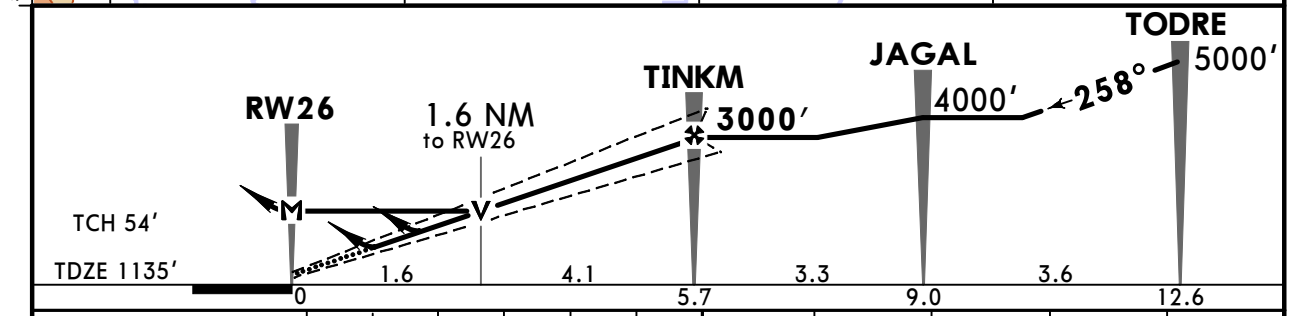

Gnd speed-Kts		70	90	100	120	140	160
Glide Path Angle	3.00°	372	478	531	637	743	849
MAP at RW26							

REIL PAPI-L | **1700′** | **6000′** RT | D | **RAXEE**

TERPS STRAIGHT-IN LANDING RWY **26**

	LPV DA(H) **1390′**(255′)	LNAV/VNAV DA(H) **1581′**(446′)	LNAV MDA(H) **1700′**(565′)
A	¾	1⅜	1
B			
C			1⅝
D			

CIRCLE-TO-LAND

Max Kts	MDA(H)
90	1740′(605′) -1
120	
140	2040′(905′) -2¾
165	2340′(1205′) -3

TERPS AMEND 3 19 MAY 2022

CHANGES: Procedure.

© JEPPESEN, 2000, 2022. ALL RIGHTS RESERVED.