Printed from JeppView for Windows 5.3.0.0 on 29 Aug 2026; Terminal chart data cycle 04-2026 (Expired); Notice: After 26 Feb 2026, 0000Z, this chart may no longer be valid

UDYZ/EVN ZVARTNOTS

JEPPESEN

24 MAR 17 (10-1R) Eff 30 Mar

YEREVAN, ARMENIA

RADAR MINIMUM ALTITUDES

Apt Elev 2838′

Alt Set: hPa
Trans level: By ATC Trans alt: 11500′

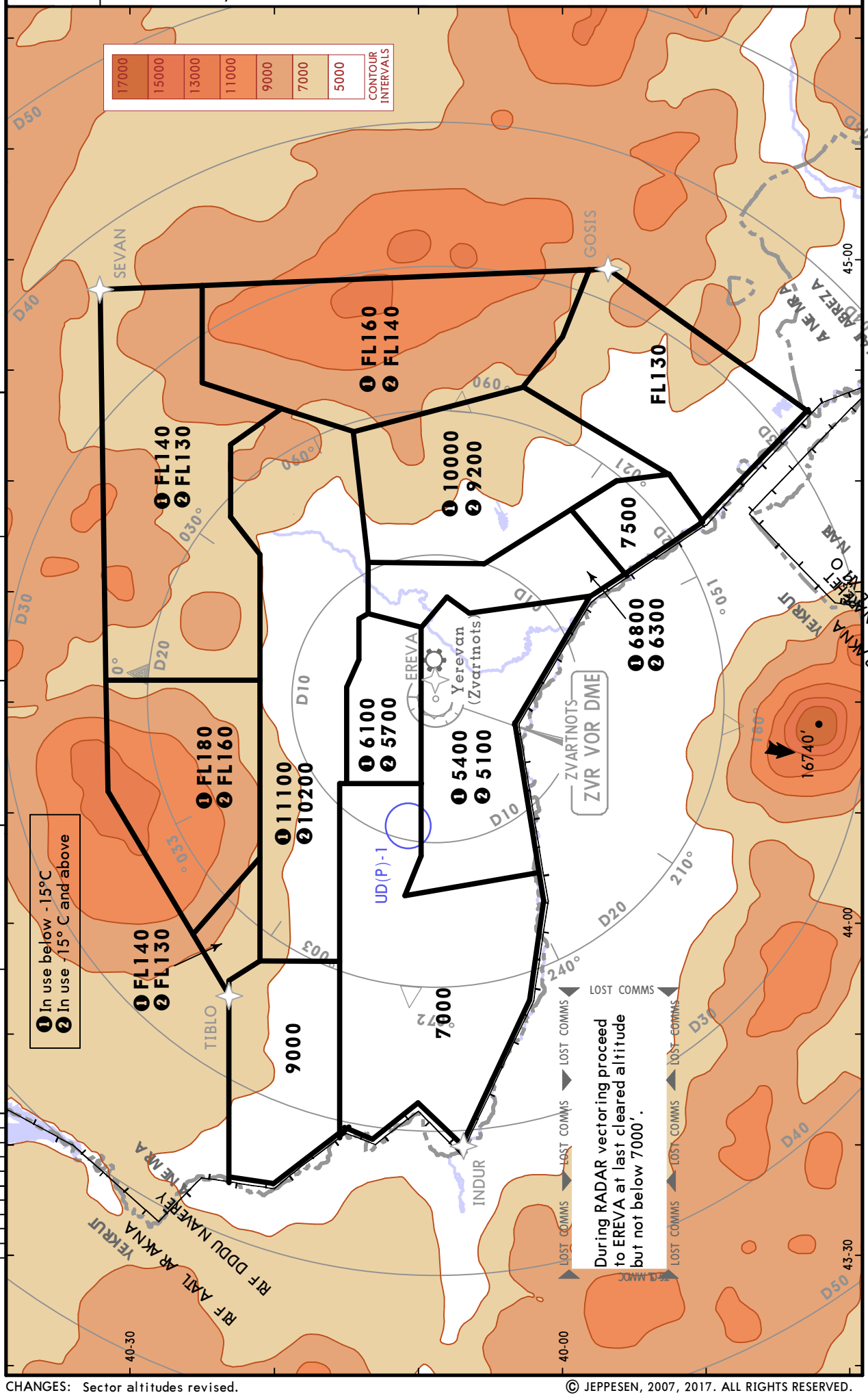

CHANGES: Sector altitudes revised.

© JEPPESEN, 2007, 2017. ALL RIGHTS RESERVED.

ATIS	Apt Elev	Alt Set: hPa Trans level: By ATC
119.5	2838	RNAV 1 GNSS required

GOSIS 4A [GOSI4A]
INDUR 4A [INDU4A]
LODAC 1A [LODA1A]
SEVAN 4A [SEVA4A]
RNAV ARRIVALS
(RWY 08)

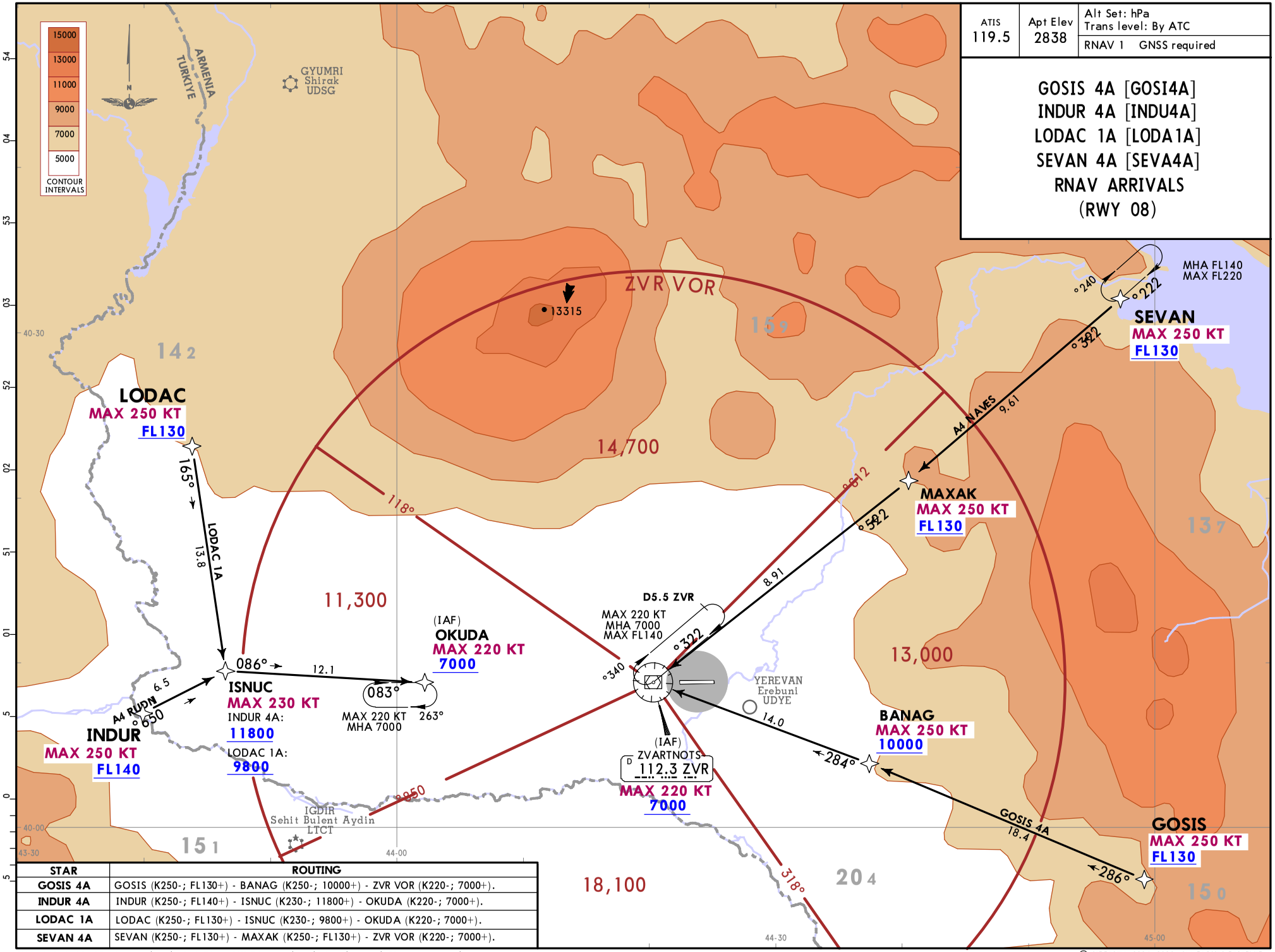

STAR	ROUTING
GOSIS 4A	GOSIS (K250-; FL130+) - BANAG (K250-; 10000+) - ZVR VOR (K220-; 7000+).
INDUR 4A	INDUR (K250-; FL140+) - ISNUC (K230-; 11800+) - OKUDA (K220-; 7000+).
LODAC 1A	LODAC (K250-; FL130+) - ISNUC (K230-; 9800+) - OKUDA (K220-; 7000+).
SEVAN 4A	SEVAN (K250-; FL130+) - MAXAK (K250-; FL130+) - ZVR VOR (K220-; 7000+).

CHANGES: STAR LODAC 1A replaced TIBLO 3A, INDUR 3A renumbered 4A and revised, PBN note revised.

© JEPPESEN, 2024, 2026. ALL RIGHTS RESERVED.

Printed from JeppView for Windows 5.3.0.0 on 29 Aug 2026; Terminal chart data cycle 04-2026 (Expired); Notice: After 26 Feb 2026, 0000Z, this chart may no longer be valid

ATIS	Apt Elev	Alt Set: hPa Trans level: By ATC
119.5	2838	RNAV 1 GNSS required

GOSIS 3B [GOSI3B]
INDUR 3B [INDU3B]
SEVAN 3B [SEVA3B]
TIBLO 3B [TIBL3B]
RNAV ARRIVALS
(RWY 26)

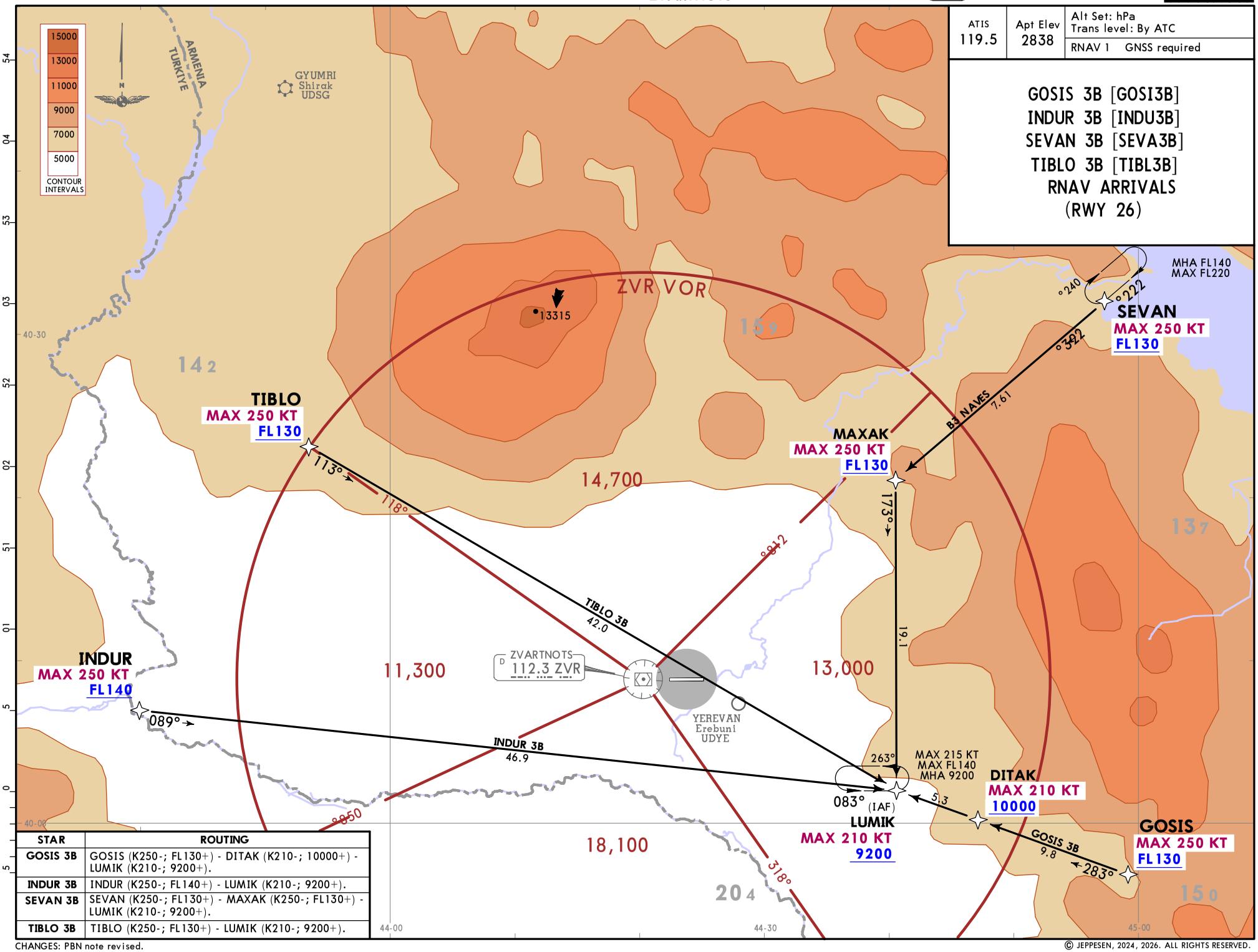

STAR	ROUTING
GOSIS 3B	GOSIS (K250-; FL130+) - DITAK (K210-; 10000+) - LUMIK (K210-; 9200+).
INDUR 3B	INDUR (K250-; FL140+) - LUMIK (K210-; 9200+).
SEVAN 3B	SEVAN (K250-; FL130+) - MAXAK (K250-; FL130+) - LUMIK (K210-; 9200+).
TIBLO 3B	TIBLO (K250-; FL130+) - LUMIK (K210-; 9200+).

CHANGES: PBN note revised.

© JEPPESEN, 2024, 2026. ALL RIGHTS RESERVED.

Printed from JeppView for Windows 5.3.0.0 on 29 Aug 2026; Terminal chart data cycle 04-2026 (Expired); Notice: After 26 Feb 2026, 0000Z, this chart may no longer be valid

YEREVAN Approach 126.0	Trans alt: 11500
	RNAV 1 GNSS required
Apt Elev 2838	1. Contact YEREVAN Approach IMMEDIATELY after take-off. 2. SIDs are also minimum noise routings. Strict adherance within the limits of performance criteria is mandatory.

GOSIS 3E [GOSI3E]
SEVAN 3E [SEVA3E]
RNAV DEPARTURES
(RWY 26)

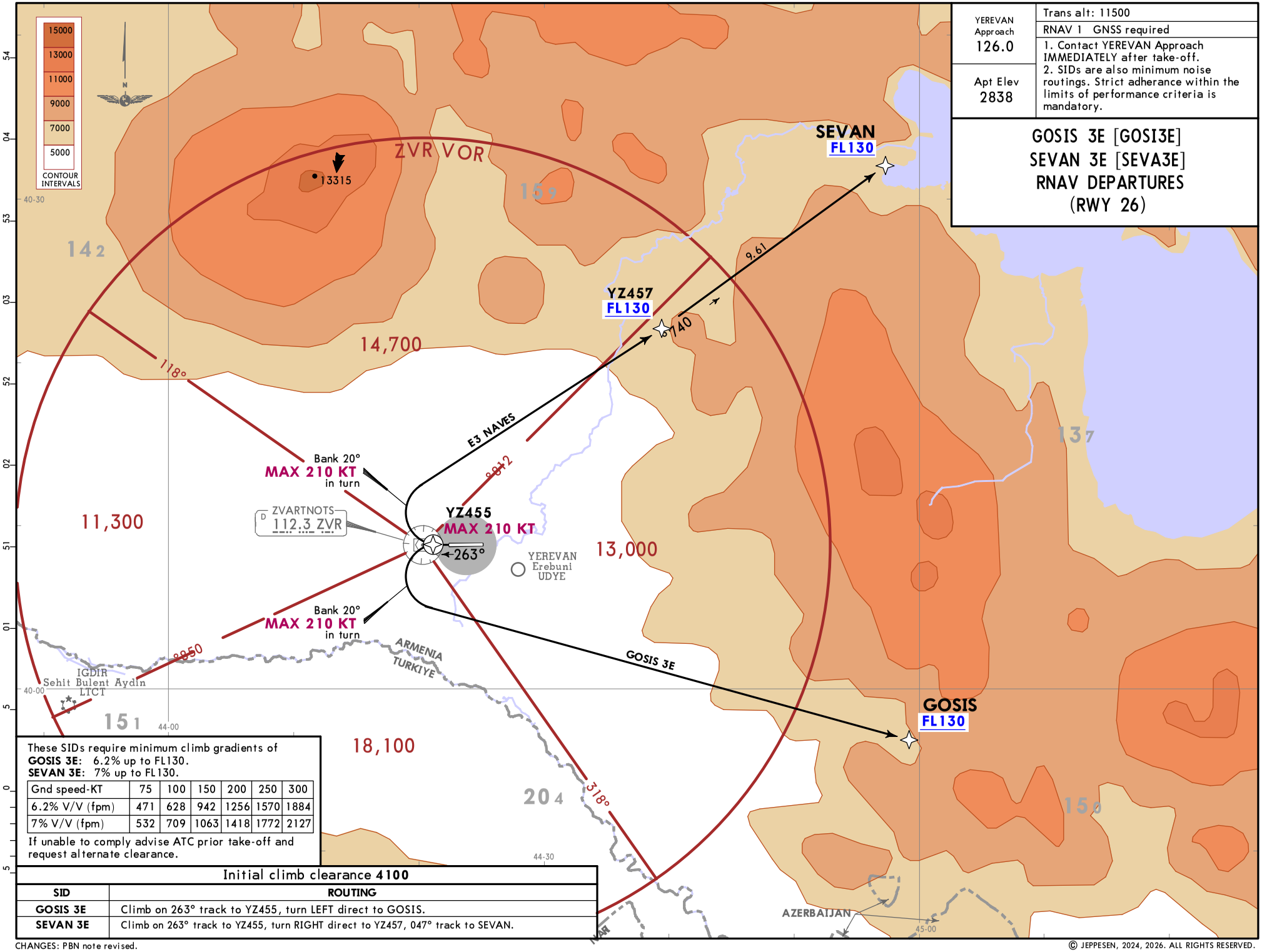

These SIDs require minimum climb gradients of
GOSIS 3E: 6.2% up to FL130.
SEVAN 3E: 7% up to FL130.

Gnd speed-KT	75	100	150	200	250	300
6.2% V/V (fpm)	471	628	942	1256	1570	1884
7% V/V (fpm)	532	709	1063	1418	1772	2127

If unable to comply advise ATC prior take-off and request alternate clearance.

Initial climb clearance **4100**

SID	ROUTING
GOSIS 3E	Climb on 263° track to YZ455, turn LEFT direct to GOSIS.
SEVAN 3E	Climb on 263° track to YZ455, turn RIGHT direct to YZ457, 047° track to SEVAN.

CHANGES: PBN note revised.

© JEPPESEN, 2024, 2026. ALL RIGHTS RESERVED.

Printed from JeppView for Windows 5.3.0.0 on 29 Aug 2026; Terminal chart data cycle 04-2026 (Expired); Notice: After 26 Feb 2026, 0000Z, this chart may no longer be valid

YEREVAN Approach 126.0	Trans alt: 11500
	RNAV 1 GNSS required
Apt Elev 2838	1. Contact YEREVAN Approach IMMEDIATELY after take-off. 2. SIDs are also minimum noise routings. Strict adherance within the limits of performance criteria is mandatory.

GOSIS 4H [GOSI4H]
SEVAN 3H [SEVA3H]
RNAV DEPARTURES
(RWY 08)

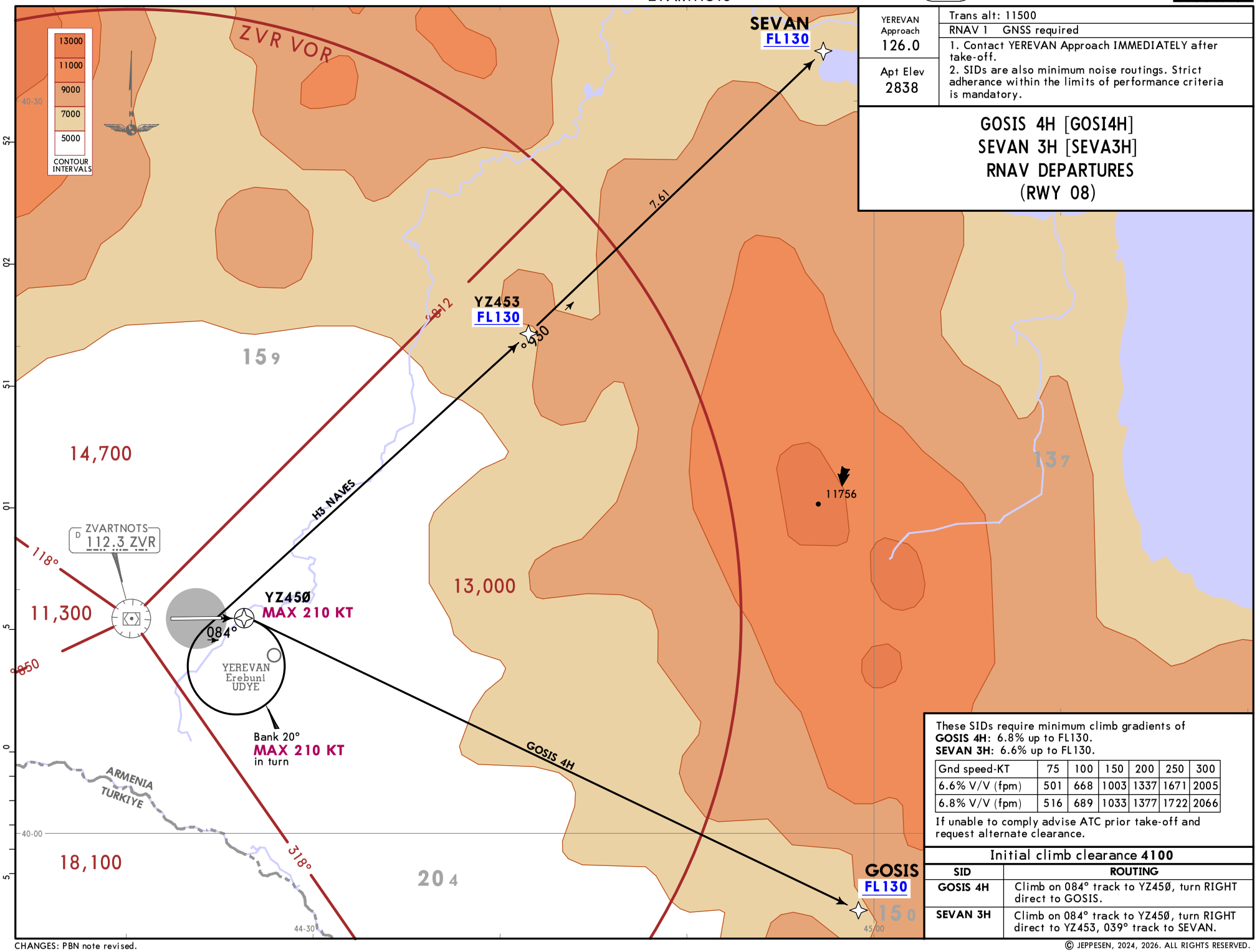

These SIDs require minimum climb gradients of
GOSIS 4H: 6.8% up to FL130.
SEVAN 3H: 6.6% up to FL130.

Gnd speed-KT	75	100	150	200	250	300
6.6% V/V (fpm)	501	668	1003	1337	1671	2005
6.8% V/V (fpm)	516	689	1033	1377	1722	2066

If unable to comply advise ATC prior take-off and request alternate clearance.

Initial climb clearance **4100**

SID	ROUTING
GOSIS 4H	Climb on 084° track to YZ45Ø, turn RIGHT direct to GOSIS.
SEVAN 3H	Climb on 084° track to YZ45Ø, turn RIGHT direct to YZ453, 039° track to SEVAN.

CHANGES: PBN note revised.

© JEPPESEN, 2024, 2026. ALL RIGHTS RESERVED.

Printed from JeppView for Windows 5.3.0.0 on 29 Aug 2026; Terminal chart data cycle 04-2026 (Expired); Notice: After 26 Feb 2026, 0000Z, this chart may no longer be valid

YEREVAN Approach 126.0	Trans alt: 11500
	RNAV 1 GNSS required
Apt Elev 2838	1. Contact YEREVAN Approach IMMEDIATELY after take-off. 2. SIDs are also minimum noise routings. Strict adherance within the limits of perfomance criteria is mandatory.

INDUR 3E [INDU3E]
TIBLO 3E [TIBL3E]
RNAV DEPARTURES
(RWY 26)

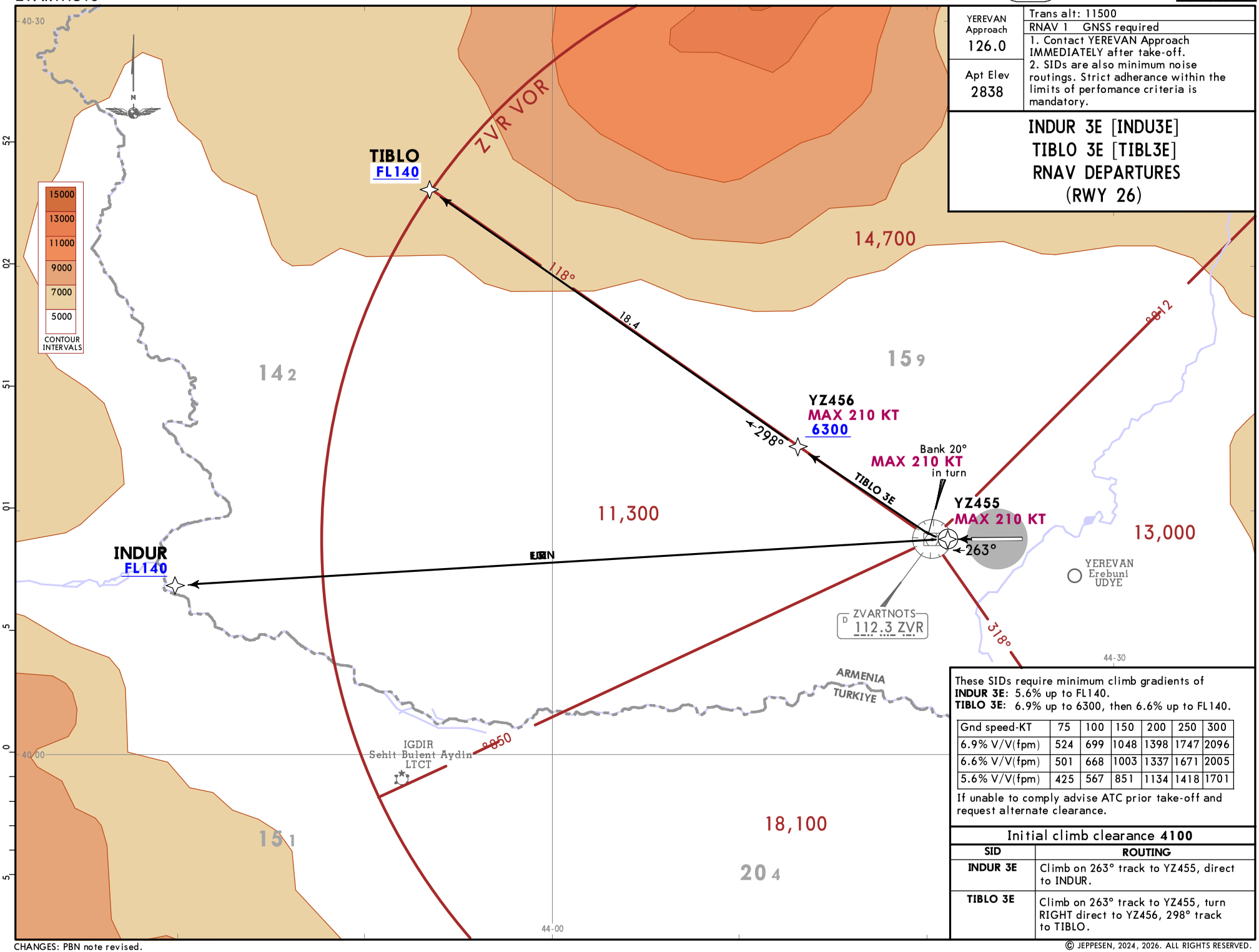

These SIDs require minimum climb gradients of
INDUR 3E: 5.6% up to FL140.
TIBLO 3E: 6.9% up to 6300, then 6.6% up to FL140.

Gnd speed-KT	75	100	150	200	250	300
6.9% V/V(fpm)	524	699	1048	1398	1747	2096
6.6% V/V(fpm)	501	668	1003	1337	1671	2005
5.6% V/V(fpm)	425	567	851	1134	1418	1701

If unable to comply advise ATC prior take-off and request alternate clearance.

Initial climb clearance **4100**

SID	ROUTING
INDUR 3E	Climb on 263° track to YZ455, direct to INDUR.
TIBLO 3E	Climb on 263° track to YZ455, turn RIGHT direct to YZ456, 298° track to TIBLO.

CHANGES: PBN note revised.

© JEPPESEN, 2024, 2026. ALL RIGHTS RESERVED.

Printed from JeppView for Windows 5.3.0.0 on 29 Aug 2026; Terminal chart data cycle 04-2026 (Expired); Notice: After 26 Feb 2026, 0000Z, this chart may no longer be valid

YEREVAN Approach 126.0	Trans alt: 11500
	RNAV 1 GNSS required
Apt Elev 2838	1. Contact YEREVAN Approach IMMEDIATELY after take-off. 2. SIDs are also minimum noise routings. Strict adherance within the limits of performance criteria is mandatory.

INDUR 3H [INDU3H]
TIBLO 3H [TIBL3H]
RNAV DEPARTURES
(RWY 08)

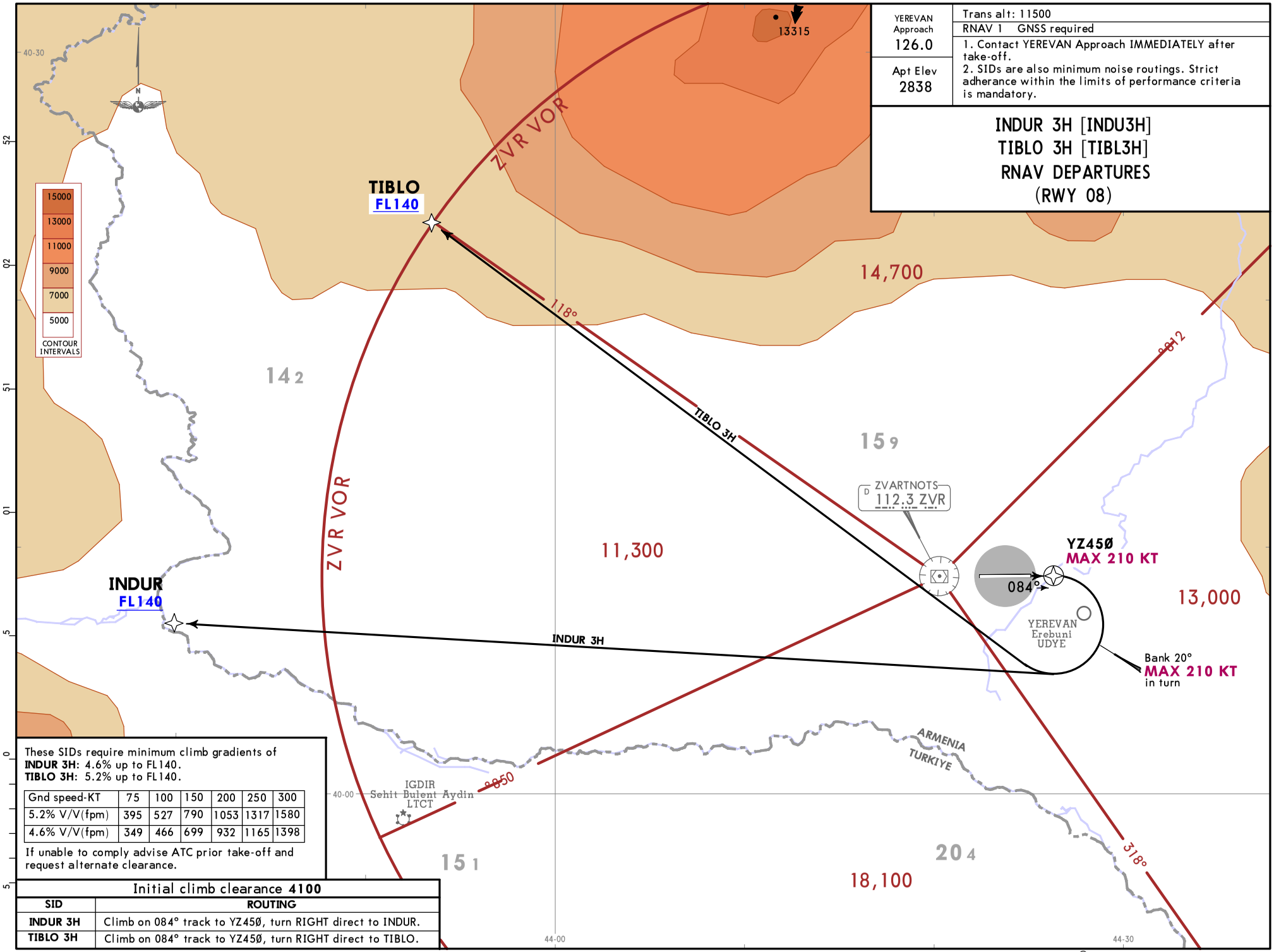

These SIDs require minimum climb gradients of
INDUR 3H: 4.6% up to FL140.
TIBLO 3H: 5.2% up to FL140.

Gnd speed-KT	75	100	150	200	250	300
5.2% V/V(fpm)	395	527	790	1053	1317	1580
4.6% V/V(fpm)	349	466	699	932	1165	1398

If unable to comply advise ATC prior take-off and request alternate clearance.

Initial climb clearance **4100**

SID	ROUTING
INDUR 3H	Climb on 084° track to YZ45Ø, turn RIGHT direct to INDUR.
TIBLO 3H	Climb on 084° track to YZ45Ø, turn RIGHT direct to TIBLO.

CHANGES: PBN note revised.

© JEPPESEN, 2024, 2026. ALL RIGHTS RESERVED.

Printed from JeppView for Windows 5.3.0.0 on 29 Aug 2026; Terminal chart data cycle 04-2026 (Expired); Notice: After 26 Feb 2026, 0000Z, this chart may no longer be valid

Printed from JeppView for Windows 5.3.0.0 on 29 Aug 2026; Terminal chart data cycle 04-2026 (Expired); Notice: After 26 Feb 2026, 0000Z, this chart may no longer be valid

UDYZ/EVN

Apt Elev **2838′**
N40 08.8 E044 23.8

JEPPESEN
17 OCT 25 (10-9) **Eff 30 Oct**

YEREVAN, ARMENIA
ZVARTNOTS

ATIS	YEREVAN Ground	Tower
119.5	119.0	128.0

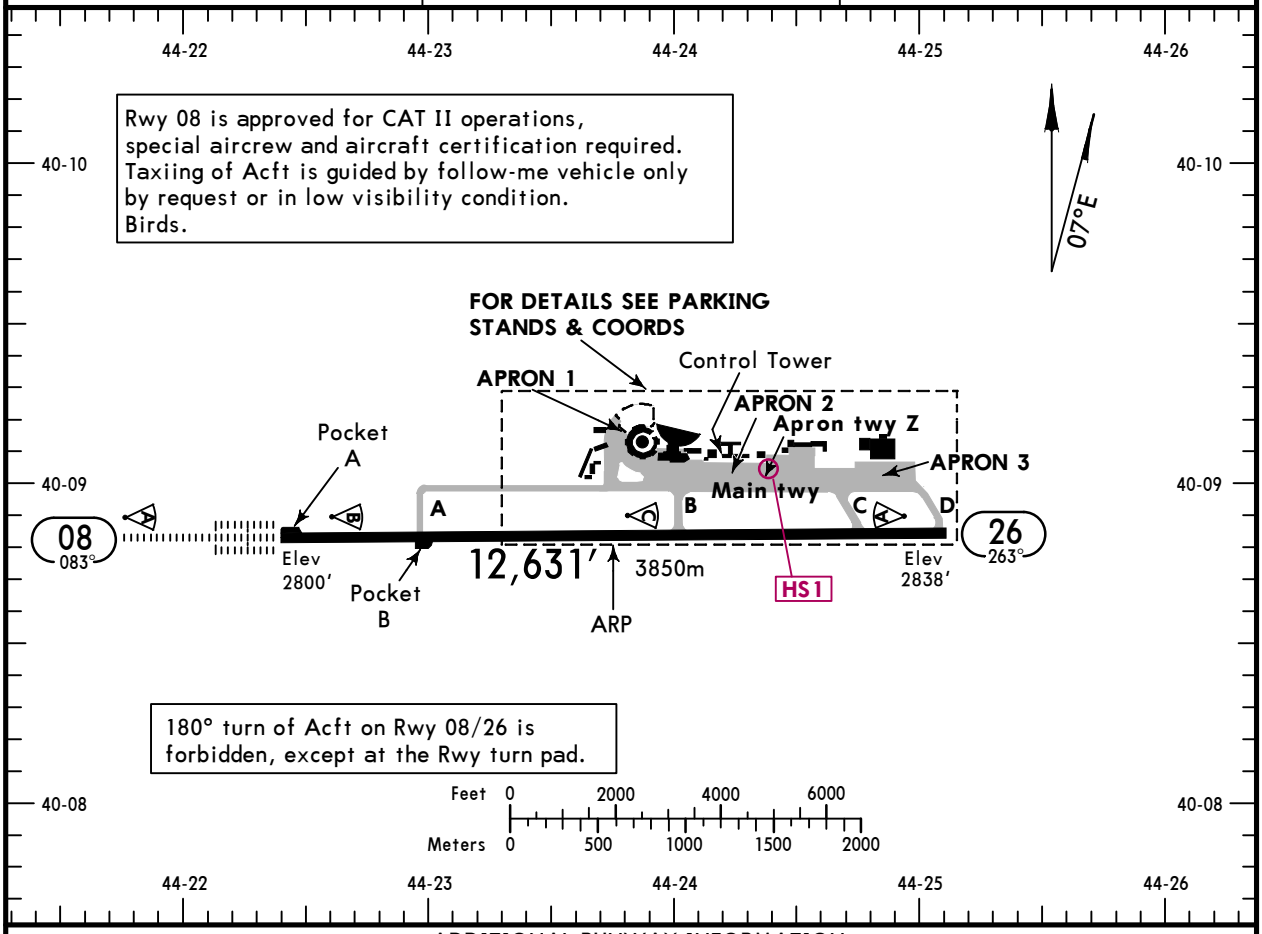

ADDITIONAL RUNWAY INFORMATION

RWY		USABLE LENGTHS LANDING BEYOND Threshold	Glide Slope	TAKE-OFF	WIDTH
08	HIRL (60m) CL (15m) ❶HIALS-II TDZ PAPI-L ❷ RVR		11,538′ 3517m	❸	184′ 56m
26	HIRL (60m) CL (15m) PAPI-L (angle 3.5°) RVR				

❶ length 900m ❷ (angle 3.0°)

❸ TAKE-OFF RUN AVAILABLE

RWY 08:			RWY 26:		
	From rwy head	12,631′ (3850m)		From rwy head	12,631′ (3850m)
	twy A int	9741′ (2969m)		twy C int	10,991′ (3350m)
	Pocket B	9508′ (2898m)		twy B int	7546′ (2300m)
	twy B int	5085′ (1550m)		twy A int	2890′ (881m)
	twy C int	1640′ (500m)			

HOT SPOTS

HS1

(For Information only, not to be construed as ATC instructions.)

HS1 CAUTION: During taxiing from Apron 2 parking positions 0, 15-22 to Main Twy instead of taxiing by Apron twy Z some Acfts mistakenly steered towards parking positions 27B, 27C.

NOISE ABATEMENT PROCEDURE

1. Preferential Rwy for approach is Rwy 08, preferential Rwy for take-off is Rwy 26.
2. In case of take-off from Rwy 26 turn is performed before or after overflying of city of Etchmiadzin. Low overflying of city of Etchmiadzin is prohibited.
3. Take-off from the Rwy 08 (above Yerevan) is permitted in the presence of meteorological condition.
4. Take-off carried out using noise abatement procedure for the area according to Aircraft Operation Manual.
5. More than idle reverse shall not be used except for reasons (e.g. tailwind, wet or contaminated Rwy and/or required landing distance close to Rwy length) 18:00 - 03:00 UTC.
6. Engine test (Ilde Power and Run-ups) cannot be used 18:00 - 03:00 UTC.

Std TAKE-OFF

HIRL & CL (spacing 15m or less) & relevant RVR	RL & CL & relevant RVR	RL & CL	❶ RL & RCLM	❶ RL or RCLM	Adequate Vis Ref DAY	Adequate Vis Ref NIGHT
TDZ R125m Mid R125m Rollout R125m	TDZ R150m Mid R150m Rollout R150m	R/V200m	R/V300m	R/V400m	R/V500m	NA

❶ For NIGHT operations, at least RL or CL and RENL are required.

CHANGES: Twy A and Apron Twy Z added, take-off run available, HOT SPOT added.

© JEPPESEN, 2000, 2025. ALL RIGHTS RESERVED.

Printed from JeppView for Windows 5.3.0.0 on 29 Aug 2026; Terminal chart data cycle 04-2026 (Expired); Notice: After 26 Feb 2026, 0000Z, this chart may no longer be valid

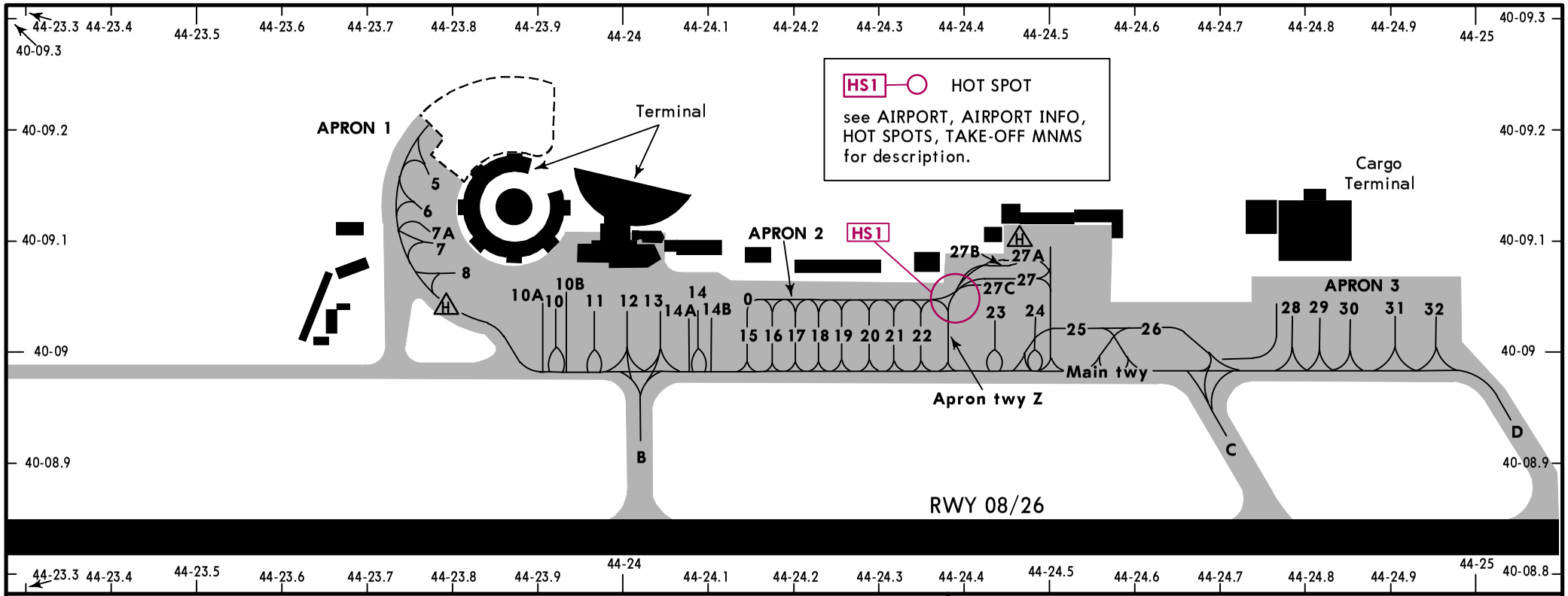

INS COORDINATES

STAND No.	COORDINATES	STAND No.	COORDINATES
0	N40 09.1 E044 24.2	23	N40 09.1 E044 24.4
5 thru 8	N40 09.1 E044 23.8	24	N40 09.1 E044 24.5
10, 10A	N40 09.1 E044 23.9	25, 26	N40 09.0 E044 24.6
10B	N40 09.0 E044 23.9	27, 27A	N40 09.1 E044 24.5
11 thru 13	N40 09.1 E044 24.0	27B, 27C	N40 09.1 E044 24.4
14 thru 14B	N40 09.1 E044 24.1	28, 29	N40 09.1 E044 24.8
15	N40 09.0 E044 24.1	30, 31	N40 09.1 E044 24.9
16 thru 18	N40 09.0 E044 24.2	32	N40 09.1 E044 25.0
19 thru 21	N40 09.0 E044 24.3		
22	N40 09.0 E044 24.4		

WARNING:
Exit from stand 15 thru 22 to Main twy is via Apron 2 between stands 22 and 23.

DE-ICING

De-icing stands are 25 and 26.
The Acft entrance to stand 25 is intended from the Main twy with help of engine tow or push-back track through the stand 24.
Acft entrance to position 26 is intended from the Main twy with help of engine tow or push-back track.
During taxiing from the Main twy to stand 25, stand 24 should be free.
During taxiing of Acfts from stand 25 to the Main twy, stand 24 should be free.
Exit from stands 25 and 26 to the Main twy is realized with help of engine tow or push-back track.

CHANGES: Apron twy Z marking and HOT SPOT added, warning note removed.

© JEPPESEN, 2000, 2025. ALL RIGHTS RESERVED.

Printed from JeppView for Windows 5.3.0.0 on 29 Aug 2026; Terminal chart data cycle 04-2026 (Expired); Notice: After 26 Feb 2026, 0000Z, this chart may no longer be valid

YEREVAN, ARMENIA
ZVARTNOTS

STRAIGHT-IN RWY		A	B	C	D
08	CAT 2 ILS DME	**2900**′(100′) **RA100**′ R300m	**2900**′(100′) **RA100**′ R300m	**2900**′(100′) **RA100**′ R300m	**2900**′(100′) **RA100**′ ❶ R300m
	ILS DME FULL TDZ or CL out ALS out	**3000**′(200′) R550m ❷ R550m R1200m	**3000**′(200′) R550m ❷ R550m R1200m	**3000**′(200′) R550m ❷ R550m R1200m	**3000**′(200′) R550m ❷ R550m R1200m
	❸ LOC ALS out	**3210**′(410′) R1200m R1500m	**3210**′(410′) R1200m R1500m	**3210**′(410′) R1200m R1900m	**3210**′(410′) R1200m R1900m
	RNP **LNAV/VNAV** ALS out	**3150**′(350′) R900m R1500m	**3150**′(350′) R900m R1500m	**3150**′(350′) R900m R1600m	**3150**′(350′) R900m R1600m
	❸ RNP **LNAV** ALS out	**3230**′(430′) R1300m R1500m	**3230**′(430′) R1300m R1500m	**3230**′(430′) R1300m R2000m	**3230**′(430′) R1300m R2000m
	❸ VOR DME ALS out	**3210**′(410′) R1200m R1500m	**3210**′(410′) R1200m R1500m	**3210**′(410′) R1200m R1900m	**3210**′(410′) R1200m R1900m
26	❸❹ RNP Z **LNAV**	**3400**′(562′) R1500m	**3400**′(562′) R1500m	**3400**′(562′) R2400m	**3400**′(562′) R2400m
	❸❺ RNP Z **LNAV**	**4600**′(1762′) R5000m	**4600**′(1762′) R5000m	**4600**′(1762′) R5000m	**4600**′(1762′) R5000m
	❸ RNP Y **LNAV**	**3290**′(452′) R1500m	**3290**′(452′) R1500m	**3290**′(452′) R2100m	**3290**′(452′) R2100m

❶ Without autoland: R350m.
❷ R750m when a Flight Director or Autopilot or HUD to DA is not used.
❸ Continuous Descent Final Approach.
❹ Missed approach climb gradient MIN 3.2%.
❺ Missed approach climb gradient MIN 2.5%.

CIRCLE-TO-LAND ❻❼	100 KT	135 KT	180 KT	205 KT
After ILS DME Rwy 08, RNP Rwy 08, VOR DME Rwy 08	**3600**′(762′) V4000m	**3600**′(762′) V4000m	**3900**′(1062′) V5000m	**3900**′(1062′) V5000m

❻ Not authorized North of airport.
❼ with prescribed flight tracks to Rwy 26.

TAKE-OFF

Low Visibility Take-off					RL or RCLM	RL or CL	Adequate Vis Ref	
HIRL & CL (spacing 15m or less) & relevant RVR	RL & CL & relevant RVR	RL & CL	RL & RCLM	RL or CL				
			DAY	NIGHT	DAY	NIGHT	DAY	NIGHT
TDZ R125m Mid R125m Rollout R125m	TDZ R150m Mid R150m Rollout R150m	R200m	R300m		R/V400m		R/V500m	NA

CHANGES: Rwy designators.

© JEPPESEN, 2022, 2024. ALL RIGHTS RESERVED.

Printed from JeppView for Windows 5.3.0.0 on 29 Aug 2026; Terminal chart data cycle 04-2026 (Expired); Notice: After 26 Feb 2026, 0000Z, this chart may no longer be valid

UDYZ/EVN
ZVARTNOTS

JEPPESEN
6 FEB 26 (11-1) Eff 19 Feb

YEREVAN, ARMENIA
ILS DME Rwy 08

BRIEFING STRIP ™

ATIS	YEREVAN Approach	YEREVAN Tower	Ground
119.5	126.0	128.0	119.0

LOC IZR	Final Apch Crs	D7.1 IZR	ILS DA(H)	Apt Elev 2838′
108.1	083°	5100′ (2300′)	3000′ (200′)	Rwy 2800′

MISSED APCH: Climb STRAIGHT AHEAD to D4.6 ZVR then turn RIGHT to ZVR VOR climbing to 7000′ and hold.

Alt Set: hPa Rwy Elev: 98 hPa Trans level: By ATC Trans alt: 11500′

1. In case of communication failure during radar vectoring, proceed to ZVR VOR at last cleared altitude but not below 7000′. 2. ILS DME reads zero at rwy 08 thresh.

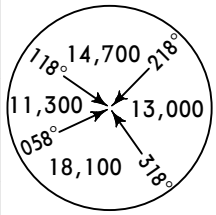

MSA ZVR VOR

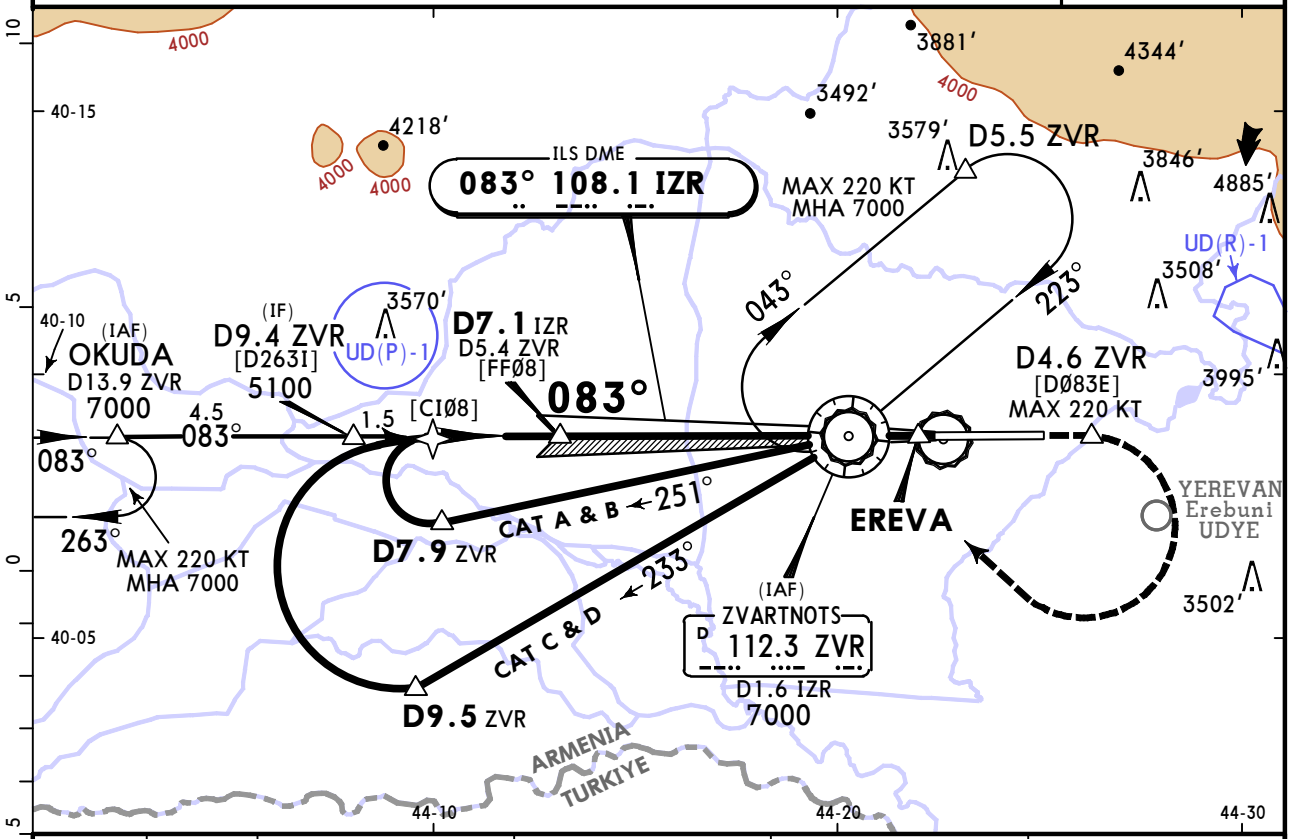

LOC (GS out)	IZR DME	7.0	5.0	3.0	1.0
	ALTITUDE	5087′	4448′	3810′	3171′

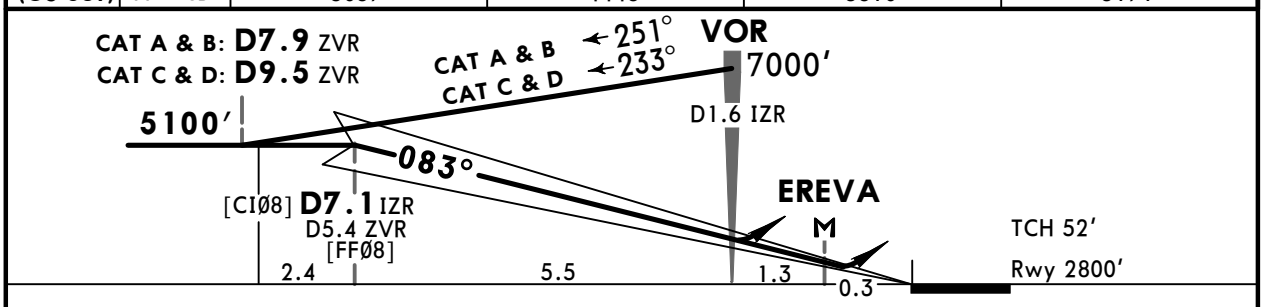

Gnd speed-Kts		70	90	100	120	140	160
GS	3.00°	372	478	531	637	743	849
MAP at EREVA							

HIALS-II
PAPI
to D4.6 ZVR

Std

STRAIGHT-IN LANDING					CIRCLE-TO-LAND
CAT I ILS DA(H) 3000′ (200′)			LOC (GS out) CDFA [2] DA/MDA(H) 3210′ (410′)		
	TDZ or CL out	ALS out		ALS out	
A	R550m	[1] R550m	R1200m	R1200m	R1500m	For CIRCLE-TO-LAND WITH PRESCRIBED FLIGHT TRACKS to Rwy 26 see 19-10
B					
C					R1900m
D					

PANS OPS

[1] R750m when a Flight Director or Autopilot or HUD to DA is not used.
[2] VNAV DA(H) in lieu of MDA(H) depends on operator policy.

CHANGES: MSA, OKUDA holding added.

© JEPPESEN, 2004, 2026. ALL RIGHTS RESERVED.

Printed from JeppView for Windows 5.3.0.0 on 29 Aug 2026; Terminal chart data cycle 04-2026 (Expired); Notice: After 26 Feb 2026, 0000Z, this chart may no longer be valid

UDYZ/EVN
ZVARTNOTS

JEPPESEN
6 FEB 26
Eff 19 Feb
11-1A

YEREVAN, ARMENIA
CAT II ILS DME Rwy 08

BRIEFING STRIP ™

ATIS	YEREVAN Approach	YEREVAN Tower	Ground
119.5	126.0	128.0	119.0

LOC IZR	Final Apch Crs	D7.1 IZR	CAT II ILS	Apt Elev 2838′
108.1	083°	5100′ (2300′)	RA 100′ DA(H) 2900′ (100′)	Rwy 2800′

MISSED APCH: Climb STRAIGHT AHEAD to D4.6 ZVR then turn RIGHT to ZVR VOR climbing to 7000′ and hold.

14,700 118° 218°
11,300 058° 13,000
18,100 318°
MSA ZVR VOR

Alt Set: hPa | Rwy Elev: 98 hPa | Trans level: By ATC | Trans alt: 11500′

1. Special Aircrew & Aircraft Certification Required. 2. In case of communication failure during radar vectoring, proceed to ZVR VOR at last cleared altitude but not below 7000′. 3. ILS DME reads zero at rwy 08 thresh.

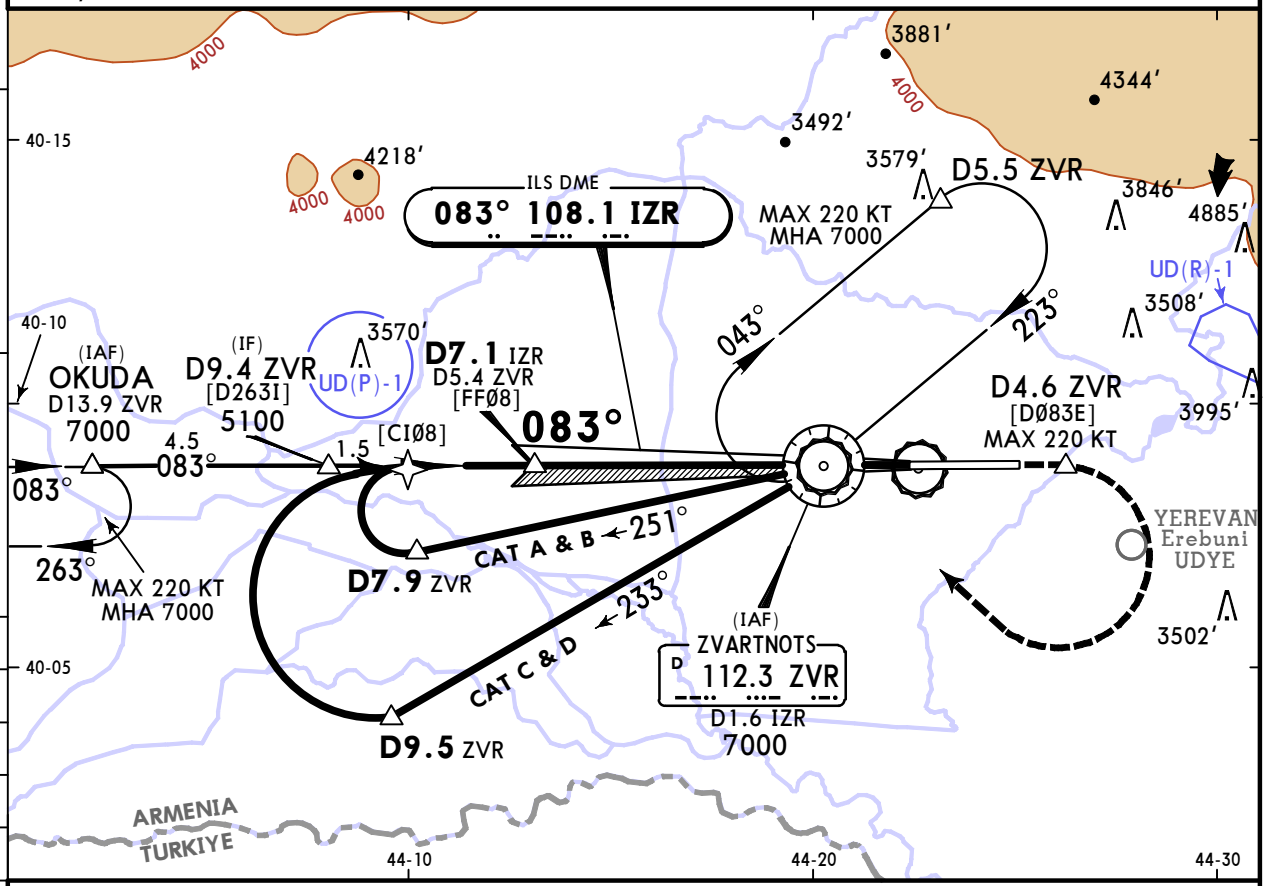

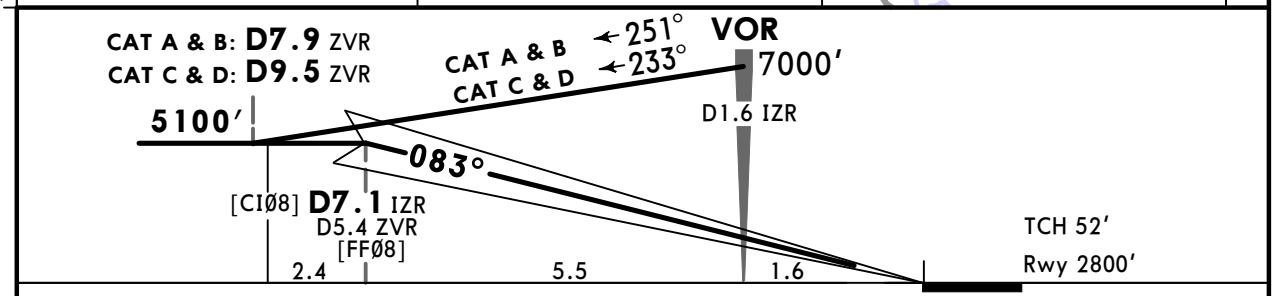

Gnd speed-Kts		70	90	100	120	140	160
GS	3.00°	372	478	531	637	743	849

HIALS-II
PAPI

to D4.6 ZVR

Std

STRAIGHT-IN LANDING
CAT II ILS

RA 100′
DA(H) **2900′** (100′)

1 R300m

PANS OPS

1 CAT D without autoland: R350m.

CHANGES: MSA, OKUDA holding added.

© JEPPESEN, 2004, 2026. ALL RIGHTS RESERVED.

Printed from JeppView for Windows 5.3.0.0 on 29 Aug 2026; Terminal chart data cycle 04-2026 (Expired); Notice: After 26 Feb 2026, 0000Z, this chart may no longer be valid

UDYZ/EVN
ZVARTNOTS

JEPPESEN
6 FEB 26 (12-1) Eff 19 Feb

YEREVAN, ARMENIA
RNP Rwy 08

BRIEFING STRIP ™

ATIS	YEREVAN Approach	YEREVAN Tower	Ground
119.5	126.0	128.0	119.0

RNAV	Final Apch Crs	ARMAV	LNAV/VNAV DA(H)	Apt Elev 2838′ Rwy 2800′
	083°	5100′ (2300′)	3150′ (350′)	

MISSED APCH: Climb STRAIGHT AHEAD to YZ45Ø then turn RIGHT (MAX 220 KT) to ZVR VOR to 7000′ and hold.

Alt Set: hPa Rwy Elev: 98 hPa Trans level: By ATC Trans alt: 11500′

RNP Apch: 1. GNSS only. 2. In case of communication failure during radar vectoring, proceed to ZVR VOR at last cleared altitude but not below 7000′.

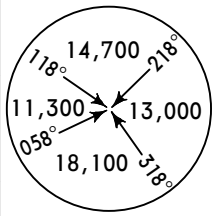

MSA ZVR VOR

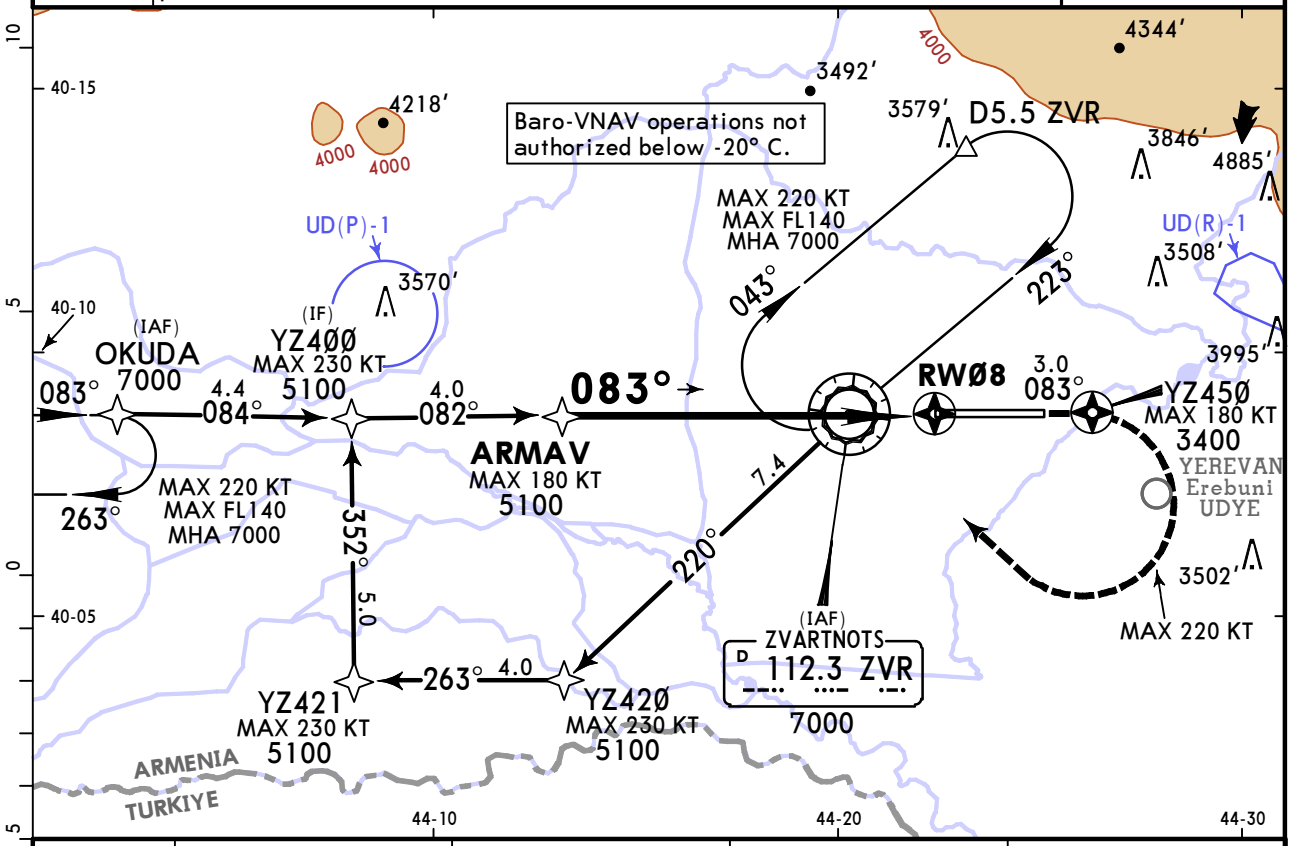

DIST to RWØ8	7.1	6.0	4.0	2.0
ALTITUDE	5100′	4760′	4130′	3490′

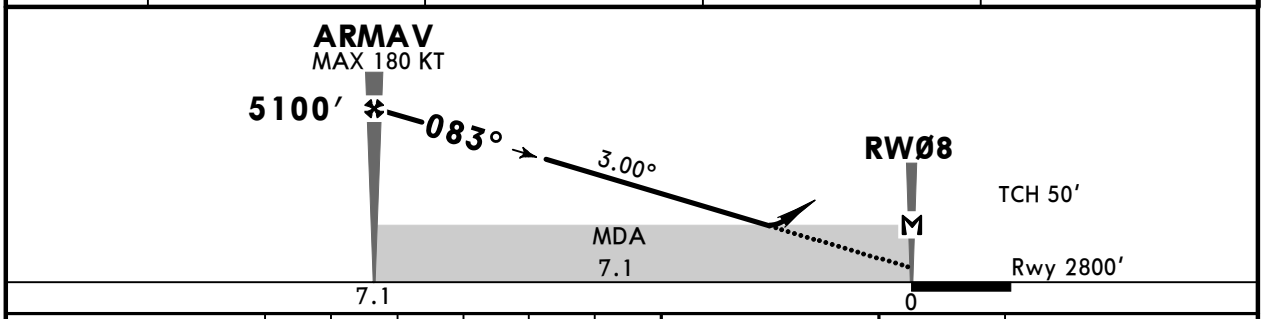

Gnd speed-Kts		70	90	100	120	140	160
Glide Path Angle	3.00°	372	478	531	637	743	849
MAP at RWØ8							
ARMAV to MAP	7.1	6:05	4:44	4:16	3:33	3:03	2:40

Timing not authorized for defining the MAP.

HIALS-II
PAPI

083° to YZ45Ø

PANS OPS

Std	STRAIGHT-IN LANDING LNAV/VNAV DA(H) 3150′ (350′)		LNAV CDFA [1] DA/MDA(H) 3230′ (430′)		CIRCLE-TO-LAND
		ALS out		ALS out	
A	R900m	R1500m	R1300m	R1500m	For CIRCLE-TO-LAND WITH PRESCRIBED FLIGHT TRACKS to Rwy 26 see 19-10
B					
C		R1600m		R2000m	
D					

[1] VNAV DA(H) in lieu of MDA(H) depends on operator policy.

CHANGES: MSA, OKUDA holding added, bearing between OKUDA & YZ4ØØ.

© JEPPESEN, 2012, 2026. ALL RIGHTS RESERVED.

Printed from JeppView for Windows 5.3.0.0 on 29 Aug 2026; Terminal chart data cycle 04-2026 (Expired); Notice: After 26 Feb 2026, 0000Z, this chart may no longer be valid

UDYZ/EVN
ZVARTNOTS

JEPPESEN
6 FEB 26 (12-2) Eff 19 Feb

YEREVAN, ARMENIA
RNP Z Rwy 26

BRIEFING STRIP™

ATIS	YEREVAN Approach	YEREVAN Tower	Ground
119.5	126.0	128.0	119.0

RNAV	Final Apch Crs	BASRU	DA/MDA(H)	Apt Elev 2838′
	263°	7900′ (5062′)	Refer to Minimums	Rwy 2838′

MISSED APCH: Climb STRAIGHT AHEAD to YZ5Ø5 then turn LEFT (MAX 180 KT) to LUMIK to 9200′ and hold.
Refer to minimums for missed apch climb gradients.

Alt Set: hPa Rwy Elev: 100 hPa Trans level: By ATC Trans alt: 11500′

RNP Apch: 1. GNSS only. 2. In case of communication failure during radar vectoring, proceed to EREVA at last cleared altitude but not below 7000′.

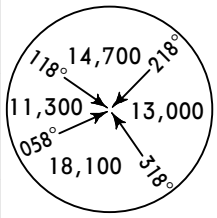

MSA ZVR VOR

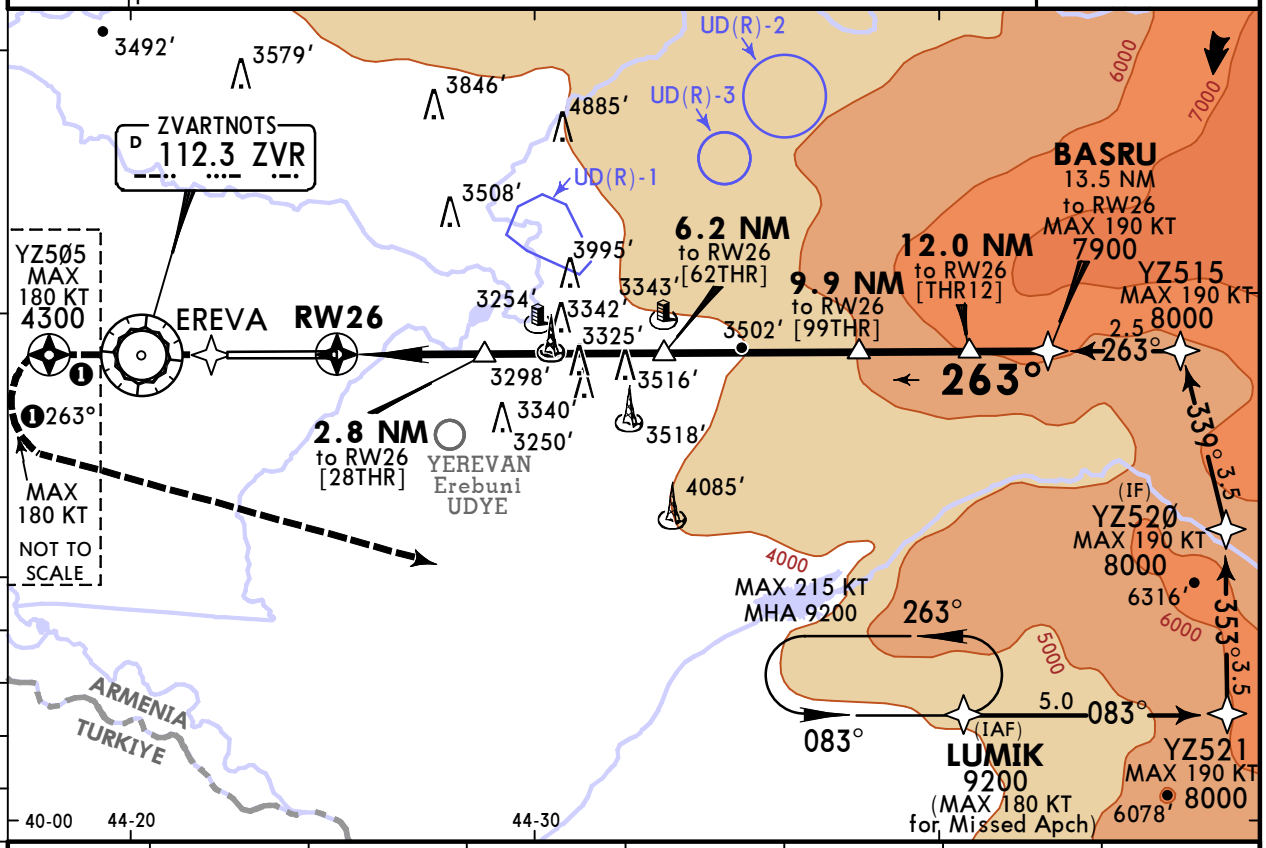

DIST to RW26	2.0	4.0	6.0	8.0	10.0	12.0	13.5
ALTITUDE	3630′	4380′	5120′	5860′	6610′	7350′	7900′

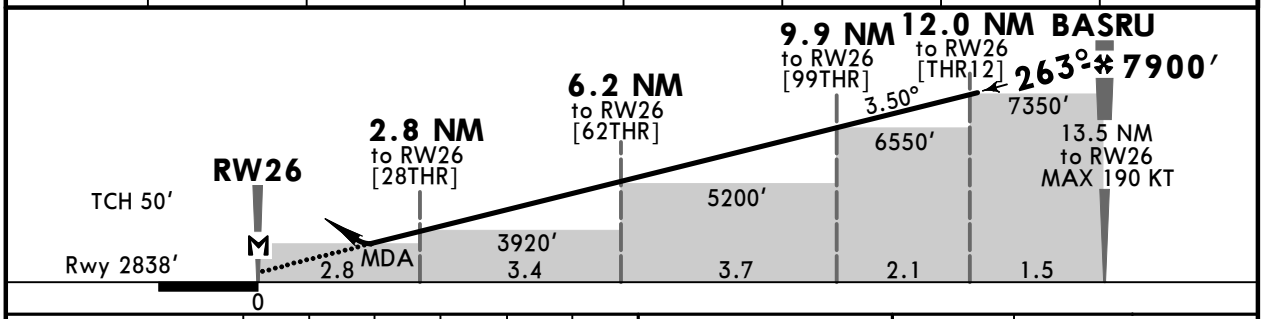

Gnd speed-Kts		70	90	100	120	140	160
Descent Angle	3.50°	434	557	619	743	867	991
MAP at RW26							
BASRU to MAP	13.5	11:34	9:00	8:06	6:45	5:47	5:04

Timing not authorized for defining the MAP.

PAPI-L 263° to YZ5Ø5

Std

STRAIGHT-IN LANDING
LNAV
CDFA

	Missed apch climb gradient MIN 3.2% (195′/NM) 1 DA/MDA(H) 3400′ (562′)	Missed apch climb gradient MIN 2.5% (152′/NM) 1 DA/MDA(H) 4600′ (1762′)
A	R1500m	R1500m
B		
C	R2400m	R2400m
D		

PANS OPS

1 VNAV DA(H) in lieu of MDA(H) depends on operator policy.

CHANGES: MSA.

© JEPPESEN, 2012, 2026. ALL RIGHTS RESERVED.

Printed from JeppView for Windows 5.3.0.0 on 29 Aug 2026; Terminal chart data cycle 04-2026 (Expired); Notice: After 26 Feb 2026, 0000Z, this chart may no longer be valid

UDYZ/EVN
ZVARTNOTS

JEPPESEN
6 FEB 26 (12-3) Eff 19 Feb

YEREVAN, ARMENIA
RNP Y Rwy 26

BRIEFING STRIP™

ATIS	YEREVAN Approach	YEREVAN Tower	Ground
119.5	126.0	128.0	119.0

RNAV	Final Apch Crs	AGUGO	DA/MDA(H)	Apt Elev 2838′ Rwy 2838′
	263°	5200′ (2362′)	3290′ (452′)	

MISSED APCH: Climb STRAIGHT AHEAD to YZ5Ø5 then turn LEFT (MAX 180 KT) to LUMIK to 9200′ and hold.

Alt Set: hPa Rwy Elev: 100 hPa Trans level: By ATC Trans alt: 11500′

RNP Apch: 1. RF & A-RNP required. 2. GNSS only. 3. In case of communication failure during radar vectoring, proceed to EREVA at last cleared altitude but not below 7000′.

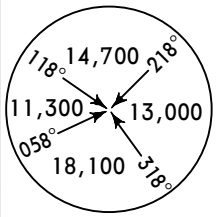

MSA ZVR VOR

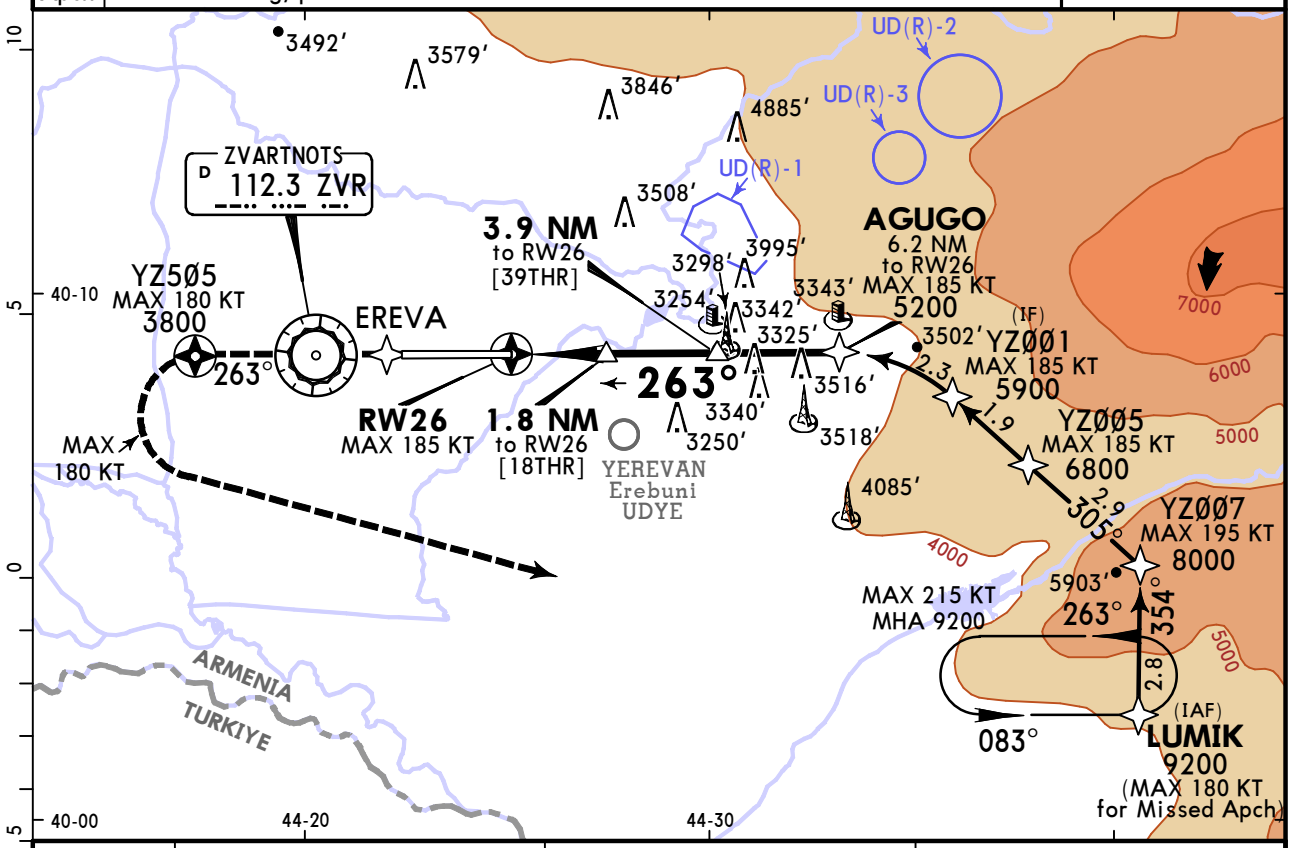

DIST to RW26	2.0	4.0	6.2
ALTITUDE	3630′	4380′	5200′

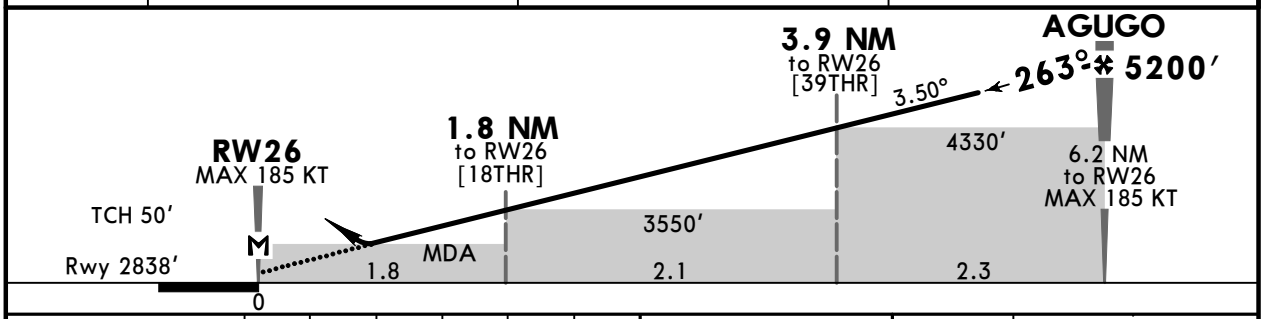

Gnd speed-Kts		70	90	100	120	140	160
Descent Angle	3.50°	434	557	619	743	867	991
MAP at RW26							
AGUGO to MAP	6.2	5:19	4:08	3:43	3:06	2:39	2:20

Timing not authorized for defining the MAP.

PAPI-L 263° to YZ5Ø5

Std

STRAIGHT-IN LANDING
LNAV
CDFA
[1] DA/MDA(H) **3290′** (452′)

PANS OPS

A, B	R1500m
C, D	R2100m

[1] VNAV DA(H) in lieu of MDA(H) depends on operator policy.

CHANGES: MSA.

© JEPPESEN, 2016, 2026. ALL RIGHTS RESERVED.

Printed from JeppView for Windows 5.3.0.0 on 29 Aug 2026; Terminal chart data cycle 04-2026 (Expired); Notice: After 26 Feb 2026, 0000Z, this chart may no longer be valid

UDYZ/EVN
ZVARTNOTS

JEPPESEN

6 FEB 26 (12-40) Eff 19 Feb

YEREVAN, ARMENIA
GLS Rwy 08

BRIEFING STRIP ™

ATIS	YEREVAN Approach	YEREVAN Tower	Ground
119.5	126.0	128.0	119.0

GBAS	Final Apch Crs	ARMAV	DA(H)	Apt Elev 2838′
Ch 20731 G08A	083°	5100′(2300′)	Refer to Minimums	Rwy 2800′

MISSED APCH: Climb STRAIGHT AHEAD to YZ45Ø then turn RIGHT to ZVR VOR to 7000′ and hold. MAX 220 KT.
Refer to minimums for missed apch climb gradients.

Alt Set: hPa Rwy Elev: 98 hPa Trans level: By ATC Trans alt: 11500′

RNAV-1 for initial and missed apch.

1. GNSS required. 2. In case of communication failure during radar vectoring, proceed to ZVR VOR at last cleared altitude but not below 7000′.

MSA ZVR VOR: 118° 14,700; 218° 13,000; 058° 11,300; 318° 18,100

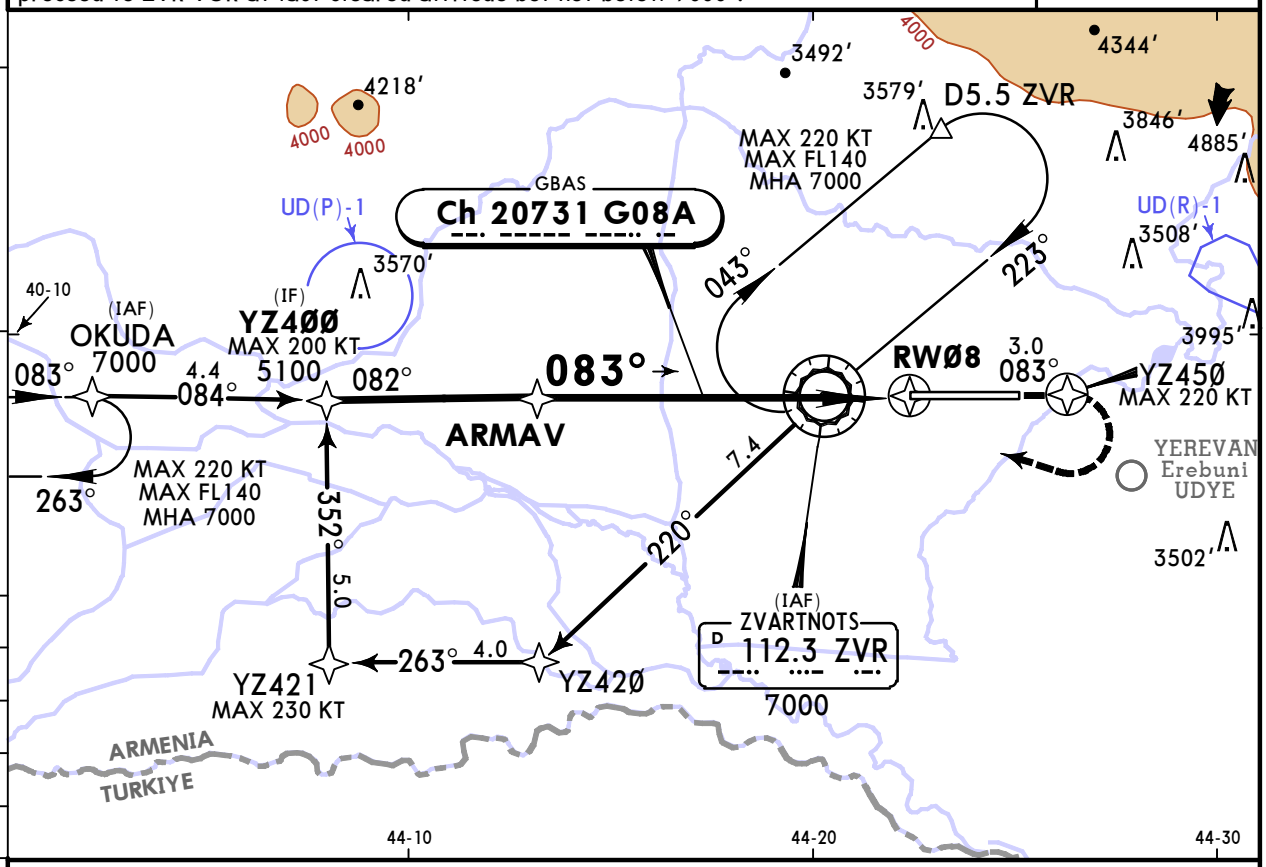

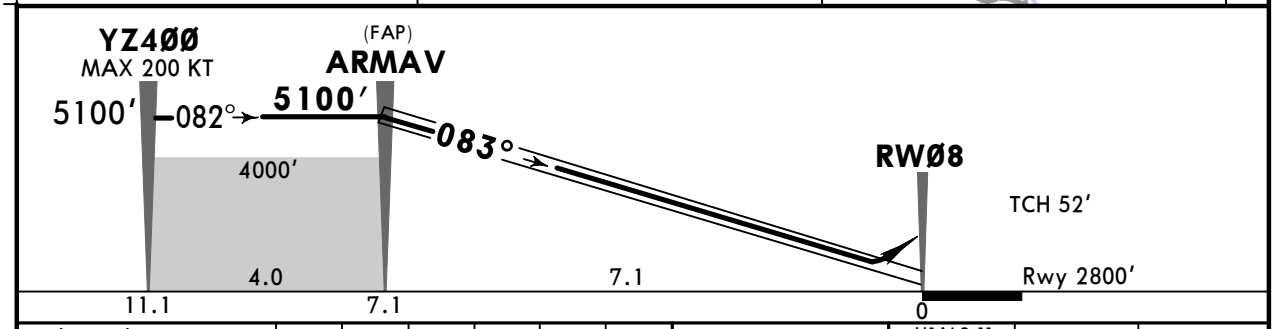

Gnd speed-Kts		70	90	100	120	140	160
Glide Path Angle	3.00°	372	478	531	637	743	849

HIALS-II PAPI

220 KT MAX

YZ45Ø

Std STRAIGHT-IN LANDING

	MACG MIN 4.0% (244′/NM)			MACG MIN 3.0% (183′/NM)			MACG MIN 2.5% (152′/NM)		
	DA(H) 3000′(200′)			DA(H) A:3000′(200′) C:3016′(216′) B:3008′(208′) D:3027′(227′)			DA(H) A:3064′(264′) C:3084′(284′) B:3076′(276′) D:3095′(295′)		
		TDZ or CL out	ALS out		TDZ or CL out	ALS out		TDZ or CL out	ALS out
A	R550m	1 R550m	R1200m	R550m	1 R550m	R1200m	R600m	1 R600m	R1300m
B									
C							R650m	1 R650m	R1400m
D									

PANS OPS

1 R750m when a Flight Director or Autopilot or HUD to DA is not used.

CHANGES: New procedure.

© JEPPESEN, 2026. ALL RIGHTS RESERVED.

Printed from JeppView for Windows 5.3.0.0 on 29 Aug 2026; Terminal chart data cycle 04-2026 (Expired); Notice: After 26 Feb 2026, 0000Z, this chart may no longer be valid

UDYZ/EVN
ZVARTNOTS

JEPPESEN

6 FEB 26 (13-1) Eff 19 Feb

YEREVAN, ARMENIA
VOR DME Rwy 08

BRIEFING STRIP ™

ATIS	YEREVAN Approach	YEREVAN Tower	Ground
119.5	126.0	128.0	119.0

VOR ZVR	Final Apch Crs	D5.4	DA/MDA(H)	Apt Elev 2838′ Rwy 2800′
112.3	083°	5100′ (2300′)	3210′ (410′)	

MISSED APCH: Climb STRAIGHT AHEAD to D4.6 then turn RIGHT to VOR climbing 7000′ and hold.

Alt Set: hPa Rwy Elev: 98 hPa Trans level: By ATC Trans alt: 11500′

In case of communication failure during radar vectoring, proceed to VOR at last cleared altitude but not below 7000′.

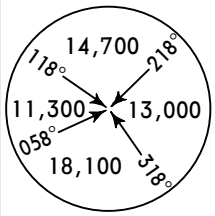

MSA ZVR VOR

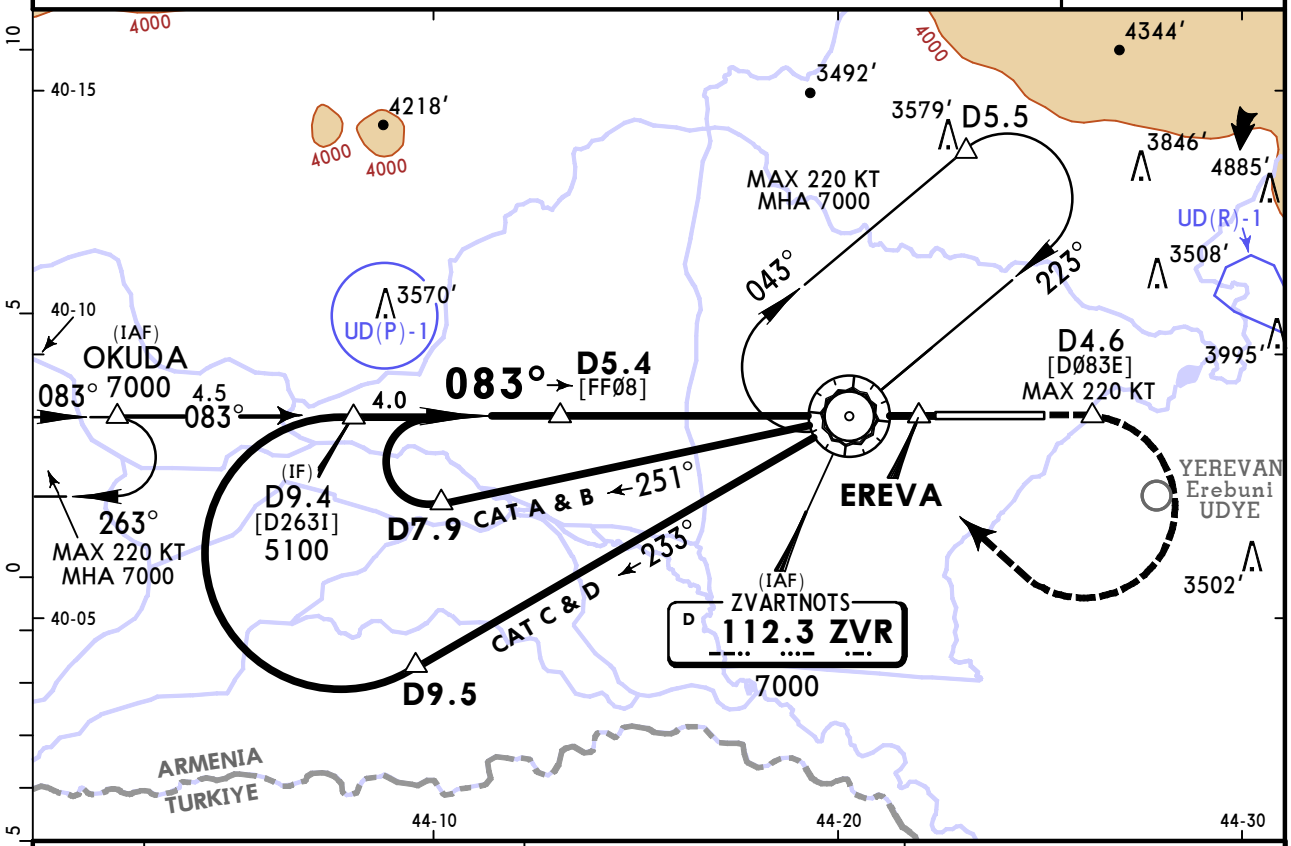

ZVR DME	5.0	3.0	1.0
ALTITUDE	4957′	4321′	3685′

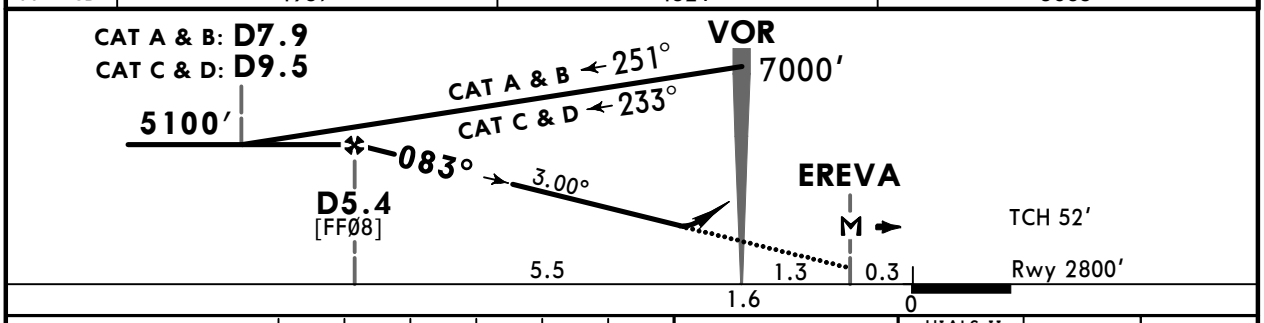

Gnd speed-Kts		70	90	100	120	140	160
Descent Angle	3.00°	372	478	531	637	743	849
MAP at EREVA							

HIALS-II
PAPI
to D4.6

Std STRAIGHT-IN LANDING

CDFA

[1] DA/MDA(H) **3210′** (410′)

		ALS out	CIRCLE-TO-LAND
A	R1200m	R1500m	For CIRCLE-TO-LAND WITH PRESCRIBED FLIGHT TRACKS to Rwy 26 see 19-10
B			
C		R1900m	
D			

PANS OPS

[1] VNAV DA(H) in lieu of MDA(H) depends on operator policy.

CHANGES: MSA, OKUDA holding added.

© JEPPESEN, 2004, 2026. ALL RIGHTS RESERVED.

Printed from JeppView for Windows 5.3.0.0 on 29 Aug 2026; Terminal chart data cycle 04-2026 (Expired); Notice: After 26 Feb 2026, 0000Z, this chart may no longer be valid

UDYZ/EVN

Apt Elev **2838′**

JEPPESEN

2 AUG 24 (19-10) **Eff 8 Aug**

YEREVAN, ARMENIA

ZVARTNOTS

CIRCLE-TO-LAND WITH PRESCRIBED FLIGHT TRACKS

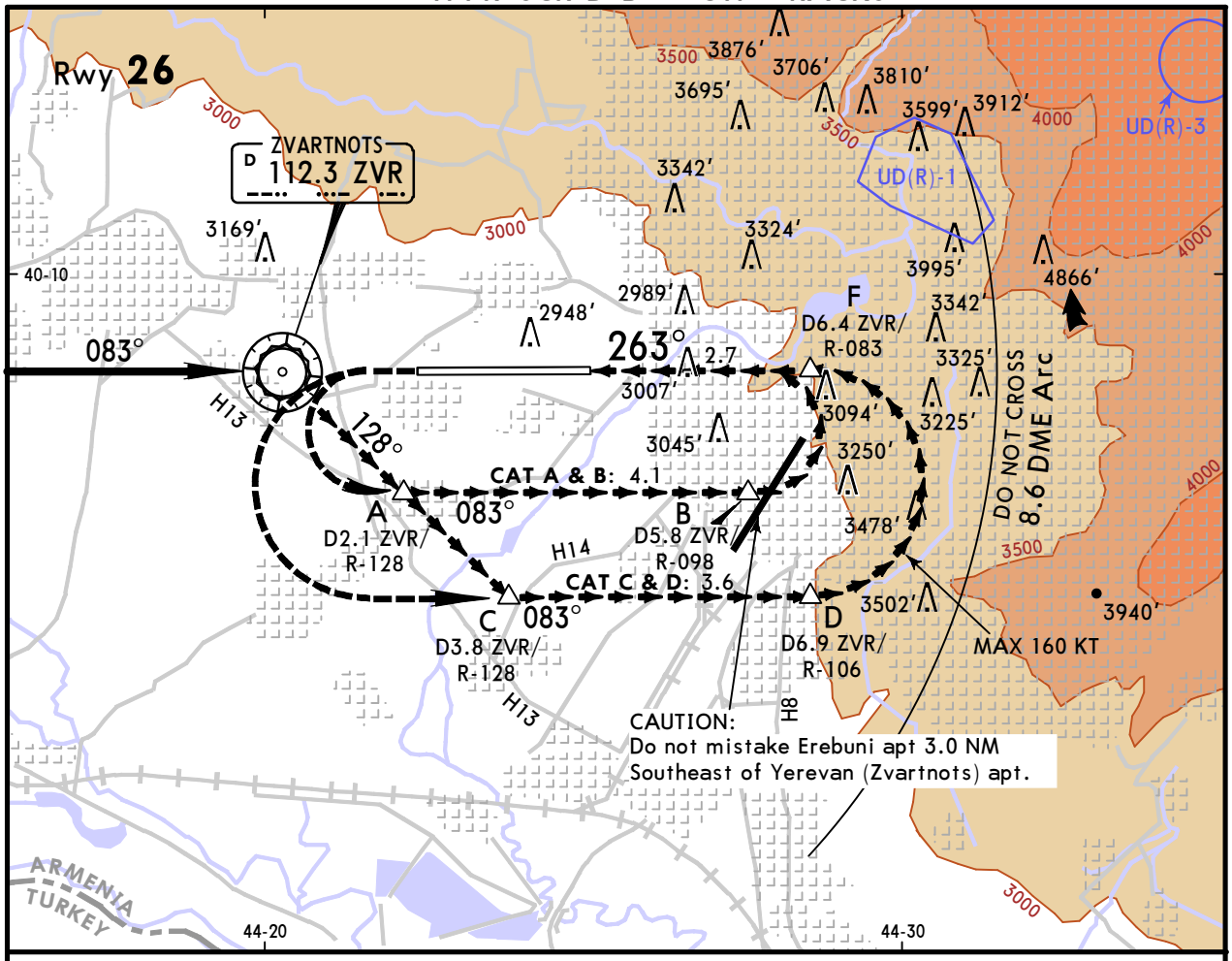

CAUTION: Final turn w/o descent. Do not cross 8.6 DME Arc.

MISSED APCH:
Climb STRAIGHT AHEAD to MDA(H), then turn LEFT onto 083°, then according to chart.

State CAUTION: Not authorized North of airport

	Max Kts	MDA(H)	
A	100	3600′ (762′)	V4000m
B	135		
C	180	3900′ (1062′)	V5000m
D	205		

CHANGES: UD(R)-1 and UD(R)-3 changed, UD(R)-2 and UD(R)-4 withdrawn.

© JEPPESEN, 2004, 2024. ALL RIGHTS RESERVED.